**STANDARD DEPARTURE CHART INSTRUMENT (SID)**

| | |
|---|---|
| TRANSITION ALT | 14 000 |
| TRANSITION LVL | FL 140 |

| | | |
|---|---|---|
| WONJU DEP | 130.2 | 268.5 |
| WONJU TWR | 118.325 | 126.2 |
| | 236.6 | 265.5 |

**WONJU/Wonju(RKNW)**
**RWY 03**
**CHISE 1**

Note : Departure under U.S TERPS.

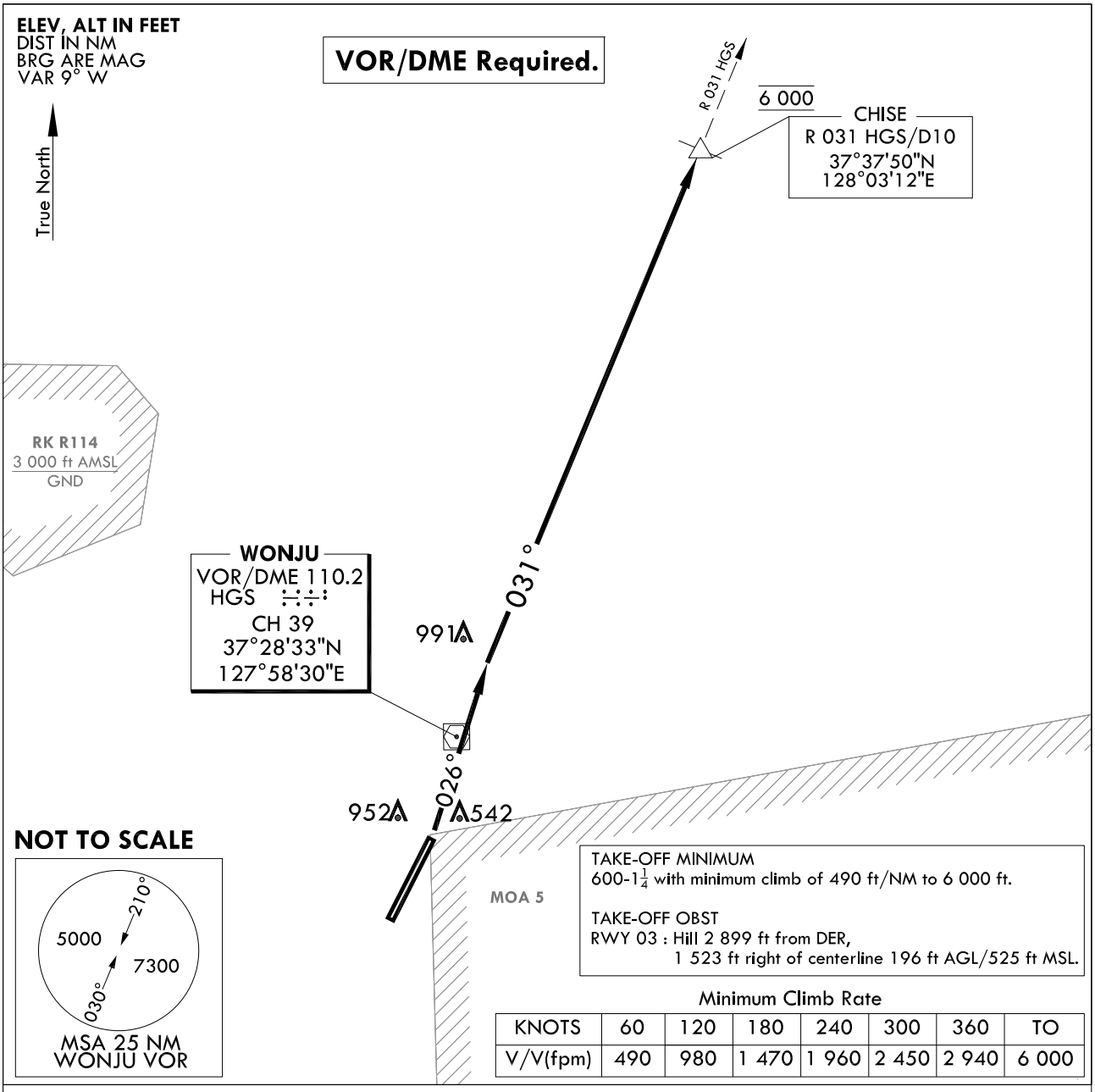


TAKE-OFF MINIMUM
600-1$\frac{1}{4}$ with minimum climb of 490 ft/NM to 6 000 ft.

TAKE-OFF OBST
RWY 03 : Hill 2 899 ft from DER,
1 523 ft right of centerline 196 ft AGL/525 ft MSL.

Minimum Climb Rate

| KNOTS | 60 | 120 | 180 | 240 | 300 | 360 | TO |
|---|---|---|---|---|---|---|---|
| V/V(fpm) | 490 | 980 | 1 470 | 1 960 | 2 450 | 2 940 | 6 000 |

## DEPARTURE PROCEDURE DESCRIPTION

CHISE 1 DEPARTURE

RWY 03 : Climb to 6 000 ft via HDG 026° to intercept R 031 HGS, then R 031 HGS to CHISE, then direct to Enroute fix and climb to assigned altitude.

Change : Information of course/track for standard instrument departure procedure.

**INTENTIONALLY**

**LEFT**

**BLANK**

## STANDARD DEPARTURE CHART INSTRUMENT (SID)

| | |
|---|---|
| TRANSITION ALT | 14 000 |
| TRANSITION LVL | FL 140 |

| | | | |
|---|---|---|---|
| WONJU DEP | 130.2 | 268.5 |
| WONJU TWR | 118.325 | 126.2 |
| | 236.6 | 265.5 |

**WONJU/Wonju(RKNW)**
**RWY 21**
**WONJU 7**

Note : Departure under U.S TERPS.

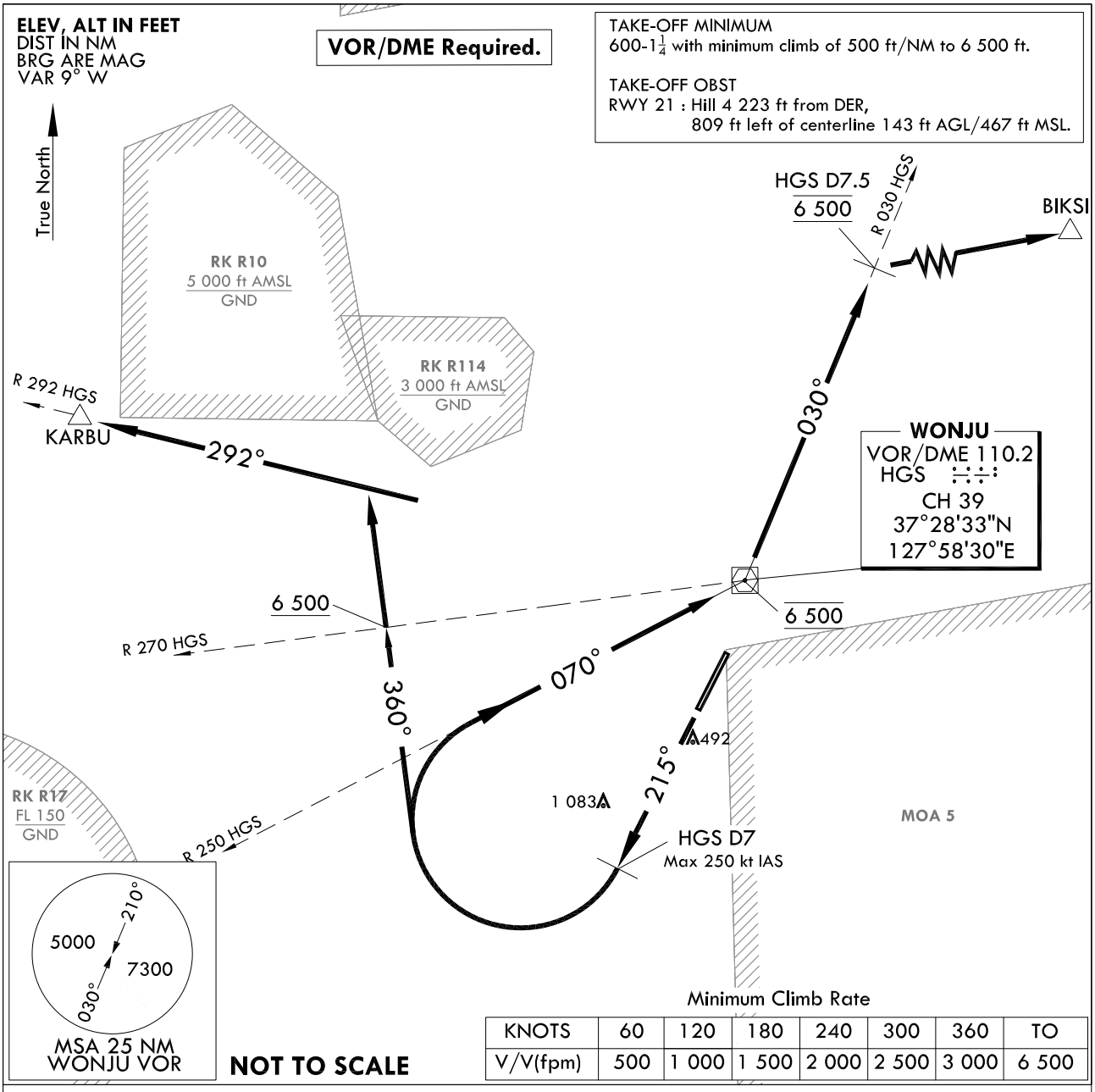


Minimum Climb Rate

| KNOTS | 60 | 120 | 180 | 240 | 300 | 360 | TO |
|---|---|---|---|---|---|---|---|
| V/V(fpm) | 500 | 1 000 | 1 500 | 2 000 | 2 500 | 3 000 | 6 500 |

### DEPARTURE PROCEDURE DESCRIPTION

WONJU 7 DEPARTURE

RWY 21 : Climb to 6 500 ft via HDG 215° to HGS D7, thence....
Max speed 250 kt IAS until reaching 6 500 ft.

KARBU transition : Then right turn HDG 360° to intercept R 292 HGS and cross R 270 HGS at or above 6 500 ft, then R 292 HGS to KARBU and climb to assigned altitude by ATC.

BIKSI transition : Then right turn to intercept R 250 HGS and cross HGS at 6 500 ft, then left turn R 030 HGS to HGS D7.5 and cross at 6 500 ft, then direct to BIKSI and climb to assigned altitude by ATC.

Change : Information of course/track for standard instrument departure procedure.

**INTENTIONALLY**

**LEFT**

**BLANK**

## STANDARD DEPARTURE CHART INSTRUMENT(SID)

| | |
|---|---|
| TRANSITION ALT | 14 000 |
| TRANSITION LVL | FL 140 |

| | | | |
|---|---|---|---|
| WONJU | DEP | 130.2 | |
| | | 268.5 | |
| WONJU | TWR | 265.5 | 118.325 |
| | | 236.6 | 126.2 |

## WONJU/Wonju(RKNW)
## RWY 03/21
## WONJU 1D

Note : Departure under U.S. TERPS.

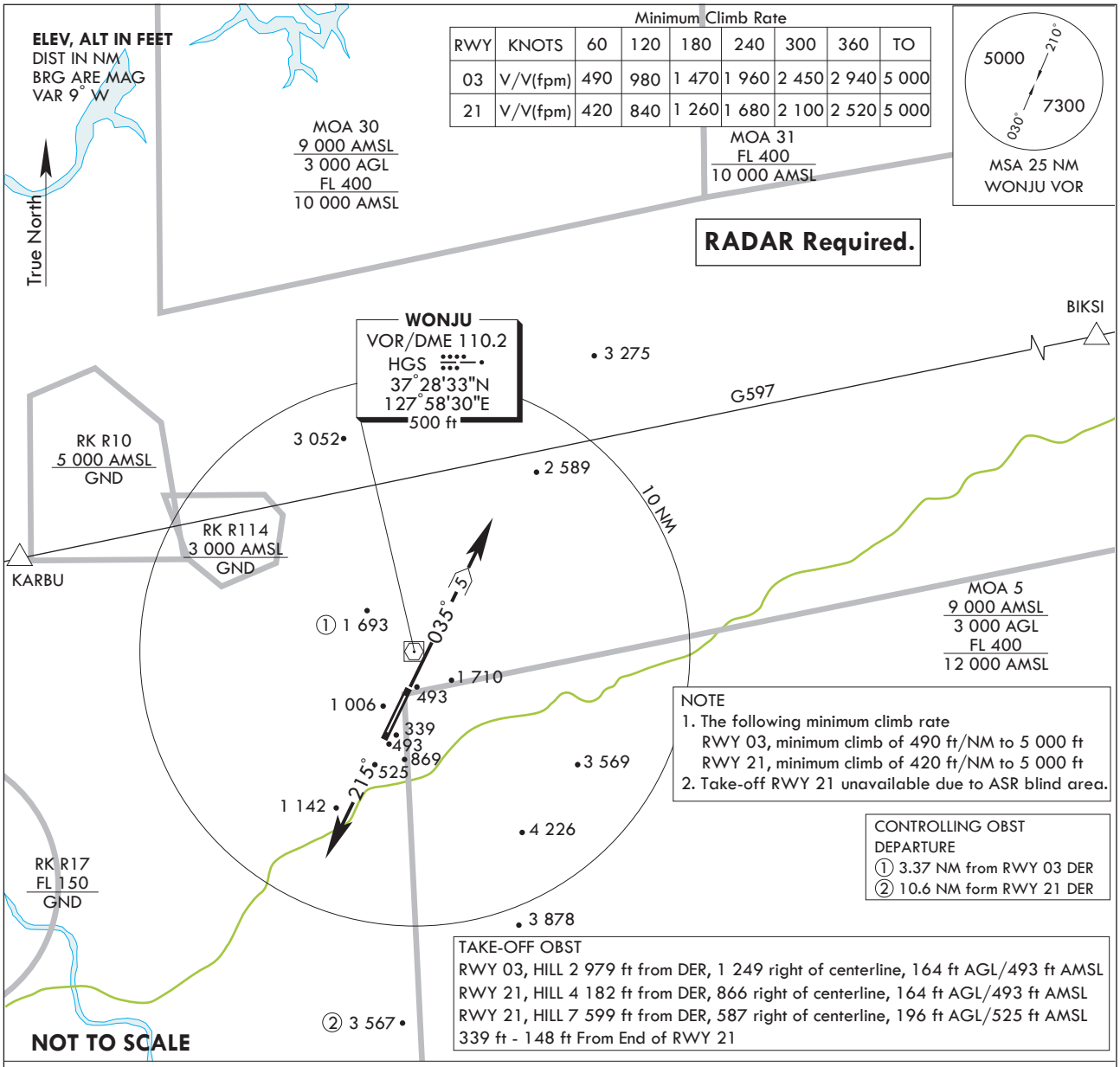


Minimum Climb Rate

| RWY | KNOTS | 60 | 120 | 180 | 240 | 300 | 360 | TO |
|---|---|---|---|---|---|---|---|---|
| 03 | V/V(fpm) | 490 | 980 | 1 470 | 1 960 | 2 450 | 2 940 | 5 000 |
| 21 | V/V(fpm) | 420 | 840 | 1 260 | 1 680 | 2 100 | 2 520 | 5 000 |

NOTE
1. The following minimum climb rate
   RWY 03, minimum climb of 490 ft/NM to 5 000 ft
   RWY 21, minimum climb of 420 ft/NM to 5 000 ft
2. Take-off RWY 21 unavailable due to ASR blind area.

CONTROLLING OBST
DEPARTURE
① 3.37 NM from RWY 03 DER
② 10.6 NM form RWY 21 DER

TAKE-OFF OBST
RWY 03, HILL 2 979 ft from DER, 1 249 right of centerline, 164 ft AGL/493 ft AMSL
RWY 21, HILL 4 182 ft from DER, 866 right of centerline, 164 ft AGL/493 ft AMSL
RWY 21, HILL 7 599 ft from DER, 587 right of centerline, 196 ft AGL/525 ft AMSL
339 ft - 148 ft From End of RWY 21

### DEPARTURE ROUTE DESCRIPTION

TAKE-OFF RWY 03 : Climb HDG 035° to 5 NM, Thence.....

TAKE-OFF RWY 21 : Climb HDG 215°, Thence.....
..... Expect radar vectors to intercept filed altitude/filed Enroute fix or Navaid. Maintain 7 000 ft or assigned altitude(flight level). Expect filed altitude/flight level 10 minute after departure.

LOST COMMUNICATIONS : If radio contact is not established with departure control prior to reaching 5 000 ft, continue climb to 7 000 ft before turning to filed fix/Navaid and proceed filed route and altitude.

Change : Establishment of note for ASR blind area and Information of item number.

INTENTIONALLY

LEFT

BLANK

**STANDARD DEPARTURE CHART INSTRUMENT(SID)**

Note : Departure under U.S TERPS.

| | |
|---|---|
| TRANSITION ALT | 14 000 |
| TRANSITION LVL | FL 140 |

| | | |
|---|---|---|
| WONJU DEP | 130.2 | |
| | 268.5 | |
| WONJU TWR | 126.2 | 118.325 |
| | 236.6 | 265.5 |

**WONJU/Wonju(RKNW)**
**RWY 03**
**RNAV(GNSS) IKILA 1**

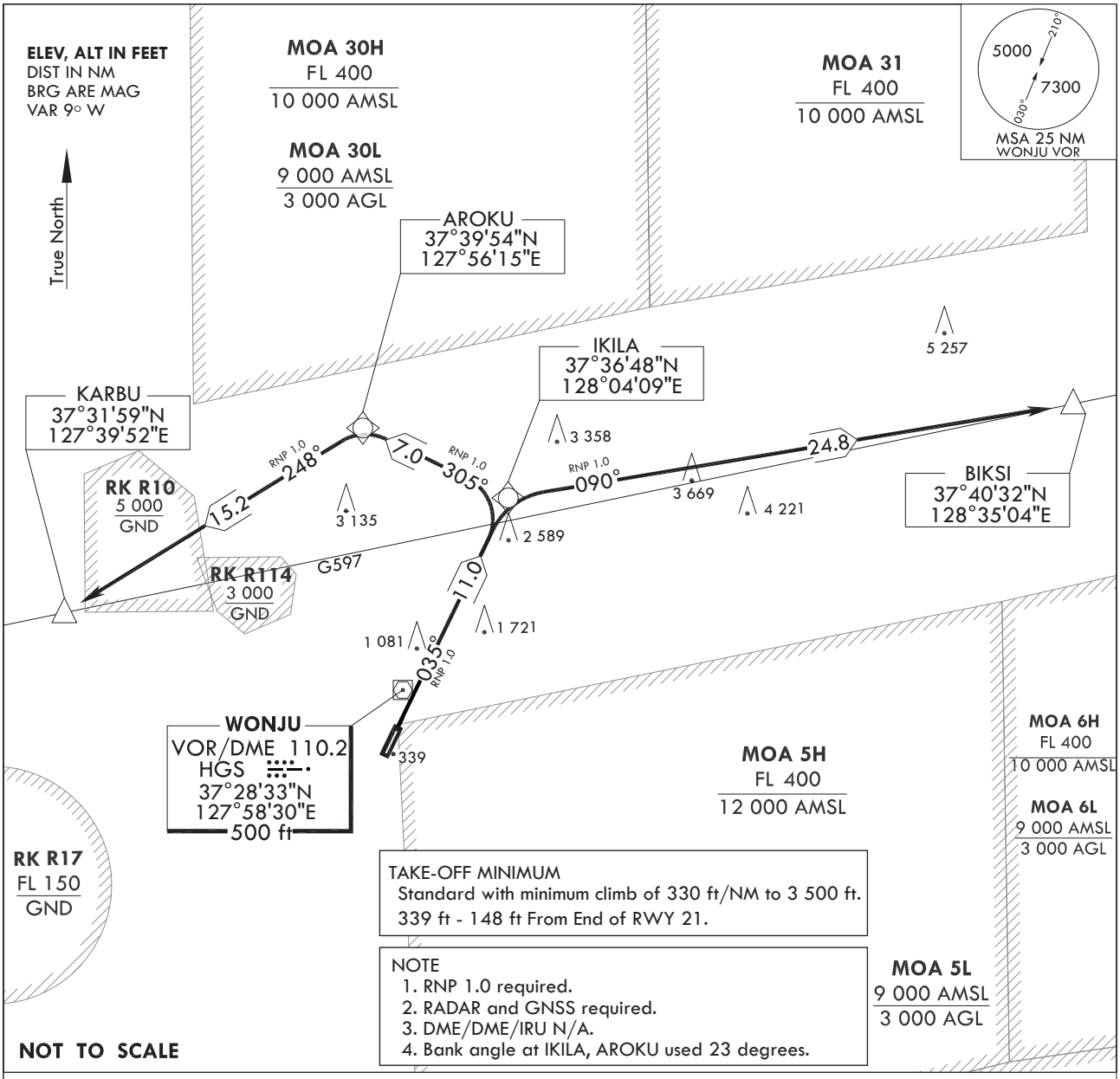


## DEPARTURE ROUTE DESCRIPTION

TAKE-OFF RWY 03 : Climb on course 035° to IKILA, thence.....

KARBU transition : Then on track 305° to AROKU then on track 248° to cross KARBU at 6 500 ft.

BIKSI transition : Then on track 090° to cross BIKSI at 6 500 ft.

Change : Amended coordinates for AROKU(127°56'15"N → 127°56'15"E).

## Standard Instrument Departure Procedure Coding Tables

RNAV(GNSS) IKILA 1 - RWY 03

| Serial Number | Path Descriptor | Waypoint Identifier | Fly -Over | Course/Track ° M(° T) | Distance (NM) | Turn Direction | Altitude (ft) | Speed (kt) | Coordinates | VPA /TCH | Navigation specification | Remarks |
|---|---|---|---|---|---|---|---|---|---|---|---|---|
| 001 | – | RWY 21 | – | – | – | – | – | – | 37°26'56.74"N 127°58'02.23"E | – | RNP APCH | – |
| 002 | CF | IKILA | – | 035 (026.3) | 11.0 | – | – | – | 37°36'47.66"N 128°04'08.88"E | – | RNP APCH | CG 330 ft/NM to 3 500 ft |

KARBU Transition

| Serial Number | Path Descriptor | Waypoint Identifier | Fly -Over | Course/Track ° M(° T) | Distance (NM) | Turn Direction | Altitude (ft) | Speed (kt) | Coordinates | VPA /TCH | Navigation specification | Remarks |
|---|---|---|---|---|---|---|---|---|---|---|---|---|
| 001 | – | IKILA | – | – | – | – | – | – | 37°36'47.66"N 128°04'08.88"E | – | RNP APCH | – |
| 002 | TF | AROKU | – | 305 (296.3) | 7.0 | – | – | – | 37°39'53.96"N 127°56'14.89"E | – | RNP APCH | – |
| 003 | TF | KARBU | – | 248 (238.8) | 15.2 | – | 6 500 | – | 37°31'59.00"N 127°39'52.00"E | – | RNP APCH | – |

BIKSI Transition

| Serial Number | Path Descriptor | Waypoint Identifier | Fly -Over | Course/Track ° M(° T) | Distance (NM) | Turn Direction | Altitude (ft) | Speed (kt) | Coordinates | VPA /TCH | Navigation specification | Remarks |
|---|---|---|---|---|---|---|---|---|---|---|---|---|
| 001 | – | IKILA | – | – | – | – | – | – | 37°36'47.66"N 128°04'08.88"E | – | RNP APCH | – |
| 002 | TF | BIKSI | – | 090 (081.2) | 24.8 | – | 6 500 | – | 37°40'32.00"N 128°35'04.00"E | – | RNP APCH | – |

**INTENTIONALLY**

**LEFT**

**BLANK**

Change : Withdrawal of SID for RWY 21(RNAV(GNSS) SANUV 2).

**INTENTIONALLY**

**LEFT**

**BLANK**

Change : Withdrawal of SID for RWY 21(RNAV(GNSS) SANUV 2).