## AIRCRAFT PARKING / DOCKING CHART - ICAO

APRON ELEV **6** m

| | | | |
|---|---|---|---|
| TWR | 118.2(E) | 118.8(W) | |
| GND | 121.75(E) | 121.7(W) | |
| APRON | 121.65 | 122.175 | 123.675 |
| | 121.8 | 123.325 | 129.725 |

## SEOUL / Incheon Intl

ELEVATIONS AND DIMENSIONS IN METERS
BEARINGS ARE MAGNETIC

VAR 9° W 2025

ANNUAL RATE OF CHANGE
2' W

Note 1
For Gate 11 and 42, pilots need to pay extra caution to follow the lead-in lines, which may require more than two turns.
Note 2
Aircraft shall not taxi into maneuvering area without clearance from Incheon Tower or Ground.

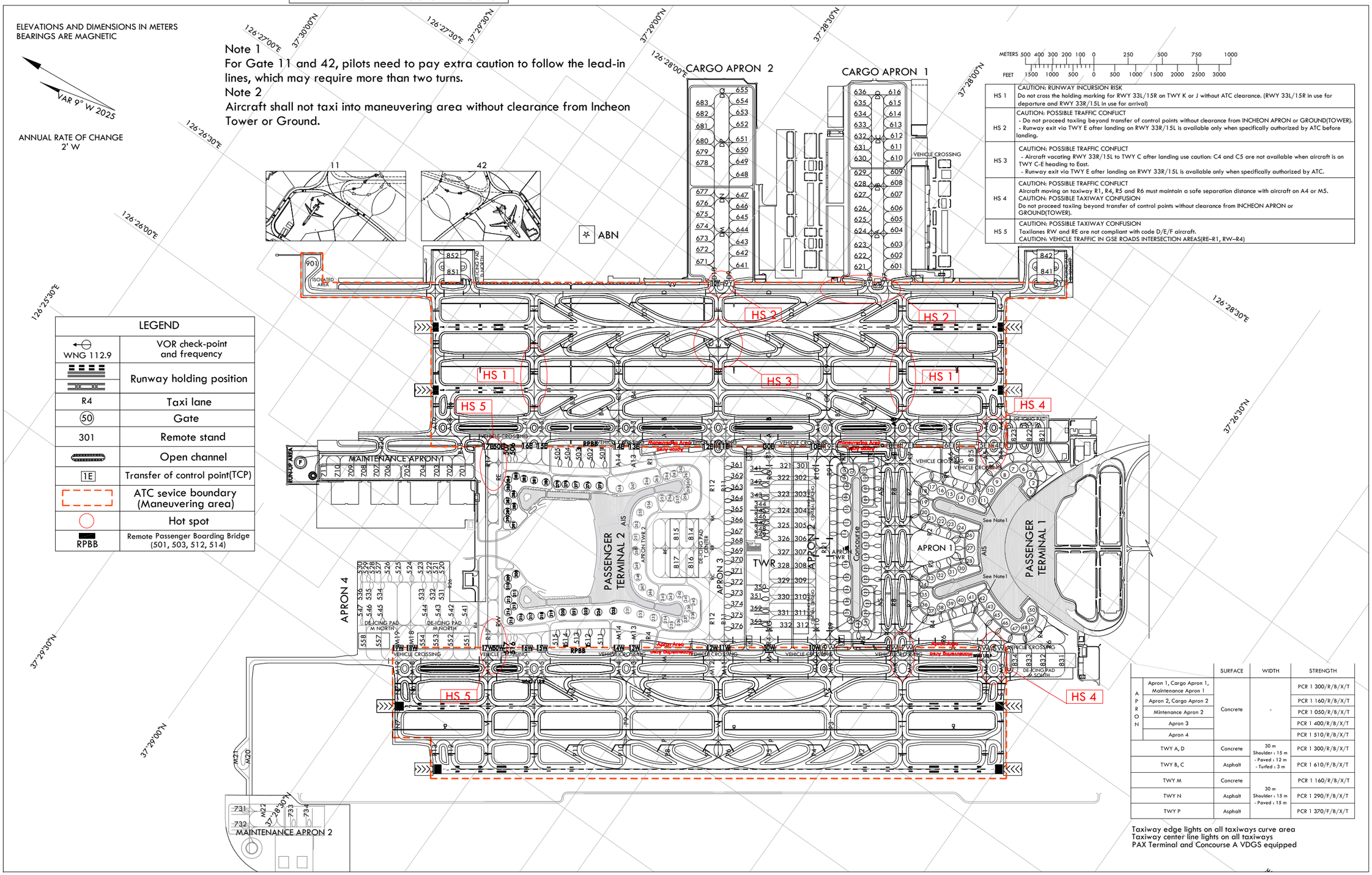


| | |
|---|---|
| HS 1 | CAUTION: RUNWAY INCURSION RISK<br>Do not cross the holding marking for RWY 33L/15R on TWY K or J without ATC clearance. (RWY 33L/15R in use for departure and RWY 33R/15L in use for arrival) |
| HS 2 | CAUTION: POSSIBLE TRAFFIC CONFLICT<br>- Do not proceed taxiing beyond transfer of control points without clearance from INCHEON APRON or GROUND(TOWER).<br>- Runway exit via TWY E after landing on RWY 33R/15L is available only when specifically authorized by ATC before landing. |
| HS 3 | CAUTION: POSSIBLE TRAFFIC CONFLICT<br>- Aircraft vacating RWY 33R/15L to TWY C after landing use caution: C4 and C5 are not available when aircraft is on TWY C-E heading to East.<br>- Runway exit via TWY E after landing on RWY 33R/15L is available only when specifically authorized by ATC. |
| HS 4 | CAUTION: POSSIBLE TRAFFIC CONFLICT<br>Aircraft moving on taxiway R1, R4, R5 and R6 must maintain a safe separation distance with aircraft on A4 or M5.<br>CAUTION: POSSIBLE TAXIWAY CONFUSION<br>Do not proceed taxiing beyond transfer of control points without clearance from INCHEON APRON or GROUND(TOWER). |
| HS 5 | CAUTION: POSSIBLE TAXIWAY CONFUSION<br>Taxilanes RW and RE are not compliant with code D/E/F aircraft.<br>CAUTION: VEHICLE TRAFFIC IN GSE ROADS INTERSECTION AREAS(RE–R1, RW–R4) |

### LEGEND

| | |
|---|---|
| WNG 112.9 | VOR check-point and frequency |
| | Runway holding position |
| R4 | Taxi lane |
| 50 | Gate |
| 301 | Remote stand |
| | Open channel |
| 1E | Transfer of control point(TCP) |
| | ATC sevice boundary (Maneuvering area) |
| | Hot spot |
| RPBB | Remote Passenger Boarding Bridge (501, 503, 512, 514) |

| | | SURFACE | WIDTH | STRENGTH |
|---|---|---|---|---|
| APRON | Apron 1, Cargo Apron 1, Maintenance Apron 1 | Concrete | - | PCR 1 300/R/B/X/T |
| | Apron 2, Cargo Apron 2 | | | PCR 1 160/R/B/X/T |
| | Mintenance Apron 2 | | | PCR 1 050/R/B/X/T |
| | Apron 3 | | | PCR 1 400/R/B/X/T |
| | Apron 4 | | | PCR 1 510/R/B/X/T |
| TWY A, D | | Concrete | 30 m<br>Shoulder : 15 m<br>- Paved : 12 m<br>- Turfed : 3 m | PCR 1 300/R/B/X/T |
| TWY B, C | | Asphalt | | PCR 1 610/F/B/X/T |
| TWY M | | Concrete | 30 m<br>Shoulder : 15 m<br>- Paved : 15 m | PCR 1 160/R/B/X/T |
| TWY N | | Asphalt | | PCR 1 290/F/B/X/T |
| TWY P | | Asphalt | | PCR 1 370/F/B/X/T |

Taxiway edge lights on all taxiways curve area
Taxiway center line lights on all taxiways
PAX Terminal and Concourse A VDGS equipped

Change : Information of hot spot, MAG VAR(9° W 2020 → 9° W 2025) and annual rate of change(6' W → 2' W).

## Apron 1

| | INS COORDINATES FOR AIRCRAFT STANDS | | | STAND AVAILABILITY |
|---|---|---|---|---|
| | WGS-84 | | ELEV(AMSL) | |
| 1 | 37°26'58.99"N | 126°27'21.50"E | 5 m | C |
| 2 | 37°26'59.37"N | 126°27'23.34"E | 5 m | C |
| 3 | 37°27'00.31"N | 126°27'24.11"E | 5 m | C, D |
| 6 | 37°27'01.77"N | 126°27'23.95"E | 5 m | C, D, E |
| 7 | 37°27'02.95"N | 126°27'22.99"E | 5 m | C, D, E |
| 8 | 37°27'03.50"N | 126°27'20.88"E | 5 m | C, D, E, F |
| 9 | 37°27'03.93"N | 126°27'18.16"E | 5 m | C, D, E |
| 10 | 37°27'04.10"N | 126°27'15.34"E | 5 m | C, D, E, F |
| 11 | 37°27'04.16"N | 126°27'12.40"E | 5 m | C |
| 12 | 37°27'06.45"N | 126°27'08.48"E | 5 m | C, D, E, F |
| 14 | 37°27'08.98"N | 126°27'07.70"E | 5 m | C, D, E |
| 15 | 37°27'11.30"N | 126°27'07.12"E | 5 m | C, D, E, F |
| 16 | 37°27'13.30"N | 126°27'07.09"E | 5 m | C |
| 17 | 37°27'14.77"N | 126°27'05.83"E | 5 m | C, D, E, F |
| 18 | 37°27'15.20"N | 126°27'04.55"E | 5 m | C |
| 19 | 37°27'13.95"N | 126°27'02.63"E | 5 m | D, E |
| 20 | 37°27'13.30"N | 126°27'00.94"E | 5 m | C, D |
| 21 | 37°27'11.63"N | 126°27'01.50"E | 5 m | D, E |
| 22 | 37°27'10.17"N | 126°27'02.54"E | 5 m | C, D, E |
| 23 | 37°27'07.86"N | 126°27'03.20"E | 5 m | C, D, E |
| 24 | 37°27'05.53"N | 126°27'04.58"E | 5 m | C, D, E |
| 26 | 37°27'01.95"N | 126°27'02.96"E | 5 m | D, E |
| 27 | 37°27'00.58"N | 126°27'00.31"E | 5 m | C, D, E |
| 28 | 37°26'58.95"N | 126°26'57.88"E | 5 m | C, D, E |
| 30 | 37°26'58.99"N | 126°26'52.96"E | 5 m | C, D, E |
| 31 | 37°27'00.73"N | 126°26'50.72"E | 5 m | C, D, E |
| 32 | 37°27'02.06"N | 126°26'48.27"E | 5 m | C, D, E |
| 33 | 37°27'03.46"N | 126°26'46.44"E | 5 m | C, D, E |
| 34 | 37°27'04.45"N | 126°26'44.82"E | 5 m | C, D |
| 35 | 37°27'03.07"N | 126°26'43.38"E | 5 m | C, D, E |
| 36 | 37°27'01.97"N | 126°26'41.97"E | 5 m | C, D |
| 37 | 37°27'00.40"N | 126°26'41.99"E | 5 m | C, D |
| 38 | 37°26'59.61"N | 126°26'43.21"E | 5 m | C, D |
| 39 | 37°26'59.20"N | 126°26'45.23"E | 5 m | D, E |
| 40 | 37°26'57.91"N | 126°26'47.75"E | 5 m | D, E |
| 41 | 37°26'56.40"N | 126°26'50.62"E | 5 m | C, D, E |
| 42 | 37°26'52.78"N | 126°26'52.07"E | 5 m | C |
| 43 | 37°26'50.51"N | 126°26'51.17"E | 5 m | C, D, E, F |
| 45 | 37°26'48.38"N | 126°26'50.47"E | 5 m | C, D, E |
| 46 | 37°26'46.18"N | 126°26'50.16"E | 5 m | C, D, E, F |
| 47 | 37°26'44.29"N | 126°26'49.95"E | 5 m | C, D, E |
| 48 | 37°26'43.06"N | 126°26'51.57"E | 5 m | C, D, E |
| 49 | 37°26'42.94"N | 126°26'53.29"E | 5 m | D, E |
| 50 | 37°26'44.23"N | 126°26'55.55"E | 5 m | C, D, E |
| 103 | 37°27'29.59"N | 126°26'59.99"E | 5 m | C |
| 105 | 37°27'28.46"N | 126°26'58.57"E | 5 m | C, D |
| 107 | 37°27'27.35"N | 126°26'55.93"E | 5 m | C, D, E |
| 109 | 37°27'25.99"N | 126°26'53.53"E | 5 m | C, D, E |
| 111 | 37°27'24.35"N | 126°26'50.62"E | 5 m | C, D, E |
| 113 | 37°27'22.99"N | 126°26'48.22"E | 5 m | C, D, E |
| 115 | 37°27'21.33"N | 126°26'46.07"E | 5 m | C, D |
| 117 | 37°27'20.08"N | 126°26'43.72"E | 5 m | C, D |
| 119 | 37°27'18.67"N | 126°26'41.21"E | 5 m | D |
| 121 | 37°27'17.55"N | 126°26'38.59"E | 5 m | C, D, E |
| 123 | 37°27'16.19"N | 126°26'36.18"E | 5 m | C, D, E |
| 125 | 37°27'14.42"N | 126°26'33.45"E | 5 m | C, D, E |
| 127 | 37°27'12.91"N | 126°26'31.17"E | 5 m | C, D |
| 129 | 37°27'11.78"N | 126°26'28.89"E | 5 m | C, D |
| 131 | 37°27'10.77"N | 126°26'27.39"E | 5 m | C, D, E |
| 132 | 37°27'11.82"N | 126°26'25.99"E | 5 m | C, D |

## Isolated Security Parking Position

| | INS COORDINATES FOR AIRCRAFT STANDS | | | STAND AVAILABILITY |
|---|---|---|---|---|
| | WGS-84 | | ELEV(AMSL) | |
| 901 | 37°29'31.53"N | 126°26'21.41"E | 5 m | A ~ F |

## Run-up Area

* Engine Run-up Area : North of Maintenance Apron
** In case of the Run-up area U/S, 14A(North part of TWY A) can be allocated as Temporary run-up area.

## Apron 2

| | INS COORDINATES FOR AIRCRAFT STANDS | | | STAND AVAILABILITY |
|---|---|---|---|---|
| | WGS-84 | | ELEV(AMSL) | |
| 101 | 37°27'31.15"N | 126°26'57.96"E | 5 m | C |
| 102 | 37°27'32.38"N | 126°26'56.77"E | 6 m | C |
| 104 | 37°27'31.66"N | 126°26'55.43"E | 5 m | C, D |
| 106 | 37°27'30.25"N | 126°26'54.20"E | 5 m | C, D, E, F |
| 108 | 37°27'29.09"N | 126°26'51.62"E | 6 m | C, D, E |
| 110 | 37°27'27.37"N | 126°26'49.15"E | 6 m | C, D, E, F |
| 112 | 37°27'25.73"N | 126°26'46.25"E | 6 m | C, D, E, F |
| 114 | 37°27'24.76"N | 126°26'43.44"E | 6 m | C, D |
| 118 | 37°27'20.78"N | 126°26'36.96"E | 6 m | C, D, E |
| 122 | 37°27'19.05"N | 126°26'34.28"E | 6 m | C, D, E, F |
| 124 | 37°27'17.50"N | 126°26'31.68"E | 5 m | C, D, E |
| 126 | 37°27'16.00"N | 126°26'29.02"E | 6 m | C, D, E, F |
| 128 | 37°27'15.01"N | 126°26'26.23"E | 6 m | C, D |
| 130 | 37°27'13.79"N | 126°26'24.76"E | 5 m | C, D, E |
| 321 | 37°27'42.95"N | 126°26'48.77"E | 5 m | A ~ C |
| 322 | 37°27'41.39"N | 126°26'46.17"E | 5 m | A ~ F |
| 323 | 37°27'39.40"N | 126°26'42.64"E | 5 m | A ~ F |
| 324 | 37°27'37.40"N | 126°26'39.11"E | 5 m | A ~ F |
| 325 | 37°27'35.57"N | 126°26'35.88"E | 5 m | A ~ E |
| 326 | 37°27'33.91"N | 126°26'32.93"E | 5 m | A ~ E |
| 327 | 37°27'32.24"N | 126°26'29.99"E | 5 m | A ~ E |
| 328 | 37°27'30.58"N | 126°26'27.04"E | 5 m | A ~ E |
| 329 | 37°27'28.75"N | 126°26'23.81"E | 5 m | A ~ F |
| 330 | 37°27'26.76"N | 126°26'20.28"E | 5 m | A ~ F |
| 331 | 37°27'24.76"N | 126°26'16.75"E | 5 m | A ~ F |
| 332 | 37°27'23.32"N | 126°26'14.04"E | 5 m | A ~ C |
| 341 | 37°27'49.32"N | 126°26'42.06"E | 5 m | A ~ F |
| 342 | 37°27'47.67"N | 126°26'39.15"E | 5 m | A ~ F |
| 343 | 37°27'46.07"N | 126°26'36.30"E | 5 m | A ~ E |
| 344 | 37°27'44.22"N | 126°26'34.91"E | 5 m | A ~ C |
| 345 | 37°27'43.46"N | 126°26'33.57"E | 5 m | A ~ C |
| 346 | 37°27'42.70"N | 126°26'32.23"E | 5 m | A ~ C |
| 347 | 37°27'41.94"N | 126°26'30.88"E | 6 m | A ~ C |
| 348 | 37°27'41.18"N | 126°26'29.54"E | 5 m | A ~ C |
| 349 | 37°27'40.42"N | 126°26'28.20"E | 5 m | A ~ C |
| 350 | 37°27'34.00"N | 126°26'16.84"E | 5 m | A ~ C |
| 351 | 37°27'33.63"N | 126°26'14.29"E | 5 m | A ~ E |
| 352 | 37°27'32.12"N | 126°26'11.63"E | 5 m | A ~ F |
| 353 | 37°27'30.48"N | 126°26'08.73"E | 5 m | A ~ F |

## Apron 3

| | INS COORDINATES FOR AIRCRAFT STANDS | | | STAND AVAILABILITY |
|---|---|---|---|---|
| | WGS-84 | | ELEV(AMSL) | |
| 208 | 37°28'17.64"N | 126°25'42.86"E | 6 m | C |
| 209 | 37°28'16.72"N | 126°25'41.27"E | 6 m | C |
| 210 | 37°28'16.64"N | 126°25'39.78"E | 6 m | C |
| 211 | 37°28'15.87"N | 126°25'38.41"E | 6 m | C |
| 212 | 37°28'15.10"N | 126°25'37.05"E | 6 m | C |
| 213 | 37°28'14.33"N | 126°25'35.70"E | 6 m | C |
| 214 | 37°28'13.68"N | 126°25'34.41"E | 6 m | C |
| 215 | 37°28'12.52"N | 126°25'34.61"E | 6 m | C |
| 216 | 37°28'11.53"N | 126°25'36.05"E | 6 m | C, D, E |
| 217 | 37°28'10.02"N | 126°25'37.56"E | 6 m | C, D ,E |
| 218 | 37°28'08.39"N | 126°25'39.49"E | 6 m | C, D, E |
| 219 | 37°28'06.14"N | 126°25'40.41"E | 6 m | C |
| 220 | 37°28'04.94"N | 126°25'43.20"E | 6 m | C, D, E |
| 221 | 37°28'03.07"N | 126°25'44.99"E | 6 m | C, D, E |
| 222 | 37°28'01.09"N | 126°25'46.90"E | 6 m | C, D, E |
| 224 | 37°27'58.84"N | 126°25'48.99"E | 6 m | C, D, E, F |
| 225 | 37°27'56.11"N | 126°25'51.51"E | 6 m | C, D, E, F |
| 231 | 37°27'53.50"N | 126°25'53.73"E | 6 m | C, D, E, F |
| 232 | 37°27'50.63"N | 126°25'55.11"E | 6 m | C, D, E, F |
| 233 | 37°27'48.06"N | 126°25'56.39"E | 6 m | C, D, E, F |
| 234 | 37°27'45.25"N | 126°25'57.65"E | 6 m | C, D, E, F |
| 235 | 37°27'43.43"N | 126°25'58.43"E | 6 m | C, D, E |
| 236 | 37°27'41.63"N | 126°25'59.34"E | 5 m | C |
| 237 | 37°27'41.95"N | 126°26'00.49"E | 5 m | C |
| 238 | 37°27'41.95"N | 126°26'02.41"E | 5 m | C |
| 239 | 37°27'42.57"N | 126°26'03.75"E | 5 m | C |
| 240 | 37°27'43.84"N | 126°26'03.91"E | 5 m | C |
| 241 | 37°27'45.11"N | 126°26'04.57"E | 6 m | C, D, E |

## Apron 3

| | INS COORDINATES FOR AIRCRAFT STANDS | | | STAND AVAILABILITY |
|---|---|---|---|---|
| | WGS-84 | | ELEV(AMSL) | |
| 242 | 37°27'46.48"N | 126°26'03.41"E | 6 m | C, D, E |
| 243 | 37°27'48.32"N | 126°26'02.55"E | 6 m | C |
| 245 | 37°27'48.94"N | 126°26'00.76"E | 6 m | C |
| 246 | 37°27'51.45"N | 126°25'59.22"E | 6 m | C, D, E |
| 247 | 37°27'55.00"N | 126°25'59.73"E | 6 m | C, D, E |
| 248 | 37°27'57.23"N | 126°26'02.28"E | 6 m | C, D, E |
| 249 | 37°27'58.69"N | 126°26'04.97"E | 6 m | C, D, E |
| 250 | 37°27'59.11"N | 126°26'07.52"E | 6 m | C |
| 251 | 37°28'01.43"N | 126°26'09.81"E | 6 m | C, D, E |
| 252 | 37°28'02.97"N | 126°26'12.47"E | 6 m | C, D, E |
| 253 | 37°28'04.15"N | 126°26'15.83"E | 6 m | C, D, E |
| 254 | 37°28'03.39"N | 126°26'20.27"E | 6 m | C, D, E |
| 255 | 37°28'00.46"N | 126°26'23.80"E | 6 m | C, D, E |
| 256 | 37°27'58.59"N | 126°26'25.00"E | 6 m | C, D, E |
| 257 | 37°27'57.32"N | 126°26'26.21"E | 6 m | C, D, E |
| 258 | 37°27'56.59"N | 126°26'27.91"E | 5 m | C |
| 259 | 37°27'57.47"N | 126°26'28.63"E | 5 m | C |
| 260 | 37°27'58.31"N | 126°26'30.31"E | 5 m | C |
| 261 | 37°27'59.23"N | 126°26'31.37"E | 5 m | C |
| 262 | 37°28'00.16"N | 126°26'30.78"E | 6 m | C |
| 263 | 37°28'01.52"N | 126°26'29.98"E | 6 m | E |
| 264 | 37°28'02.61"N | 126°26'27.99"E | 6 m | C, D, E, F |
| 265 | 37°28'04.51"N | 126°26'25.12"E | 6 m | C, D, E, F |
| 266 | 37°28'06.25"N | 126°26'22.61"E | 6 m | C, D, E, F |
| 267 | 37°28'08.33"N | 126°26'19.82"E | 6 m | C, D, E, F |
| 268 | 37°28'10.50"N | 126°26'17.17"E | 6 m | C, D, E, F |
| 275 | 37°28'13.45"N | 126°26'14.89"E | 6 m | C, D, E, F |
| 276 | 37°28'15.65"N | 126°26'13.10"E | 6 m | C, D, E |
| 277 | 37°28'17.62"N | 126°26'11.49"E | 6 m | C, D, E |
| 278 | 37°28'19.60"N | 126°26'09.88"E | 6 m | C, D, E |
| 279 | 37°28'21.67"N | 126°26'09.56"E | 6 m | C |
| 280 | 37°28'22.93"N | 126°26'07.30"E | 6 m | C, D, E |
| 281 | 37°28'25.07"N | 126°26'05.83"E | 6 m | C, D, E |
| 282 | 37°28'27.19"N | 126°26'04.32"E | 6 m | C, D, E |
| 283 | 37°28'29.36"N | 126°26'03.74"E | 6 m | C |
| 284 | 37°28'29.22"N | 126°26'02.28"E | 6 m | C |
| 285 | 37°28'28.85"N | 126°26'01.09"E | 6 m | C |
| 286 | 37°28'28.07"N | 126°25'59.99"E | 6 m | C |
| 287 | 37°28'27.30"N | 126°25'58.64"E | 6 m | C |
| 288 | 37°28'26.53"N | 126°25'57.27"E | 6 m | C |
| 289 | 37°28'25.76"N | 126°25'55.91"E | 6 m | C |
| 290 | 37°28'24.99"N | 126°25'54.56"E | 6 m | C |
| 291 | 37°28'23.41"N | 126°25'54.89"E | 6 m | C |
| 361 | 37°27'51.21"N | 126°26'40.96"E | 5 m | A ~ C |
| 362 | 37°27'49.77"N | 126°26'39.34"E | 5 m | A ~ E |
| 363 | 37°27'48.41"N | 126°26'36.93"E | 5 m | A ~ E |
| 364 | 37°27'47.05"N | 126°26'34.52"E | 5 m | A ~ E |
| 365 | 37°27'45.69"N | 126°26'32.12"E | 5 m | A ~ E |
| 366 | 37°27'44.33"N | 126°26'29.71"E | 5 m | A ~ E |
| 367 | 37°27'42.96"N | 126°26'27.31"E | 5 m | A ~ E |
| 368 | 37°27'42.44"N | 126°26'24.88"E | 5 m | A ~ C |
| 369 | 37°27'41.09"N | 126°26'22.49"E | 5 m | A ~ C |
| 370 | 37°27'39.44"N | 126°26'21.06"E | 5 m | A ~ E |
| 371 | 37°27'38.08"N | 126°26'18.66"E | 5 m | A ~ E |
| 372 | 37°27'36.72"N | 126°26'16.25"E | 5 m | A ~ E |
| 373 | 37°27'35.36"N | 126°26'13.84"E | 5 m | A ~ E |
| 374 | 37°27'34.00"N | 126°26'11.44"E | 5 m | A ~ E |
| 375 | 37°27'32.64"N | 126°26'09.03"E | 5 m | A ~ E |
| 376 | 37°27'31.89"N | 126°26'06.79"E | 5 m | A ~ C |
| 501 | 37°28'17.68"N | 126°26'24.20"E | 5 m | A ~ F |
| 502 | 37°28'19.80"N | 126°26'22.19"E | 5 m | A ~ F |
| 503 | 37°28'21.77"N | 126°26'20.42"E | 5 m | A ~ E |
| 504 | 37°28'23.70"N | 126°26'18.71"E | 5 m | A ~ E |
| 505 | 37°28'25.47"N | 126°26'17.15"E | 5 m | A ~ D |
| 506 | 37°28'32.85"N | 126°26'10.78"E | 5 m | A ~ C |
| 507 | 37°28'33.94"N | 126°26'09.81"E | 5 m | A ~ C |
| 511 | 37°27'53.18"N | 126°25'40.92"E | 5 m | A ~ F |
| 512 | 37°27'55.40"N | 126°25'39.07"E | 5 m | A ~ F |
| 513 | 37°27'57.37"N | 126°25'37.32"E | 5 m | A ~ E |
| 514 | 37°27'59.30"N | 126°25'35.61"E | 5 m | A ~ E |
| 515 | 37°28'01.06"N | 126°25'34.03"E | 5 m | A ~ D |
| 516 | 37°28'08.35"N | 126°25'27.44"E | 5 m | A ~ C |
| 517 | 37°28'09.42"N | 126°25'26.49"E | 5 m | A ~ C |

## Apron 4

| | INS COORDINATES FOR AIRCRAFT STANDS | | | STAND AVAILABILITY |
|---|---|---|---|---|
| | WGS-84 | | ELEV(AMSL) | |
| 520 | 37°28'30.58"N | 126°25'33.83"E | 5 m | A ~ C |
| 521 | 37°28'31.54"N | 126°25'32.62"E | 5 m | A ~ C |
| 522 | 37°28'32.61"N | 126°25'31.66"E | 5 m | A ~ C |
| 523 | 37°28'34.58"N | 126°25'31.07"E | 5 m | A ~ E |
| 524 | 37°28'36.50"N | 126°25'29.37"E | 5 m | A ~ E |
| 525 | 37°28'38.42"N | 126°25'27.66"E | 5 m | A ~ E |
| 526 | 37°28'40.34"N | 126°25'25.95"E | 5 m | A ~ E |
| 527 | 37°28'41.44"N | 126°25'23.81"E | 5 m | A ~ C |
| 528 | 37°28'42.51"N | 126°25'22.86"E | 5 m | A ~ C |
| 529 | 37°28'43.71"N | 126°25'22.14"E | 5 m | A ~ C |
| 530 | 37°28'44.78"N | 126°25'21.18"E | 5 m | A ~ C |
| 531 | 37°28'26.95"N | 126°25'27.30"E | 5 m | A ~ C |
| 532 | 37°28'28.24"N | 126°25'25.51"E | 5 m | A ~ E |
| 533 | 37°28'30.16"N | 126°25'23.80"E | 5 m | A ~ E |
| 534 | 37°28'37.38"N | 126°25'17.38"E | 5 m | A ~ E |
| 535 | 37°28'39.29"N | 126°25'15.67"E | 5 m | A ~ E |
| 536 | 37°28'41.07"N | 126°25'14.73"E | 5 m | A ~ E |
| 541 | 37°28'21.85"N | 126°25'29.06"E | 5 m | A ~ F |
| 542 | 37°28'24.17"N | 126°25'27.00"E | 5 m | A ~ F |
| 543 | 37°28'26.48"N | 126°25'24.94"E | 5 m | A ~ F |
| 544 | 37°28'28.80"N | 126°25'22.88"E | 5 m | A ~ F |
| 545 | 37°28'36.59"N | 126°25'15.99"E | 5 m | A ~ E |
| 546 | 37°28'38.51"N | 126°25'14.28"E | 5 m | A ~ E |
| 547 | 37°28'39.96"N | 126°25'12.77"E | 5 m | A ~ C |

## Cargo Apron 1

| | INS COORDINATES FOR AIRCRAFT STANDS | | | STAND AVAILABILITY |
|---|---|---|---|---|
| | WGS-84 | | ELEV(AMSL) | |
| 601 | 37°27'47.85"N | 126°27'49.51"E | 6 m | A ~ E |
| 602 | 37°27'49.21"N | 126°27'51.92"E | 6 m | A ~ E |
| 603 | 37°27'50.57"N | 126°27'54.33"E | 6 m | A ~ F |
| 604 | 37°27'52.30"N | 126°27'57.39"E | 6 m | A ~ F |
| 605 | 37°27'53.66"N | 126°27'59.80"E | 6 m | A ~ E |
| 606 | 37°27'55.02"N | 126°28'02.21"E | 6 m | A ~ F |
| 607 | 37°27'56.76"N | 126°28'05.28"E | 6 m | A ~ F |
| 608 | 37°27'58.12"N | 126°28'07.69"E | 6 m | A ~ E |
| 609 | 37°27'59.47"N | 126°28'10.09"E | 6 m | A ~ E |
| 610 | 37°28'01.21"N | 126°28'13.17"E | 6 m | A ~ E |
| 611 | 37°28'02.57"N | 126°28'15.57"E | 6 m | A ~ E |
| 612 | 37°28'03.93"N | 126°28'17.98"E | 6 m | A ~ E |
| 613 | 37°28'05.31"N | 126°28'20.37"E | 6 m | A ~ E |
| 614 | 37°28'06.67"N | 126°28'22.77"E | 6 m | A ~ E |
| 615 | 37°28'08.03"N | 126°28'25.18"E | 6 m | A ~ E |
| 616 | 37°28'09.39"N | 126°28'27.59"E | 6 m | A ~ F |
| 621 | 37°27'56.05"N | 126°27'42.22"E | 6 m | A ~ E |
| 622 | 37°27'57.41"N | 126°27'44.63"E | 6 m | A ~ E |
| 623 | 37°27'58.77"N | 126°27'47.03"E | 6 m | A ~ F |
| 624 | 37°28'00.50"N | 126°27'50.10"E | 6 m | A ~ F |
| 625 | 37°28'01.86"N | 126°27'52.51"E | 6 m | A ~ E |
| 626 | 37°28'03.22"N | 126°27'54.92"E | 6 m | A ~ F |
| 627 | 37°28'04.96"N | 126°27'57.99"E | 6 m | A ~ F |
| 628 | 37°28'06.32"N | 126°28'00.40"E | 6 m | A ~ E |
| 629 | 37°28'07.68"N | 126°28'02.80"E | 6 m | A ~ F |
| 630 | 37°28'09.41"N | 126°28'05.87"E | 6 m | A ~ F |
| 631 | 37°28'10.77"N | 126°28'08.28"E | 6 m | A ~ E |
| 632 | 37°28'12.13"N | 126°28'10.69"E | 6 m | A ~ E |
| 633 | 37°28'13.47"N | 126°28'13.11"E | 6 m | A ~ E |
| 634 | 37°28'14.83"N | 126°28'15.52"E | 6 m | A ~ E |
| 635 | 37°28'16.19"N | 126°28'17.93"E | 6 m | A ~ E |
| 636 | 37°28'17.55"N | 126°28'20.33"E | 6 m | A ~ F |

## Cargo Apron 2

| | INS COORDINATES FOR AIRCRAFT STANDS | | | STAND AVAILABILITY |
|---|---|---|---|---|
| | WGS-84 | | ELEV(AMSL) | |
| 641 | 37°28'14.41"N | 126°27'26.28"E | 6 m | A ~ F |
| 642 | 37°28'16.06"N | 126°27'28.81"E | 6 m | A ~ E |
| 643 | 37°28'17.42"N | 126°27'31.22"E | 6 m | A ~ E |
| 644 | 37°28'18.78"N | 126°27'34.00"E | 6 m | A ~ F |
| 645 | 37°28'20.40"N | 126°27'36.55"E | 6 m | A ~ E |
| 646 | 37°28'21.76"N | 126°27'38.96"E | 6 m | A ~ E |
| 647 | 37°28'23.13"N | 126°27'41.37"E | 6 m | A ~ F |
| 648 | 37°28'25.70"N | 126°27'45.82"E | 6 m | A ~ F |
| 649 | 37°28'27.46"N | 126°27'48.57"E | 6 m | A ~ E |

## Cargo Apron 2

| | INS COORDINATES FOR AIRCRAFT STANDS | | | STAND AVAILABILITY |
|---|---|---|---|---|
| | WGS-84 | | ELEV(AMSL) | |
| 650 | 37°28'28.82"N | 126°27'50.97"E | 6 m | A ~ E |
| 651 | 37°28'30.18"N | 126°27'53.38"E | 6 m | A ~ E |
| 652 | 37°28'31.87"N | 126°27'56.74"E | 6 m | A ~ F |
| 653 | 37°28'33.51"N | 126°27'59.27"E | 6 m | A ~ E |
| 654 | 37°28'34.87"N | 126°28'01.68"E | 6 m | A ~ E |
| 655 | 37°28'36.23"N | 126°28'04.09"E | 6 m | A ~ F |
| 671 | 37°28'24.41"N | 126°27'18.95"E | 6 m | A ~ F |
| 672 | 37°28'25.78"N | 126°27'21.75"E | 7 m | A ~ E |
| 673 | 37°28'27.14"N | 126°27'24.16"E | 7 m | A ~ E |
| 674 | 37°28'28.78"N | 126°27'26.69"E | 7 m | A ~ F |
| 675 | 37°28'30.14"N | 126°27'29.47"E | 7 m | A ~ E |
| 676 | 37°28'31.50"N | 126°27'31.88"E | 7 m | A ~ E |
| 677 | 37°28'32.86"N | 126°27'34.28"E | 7 m | A ~ E |
| 678 | 37°28'36.41"N | 126°27'40.58"E | 7 m | A ~ E |
| 679 | 37°28'37.78"N | 126°27'42.98"E | 7 m | A ~ E |
| 680 | 37°28'39.14"N | 126°27'45.41"E | 7 m | A ~ E |
| 681 | 37°28'41.11"N | 126°27'48.52"E | 7 m | A ~ F |
| 682 | 37°28'42.48"N | 126°27'51.32"E | 7 m | A ~ E |
| 683 | 37°28'43.84"N | 126°27'53.72"E | 6 m | A ~ E |

## Maintenance Apron 1

| | INS COORDINATES FOR AIRCRAFT STANDS | | | STAND AVAILABILITY |
|---|---|---|---|---|
| | WGS-84 | | ELEV(AMSL) | |
| 701 | 37°28'38.16"N | 126°25'56.92"E | 5 m | A ~ F |
| 702 | 37°28'40.45"N | 126°25'54.99"E | 5 m | A ~ E |
| 703 | 37°28'42.70"N | 126°25'52.99"E | 5 m | A ~ E |
| 704 | 37°28'44.98"N | 126°25'50.68"E | 5 m | A ~ F |
| 705 | 37°28'47.73"N | 126°25'48.22"E | 5 m | A ~ F |
| 706 | 37°28'51.24"N | 126°25'45.39"E | 5 m | A ~ E |
| 707 | 37°28'53.16"N | 126°25'43.68"E | 5 m | A ~ E |
| 708 | 37°28'55.36"N | 126°25'41.74"E | 5 m | A ~ E |
| 709 | 37°28'57.51"N | 126°25'39.70"E | 5 m | A ~ F |
| 710 | 37°28'59.83"N | 126°25'37.47"E | 5 m | A ~ F |
| 711 | 37°29'02.32"N | 126°25'35.53"E | 5 m | A ~ E |

## Maintenance Apron 2

| | INS COORDINATES FOR AIRCRAFT STANDS | | | STAND AVAILABILITY |
|---|---|---|---|---|
| | WGS-84 | | ELEV(AMSL) | |
| 731 | 37°28'37.56"N | 126°24'07.74"E | 5 m | A ~ F |
| 732 | 37°28'35.64"N | 126°24'04.36"E | 5 m | A ~ F |
| 733 | 37°28'26.99"N | 126°24'18.04"E | 5 m | A ~ F |
| 734 | 37°28'24.29"N | 126°24'20.44"E | 5 m | A ~ F |

## Deicing Apron

| | INS COORDINATES FOR AIRCRAFT STANDS | | | STAND AVAILABILITY |
|---|---|---|---|---|
| | WGS-84 | | ELEV(AMSL) | |
| 301 | 37°27'40.02"N | 126°26'51.37"E | 5 m | A ~ C |
| 302 | 37°27'38.47"N | 126°26 48.77"E | 5 m | A ~ F |
| 303 | 37°27'36.47"N | 126°26 45.24"E | 5 m | A ~ F |
| 304 | 37°27'34.48"N | 126°26 41.71"E | 5 m | A ~ F |
| 305 | 37°27'32.65"N | 126°26'38.48"E | 5 m | A ~ E |
| 306 | 37°27'30.98"N | 126°26'35.54"E | 5 m | A ~ E |
| 307 | 37°27'29.32"N | 126°26'32.59"E | 5 m | A ~ E |
| 308 | 37°27'27.65"N | 126°26'29.64"E | 5 m | A ~ E |
| 309 | 37°27'25.82"N | 126°26'26.41"E | 5 m | A ~ F |
| 310 | 37°27'23.83"N | 126°26'22.88"E | 5 m | A ~ F |
| 311 | 37°27'21.84"N | 126°26'19.35"E | 5 m | A ~ F |
| 312 | 37°27'20.39"N | 126°26'16.64"E | 5 m | A ~ C |
| 551 | 37°28'16.56"N | 126°25'20.59"E | 5 m | A ~ F |
| 552 | 37°28'19.34"N | 126°25'18.11"E | 5 m | A ~ F |
| 553 | 37°28'21.89"N | 126°25'15.84"E | 5 m | A ~ E |
| 554 | 37°28'24.21"N | 126°25'13.78"E | 5 m | A ~ E |
| 557 | 37°28'31.86"N | 126°25'06.97"E | 5 m | A ~ F |
| 558 | 37°28'34.40"N | 126°25'04.70"E | 5 m | A ~ E |
| 814 | 37°27'51.94"N | 126°26'20.76"E | 5 m | A ~ E |
| 815 | 37°27'54.44"N | 126°26'18.53"E | 6 m | A ~ E |
| 816 | 37°27'47.33"N | 126°26'12.61"E | 6 m | A ~ E |
| 817 | 37°27'49.83"N | 126°26'10.38"E | 6 m | A ~ E |
| 821 | 37°27'02.98"N | 126°27'36.46"E | 5 m | A ~ E |
| 822 | 37°27'05.15"N | 126°27'34.49"E | 5 m | A ~ E |
| 823 | 37°27'07.99"N | 126°27'32.24"E | 5 m | A ~ F |
| 825 | 37°27'12.54"N | 126°27'19.92"E | 5 m | A ~ F |
| 831 | 37°26'30.61"N | 126°26'48.39"E | 5 m | A ~ F |
| 832 | 37°26'33.97"N | 126°26'45.55"E | 5 m | A ~ E |
| 833 | 37°26'36.40"N | 126°26'43.38"E | 5 m | A ~ E |
| 834 | 37°26'38.84"N | 126°26'41.22"E | 5 m | A ~ E |
| 841 | 37°27'22.87"N | 126°28'10.06"E | 6 m | A ~ F |
| 842 | 37°27'25.04"N | 126°28'13.52"E | 6 m | A ~ F |
| 851 | 37°29'06.03"N | 126°26'38.32"E | 5 m | A ~ F |
| 852 | 37°29'08.25"N | 126°26'41.76"E | 5 m | A ~ F |

Note : Refer to RKSI AD 2.20, 12. Special notice to ICAO Code F aircraft(A380 & B747-8) operators for ICAO Code F aircraft stands including multiple use stands.

# Multiple use stands operation

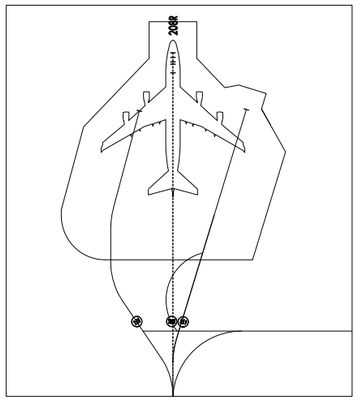


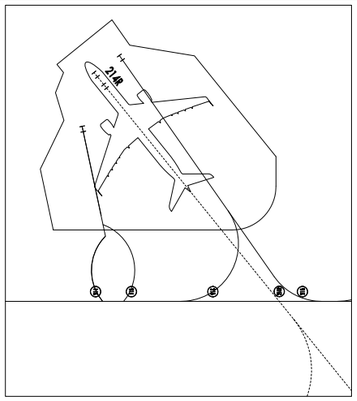


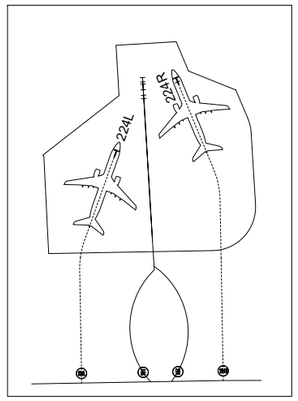


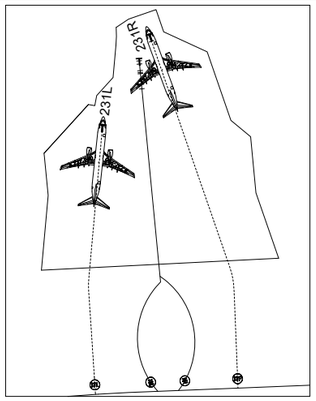


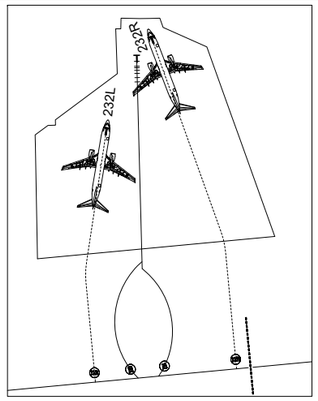


| | | INS COORDINATES FOR AIRCRAFT STANDS | | |
|---|---|---|---|---|
| | | WGS-84 | | ELEV(AMSL) |
| 208 | R | 37°28'16.67"N | 126°25'42.97"E | 6 m |
| 214 | R | 37°28'12.94"N | 126°25'34.81"E | 6 m |
| 224 | L | 37°27'58.53"N | 126°25'47.61"E | 6 m |
| | R | 37°27'58.44"N | 126°25'49.34"E | 6 m |
| 231 | L | 37°27'53.63"N | 126°25'52.33"E | 6 m |
| | R | 37°27'53.49"N | 126°25'54.22"E | 6 m |
| 232 | L | 37°27'50.70"N | 126°25'53.65"E | 6 m |
| | R | 37°27'50.48"N | 126°25'55.39"E | 6 m |
| 236 | R | 37°27'42.18"N | 126°26'00.21"E | 6 m |
| 239 | R | 37°27'43.60"N | 126°26'03.66"E | 6 m |
| 258 | R | 37°27'57.35"N | 126°26'28.47"E | 5 m |
| 261 | R | 37°27'59.96"N | 126°26'30.72"E | 6 m |
| 266 | L | 37°28'06.75"N | 126°26'24.13"E | 6 m |
| | R | 37°28'06.14"N | 126°26'22.44"E | 6 m |
| 267 | L | 37°28'08.58"N | 126°26'21.11"E | 6 m |
| | R | 37°28'08.28"N | 126°26'19.65"E | 6 m |
| 268 | L | 37°28'10.56"N | 126°26'18.63"E | 6 m |
| | R | 37°28'10.51"N | 126°26'17.04"E | 6 m |
| 275 | L | 37°28'13.61"N | 126°26'16.28"E | 6 m |
| | R | 37°28'13.95"N | 126°26'14.76"E | 6 m |
| 283 | R | 37°28'29.10"N | 126°26'02.85"E | 6 m |
| 290 | R | 37°28'24.05"N | 126°25'55.01"E | 6 m |

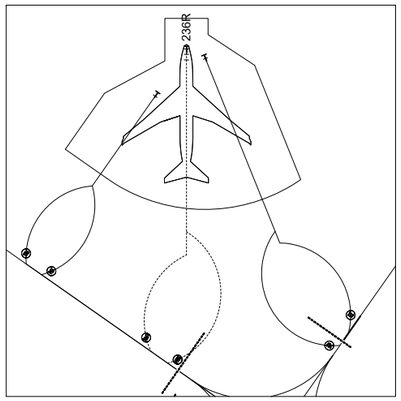


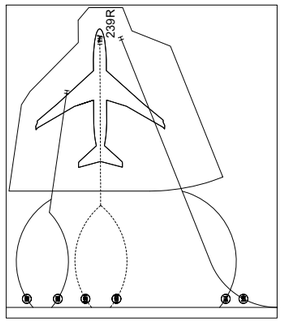


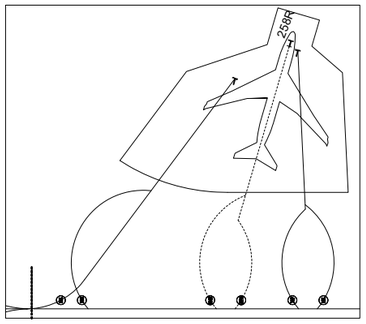


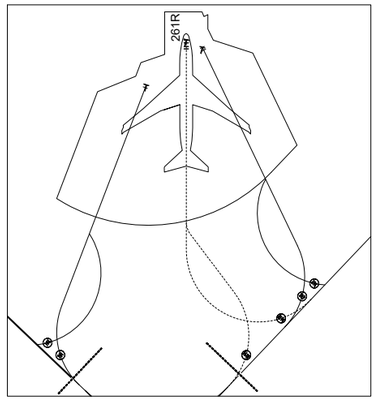


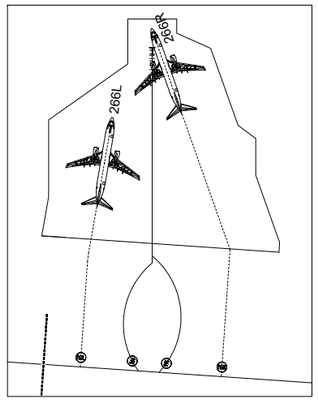


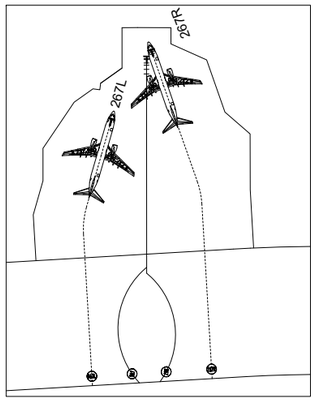


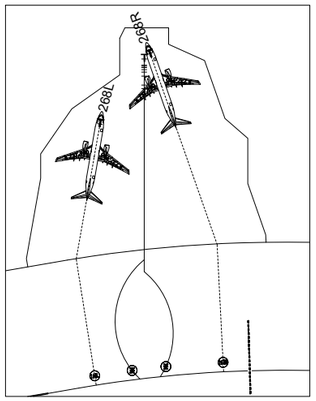


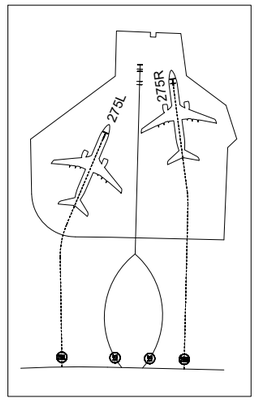


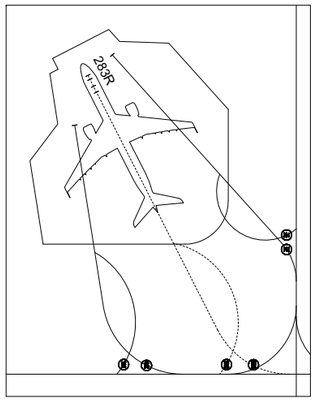


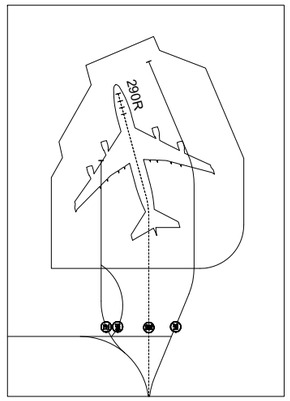


| Stand NR. | Availability |
|---|---|
| 224L/R, 231L/R, 232L/R, 266L/R, 267L/R, 268L/R, 275L/R | Available for aircraft up to "C" code. |
| 208R, 214R, 283R, 290R | Available for aircraft up to "E" code. |
| 236R, 239R, 258R, 261R | Available for aircraft up to "F" code. |
| For details, please contact to confirm with "the Apron Magt. Unit" at the telephone number 82-32-741-2991. | |

Note.
"B": Refer to Annex 14 to the Convention on International Civil Aviation, Volume I, Chapter 1, Table 1-1"Aerodrome reference code".

| Code letter | Wing span |
|---|---|
| E | 52 m up to but not including 65 m |
| D | 36 m up to but not including 52 m |
| C | 24 m up to but not including 36 m |
| B | 15 m up to but not including 24 m |

Change : Information of coordinates and ELEV for ACFT stands NR. 208, 214, 224, 232, 258, 275, 283.

# Multiple use stands operation

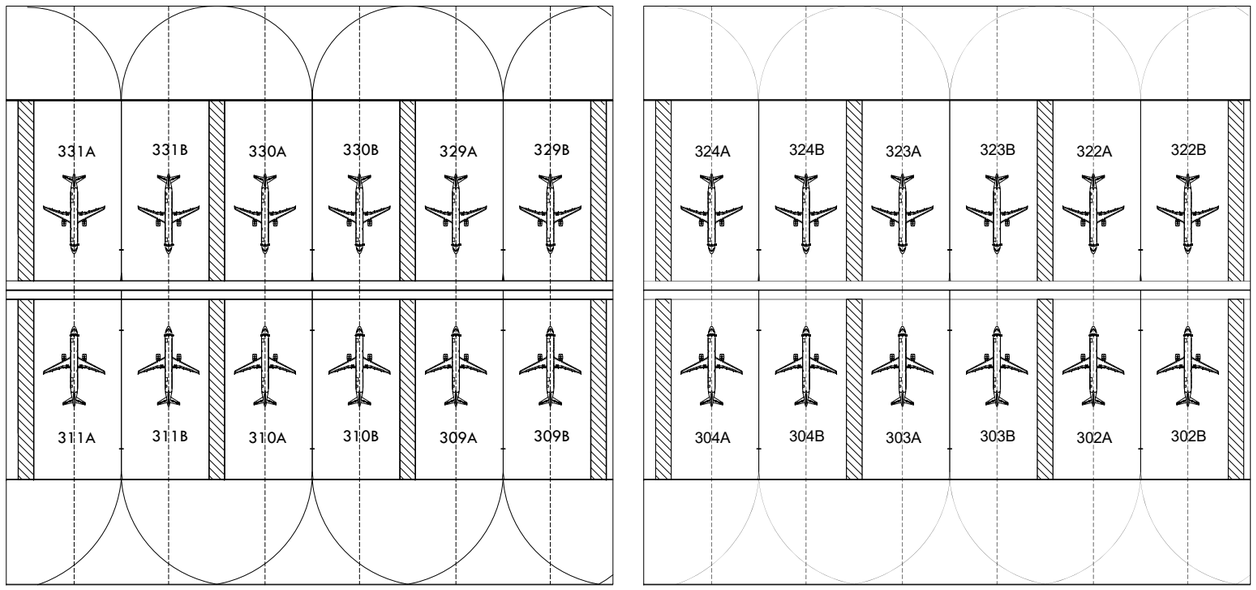


| | | INS COORDINATES FOR AIRCRAFT STANDS | | |
|---|---|---|---|---|
| | | WGS-84 | | ELEV(AMSL) |
| 302 | A | 37°27'39.66"N | 126°26'46.39"E | 5 m |
| | B | 37°27'40.65"N | 126°26'48.14"E | 5 m |
| 303 | A | 37°27'37.67"N | 126°26'42.86"E | 5 m |
| | B | 37°27'38.66"N | 126°26'44.61"E | 5 m |
| 304 | A | 37°27'35.68"N | 126°26'39.34"E | 5 m |
| | B | 37°27'36.66"N | 126°26'41.08"E | 5 m |
| 309 | A | 37°27'27.02"N | 126°26'24.03"E | 5 m |
| | B | 37°27'28.01"N | 126°26'25.77"E | 5 m |
| 310 | A | 37°27'25.03"N | 126°26'20.50"E | 5 m |
| | B | 37°27'26.02"N | 126°26'22.25"E | 5 m |
| 311 | A | 37°27'23.03"N | 126°26'16.97"E | 5 m |
| | B | 37°27'24.02"N | 126°26'18.72"E | 5 m |
| 322 | A | 37°27'40.96"N | 126°26'45.24"E | 5 m |
| | B | 37°27'41.94"N | 126°26'46.99"E | 5 m |
| 323 | A | 37°27'38.96"N | 126°26'41.72"E | 5 m |
| | B | 37°27'39.95"N | 126°26'43.46"E | 5 m |
| 324 | A | 37°27'36.97"N | 126°26'38.19"E | 5 m |
| | B | 37°27'37.95"N | 126°26'39.93"E | 5 m |
| 329 | A | 37°27'28.32"N | 126°26'22.88"E | 5 m |
| | B | 37°27'29.30"N | 126°26'24.62"E | 5 m |
| 330 | A | 37°27'26.32"N | 126°26'19.35"E | 5 m |
| | B | 37°27'27.31"N | 126°26'21.10"E | 5 m |
| 331 | A | 37°27'24.33"N | 126°26'15.82"E | 5 m |
| | B | 37°27'25.31"N | 126°26'17.57"E | 5 m |

| Stand NR. | Availability |
|---|---|
| 302A/B, 303A/B, 304A/B, 309A/B, 310A/B, 311A/B, 322A/B, 323A/B, 324A/B, 329A/B, 330A/B, 331A/B | Available for aircraft up to "C" code. |
| For details, please contact to confirm with "the Apron Magt. Unit" at the telephone number 82-32-741-2991. | |

Note.
"B": Refer to Annex 14 to the Convention on International Civil Aviation, Volume I, Chapter 1, Table 1-1"Aerodrome reference code".

| Code letter | Wing span |
|---|---|
| E | 52 m up to but not including 65 m |
| D | 36 m up to but not including 52 m |
| C | 24 m up to but not including 36 m |
| B | 15 m up to but not including 24 m |

Change : Information of coordinates for ACFT stands NR. 309, 329.

# Multiple use stands operation

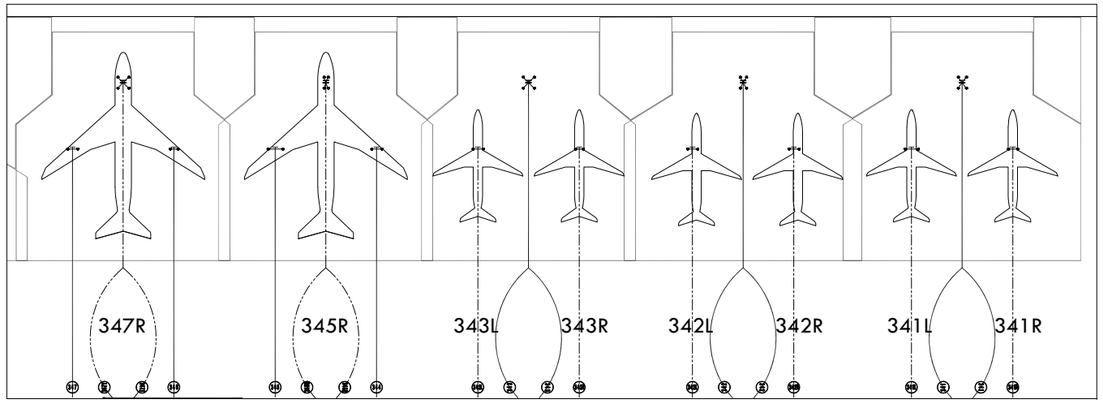


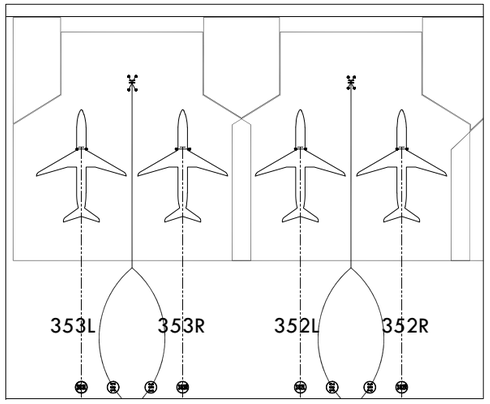


| | | INS COORDINATES FOR AIRCRAFT STANDS | | |
|---|---|---|---|---|
| | | WGS-84 | | ELEV(AMSL) |
| 341 | L | 37°27'48.23"N | 126°26'42.01"E | 5 m |
| | R | 37°27'48.99"N | 126°26'43.35"E | 5 m |
| 342 | L | 37°27'46.59"N | 126°26'39.10"E | 5 m |
| | R | 37°27'47.35"N | 126°26'40.45"E | 5 m |
| 343 | L | 37°27'44.98"N | 126°26'36.26"E | 5 m |
| | R | 37°27'45.74"N | 126°26'37.60"E | 5 m |
| 345 | R | 37°27'44.55"N | 126°26'33.61"E | 5 m |
| 347 | R | 37°27'43.03"N | 126°26'30.93"E | 5 m |
| 352 | L | 37°27'31.04"N | 126°26'11.59"E | 5 m |
| | R | 37°27'31.80"N | 126°26'12.93"E | 5 m |
| 353 | L | 37°27'29.39"N | 126°26'08.68"E | 5 m |
| | R | 37°27'30.15"N | 126°26'10.03"E | 5 m |
| 501 | L | 37°28'17.70"N | 126°26'22.82"E | 5 m |
| | R | 37°28'16.63"N | 126°26'23.77"E | 5 m |
| 511 | L | 37°27'53.15"N | 126°25'42.29"E | 6 m |
| | R | 37°27'54.22"N | 126°25'41.34"E | 6 m |
| 522 | R | 37°28'32.51"N | 126°25'32.91"E | 5 m |
| 528 | R | 37°28'42.41"N | 126°25'24.10"E | 5 m |
| 541 | L | 37°28'22.33"N | 126°25'28.47"E | 5 m |
| | R | 37°28'21.26"N | 126°25'29.42"E | 5 m |
| 542 | L | 37°28'24.64"N | 126°25'26.41"E | 5 m |
| | R | 37°28'23.57"N | 126°25'27.36"E | 5 m |
| 543 | L | 37°28'26.96"N | 126°25'24.35"E | 5 m |
| | R | 37°28'25.88"N | 126°25'25.30"E | 5 m |
| 544 | L | 37°28'29.27"N | 126°25'22.29"E | 5 m |
| | R | 37°28'28.20"N | 126°25'23.24"E | 5 m |
| 551 | A | 37°28'17.29"N | 126°25'20.03"E | 5 m |
| | B | 37°28'15.90"N | 126°25'21.27"E | 5 m |
| 552 | A | 37°28'20.07"N | 126°25'17.55"E | 5 m |
| | B | 37°28'18.68"N | 126°25'18.79"E | 5 m |
| 557 | A | 37°28'32.59"N | 126°25'06.41"E | 5 m |
| | B | 37°28'31.20"N | 126°25'07.65"E | 5 m |

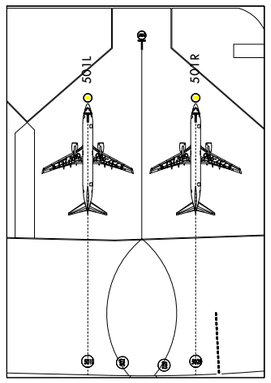


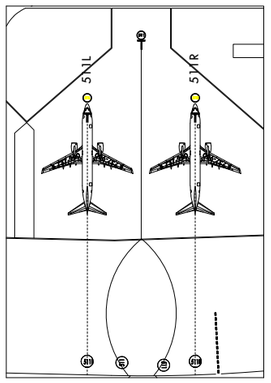


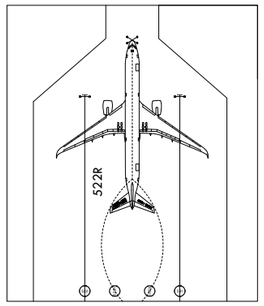


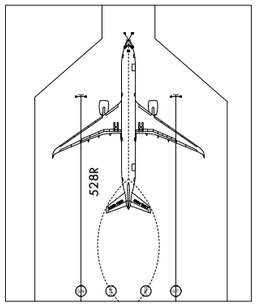


| Stand NR. | Availability |
|---|---|
| 341L/R, 342L/R, 343L/R, 352L/R, 353L/R, 501L/R, 511L/R, 541L/R, 542L/R, 543L/R, 544L/R, 551A/B, 552A/B, 557A/B | Available for aircraft up to "C" code. |
| 345R, 347R, 522R, 528R | Available for aircraft up to "E" code. |
| For details, please contact to confirm with "the Apron Magt. Unit" at the telephone number 82-32-741-2991. | |

Note.
"B": Refer to Annex 14 to the Convention on International Civil Aviation, Volume I, Chapter 1, Table 1-1"Aerodrome reference code".

| Code letter | Wing span |
|---|---|
| E | 52 m up to but not including 65 m |
| D | 36 m up to but not including 52 m |
| C | 24 m up to but not including 36 m |
| B | 15 m up to but not including 24 m |

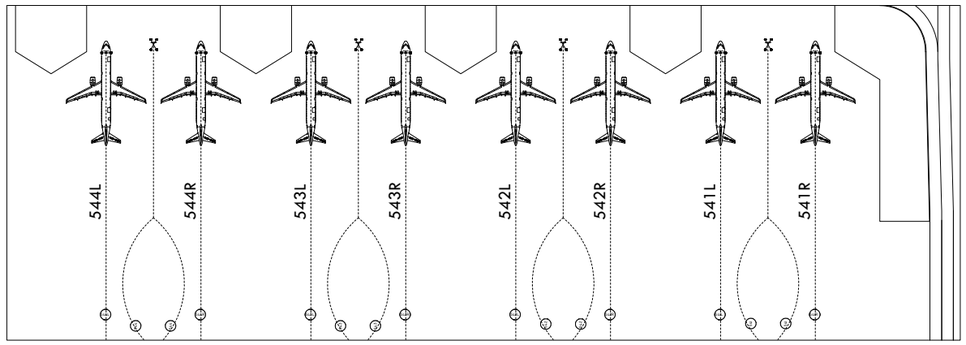


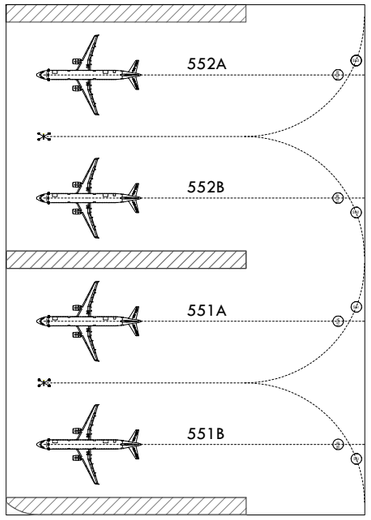


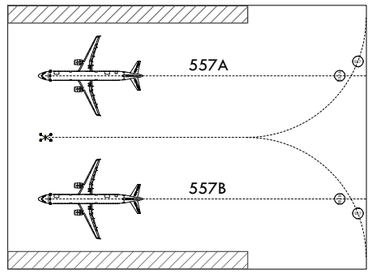

# Multiple use stands operation

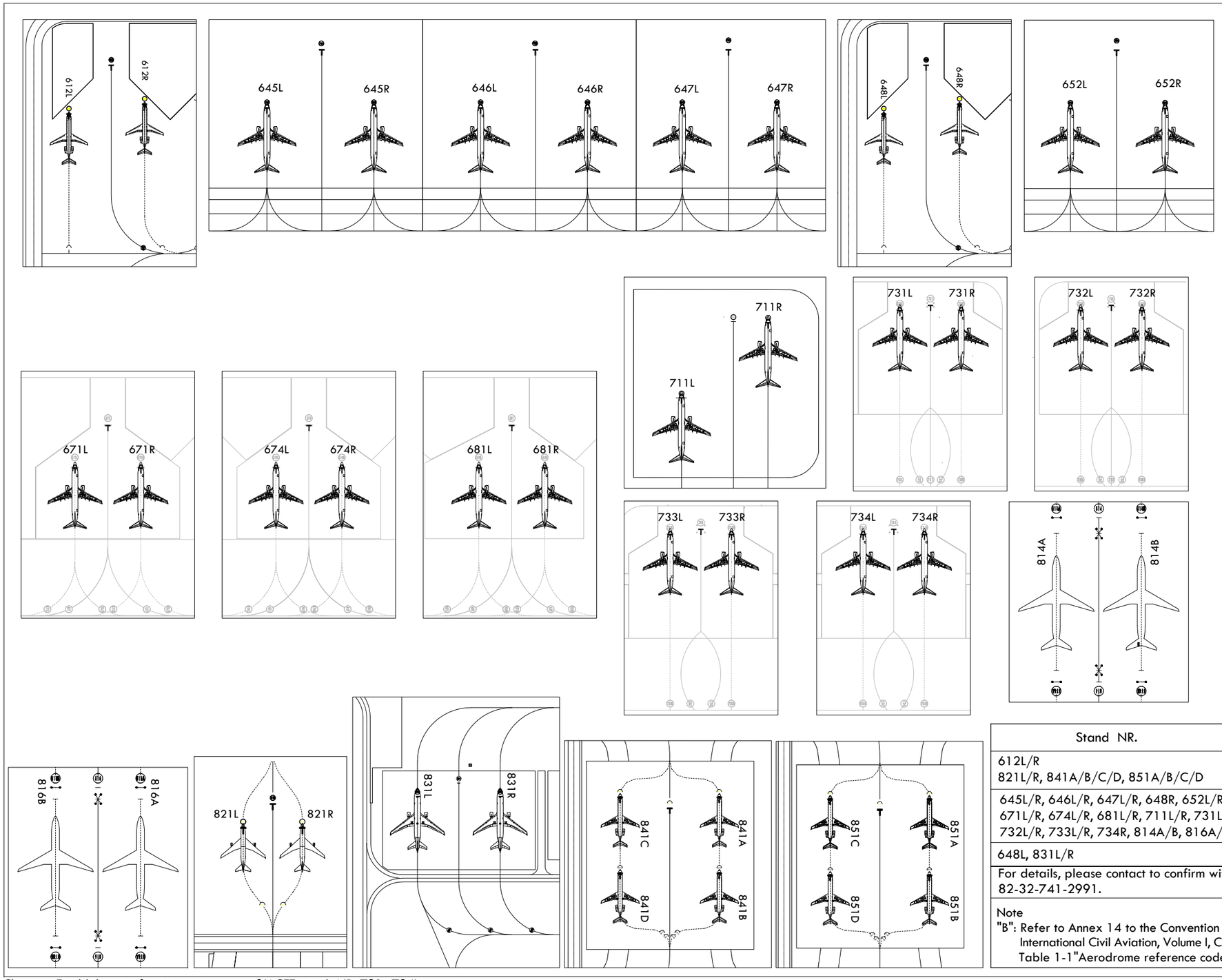


| | | INS COORDINATES FOR AIRCRAFT STANDS | | |
|---|---|---|---|---|
| | | WGS-84 | | ELEV(AMSL) |
| 612 | L | 37°28'05.19"N | 126°28'18.16"E | 6 m |
| | R | 37°28'04.32"N | 126°28'16.61"E | 6 m |
| 645 | L | 37°28'21.42"N | 126°27'36.56"E | 7 m |
| | R | 37°28'20.73"N | 126°27'35.34"E | 7 m |
| 646 | L | 37°28'22.78"N | 126°27'38.97"E | 7 m |
| | R | 37°28'22.09"N | 126°27'37.74"E | 7 m |
| 647 | L | 37°28'24.13"N | 126°27'41.36"E | 6 m |
| | R | 37°28'23.45"N | 126°27'40.15"E | 7 m |
| 648 | L | 37°28'26.59"N | 126°27'46.05"E | 6 m |
| | R | 37°28'25.86"N | 126°27'44.13"E | 6 m |
| 652 | L | 37°28'33.02"N | 126°27'56.80"E | 6 m |
| | R | 37°28'32.20"N | 126°27'55.36"E | 6 m |
| 671 | L | 37°28'23.26"N | 126°27'18.89"E | 6 m |
| | R | 37°28'24.08"N | 126°27'20.33"E | 7 m |
| 674 | L | 37°28'27.63"N | 126°27'26.63"E | 7 m |
| | R | 37°28'28.45"N | 126°27'28.07"E | 7 m |
| 681 | L | 37°28'39.96"N | 126°27'48.46"E | 7 m |
| | R | 37°28'40.78"N | 126°27'49.90"E | 7 m |
| 711 | L | 37°29'02.35"N | 126°25'37.29"E | 5 m |
| | R | 37°29'02.75"N | 126°25'35.16"E | 5 m |
| 731 | L | 37°28'37.09"N | 126°24'07.15"E | 5 m |
| | R | 37°28'37.85"N | 126°24'08.49"E | 5 m |
| 732 | L | 37°28'35.17"N | 126°24'03.76"E | 5 m |
| | R | 37°28'35.93"N | 126°24'05.11"E | 5 m |
| 733 | L | 37°28'27.47"N | 126°24'17.45"E | 5 m |
| | R | 37°28'26.39"N | 126°24'18.40"E | 5 m |
| 734 | L | 37°28'24.77"N | 126°24'19.85"E | 5 m |
| | R | 37°28'23.70"N | 126°24'20.80"E | 5 m |
| 814 | A | 37°27'52.47"N | 126°26'20.28"E | 6 m |
| | B | 37°27'51.40"N | 126°26'21.24"E | 6 m |
| 816 | A | 37°27'47.86"N | 126°26'12.13"E | 6 m |
| | B | 37°27'46.79"N | 126°26'13.08"E | 6 m |
| 821 | L | 37°27'03.17"N | 126°27'35.67"E | 5 m |
| | R | 37°27'02.31"N | 126°27'36.42"E | 5 m |
| 831 | L | 37°26'29.80"N | 126°26'49.74"E | 5 m |
| | R | 37°26'31.89"N | 126°26'47.88"E | 5 m |
| 841 | A | 37°27'23.61"N | 126°28'10.90"E | 6 m |
| | B | 37°27'22.39"N | 126°28'11.98"E | 6 m |
| | C | 37°27'22.48"N | 126°28'08.91"E | 6 m |
| | D | 37°27'21.26"N | 126°28'09.99"E | 6 m |
| 851 | A | 37°29'06.77"N | 126°26'39.15"E | 5 m |
| | B | 37°29'05.55"N | 126°26'40.24"E | 5 m |
| | C | 37°29'05.64"N | 126°26'37.16"E | 5 m |
| | D | 37°29'04.43"N | 126°26'38.25"E | 5 m |

| Stand NR. | Availability |
|---|---|
| 612L/R<br>821L/R, 841A/B/C/D, 851A/B/C/D | Available for all aircraft up to "B" code.<br>[length(overall) up to 32.5 m] |
| 645L/R, 646L/R, 647L/R, 648R, 652L/R, 671L/R, 674L/R, 681L/R, 711L/R, 731L/R, 732L/R, 733L/R, 734R, 814A/B, 816A/B | Available for aircraft up to "C" code. |
| 648L, 831L/R | Available for aircraft up to "D" code. |

For details, please contact to confirm with "the Apron Magt. Unit" at the telephone number 82-32-741-2991.

Note
"B": Refer to Annex 14 to the Convention on International Civil Aviation, Volume I, Chapter 1, Table 1-1"Aerodrome reference code".

| Code letter | Wing span |
|---|---|
| E | 52 m up to but not including 65 m |
| D | 36 m up to but not including 52 m |
| C | 24 m up to but not including 36 m |
| B | 15 m up to but not including 24 m |

Change : Establishment of maintenance apron 2(ACFT stands NR. 731~734).

# Deicing zones operation

| | | | |
|---|---|---|---|
| INCHEON DEICING | 122.225 | 123.575 | |
| PAD CONTROL | 122.175 | 122.325 | 123.325 |
| ICE MAN | 130.250 | 130.750 | 130.850 |

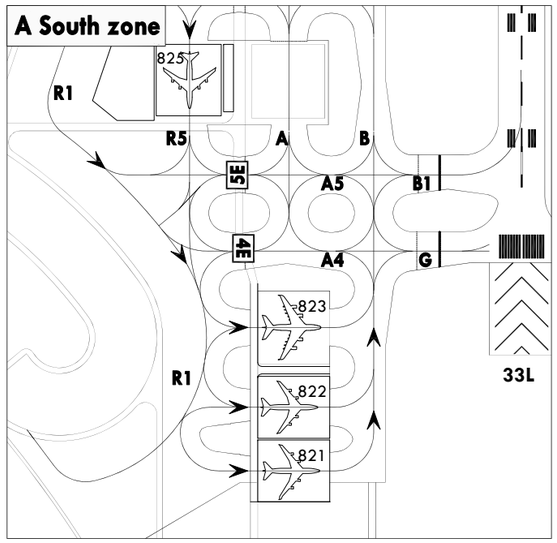


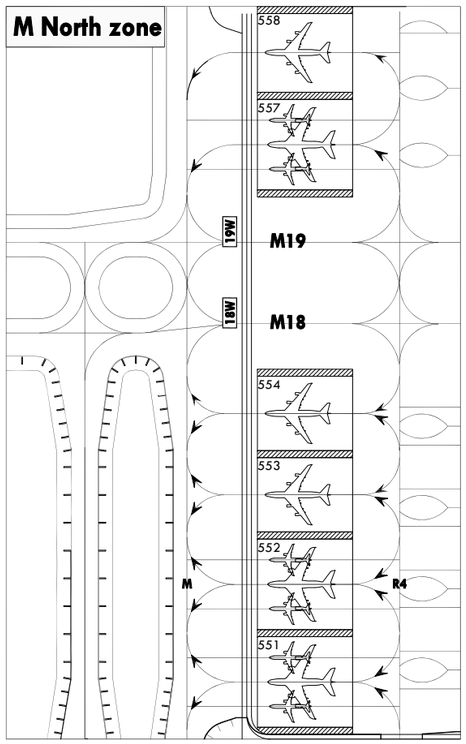


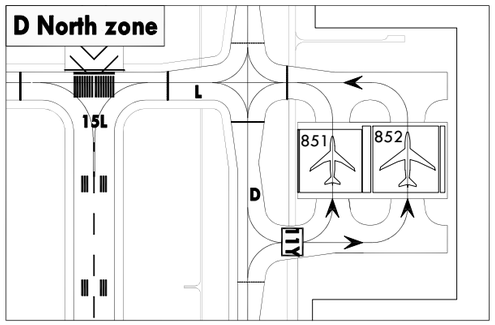


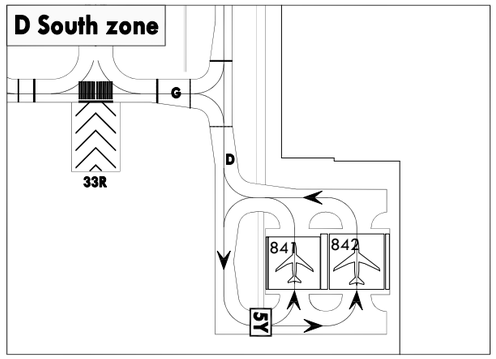


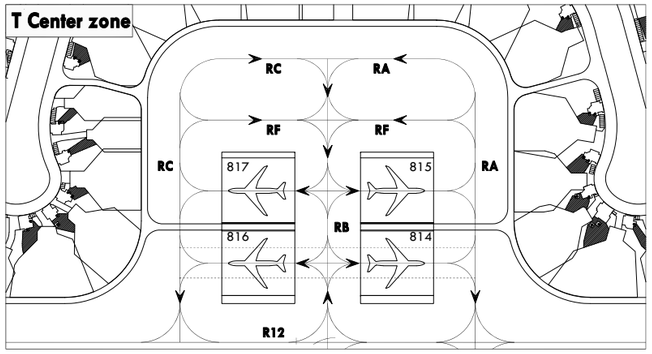


Note >
The Pilot stop line marking is located on all deicing pads to help stop without marshalling, where the transverse bar indicates the cockpit stop position. (See the figure below.)

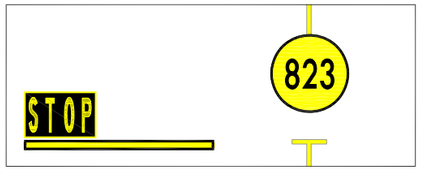


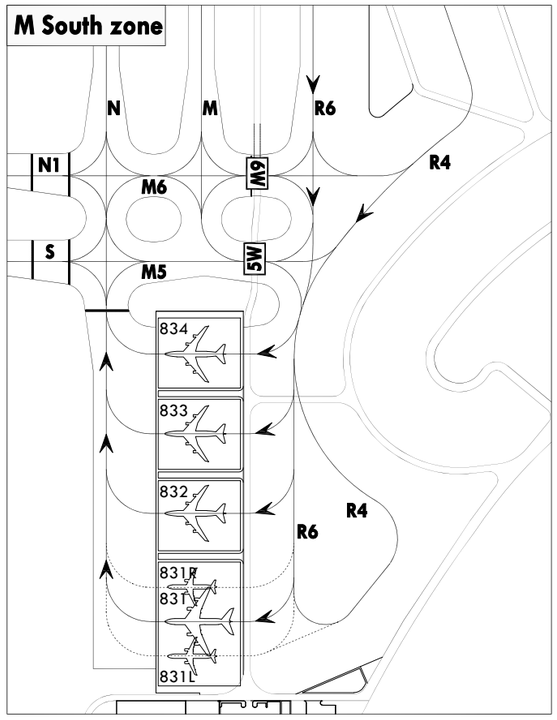


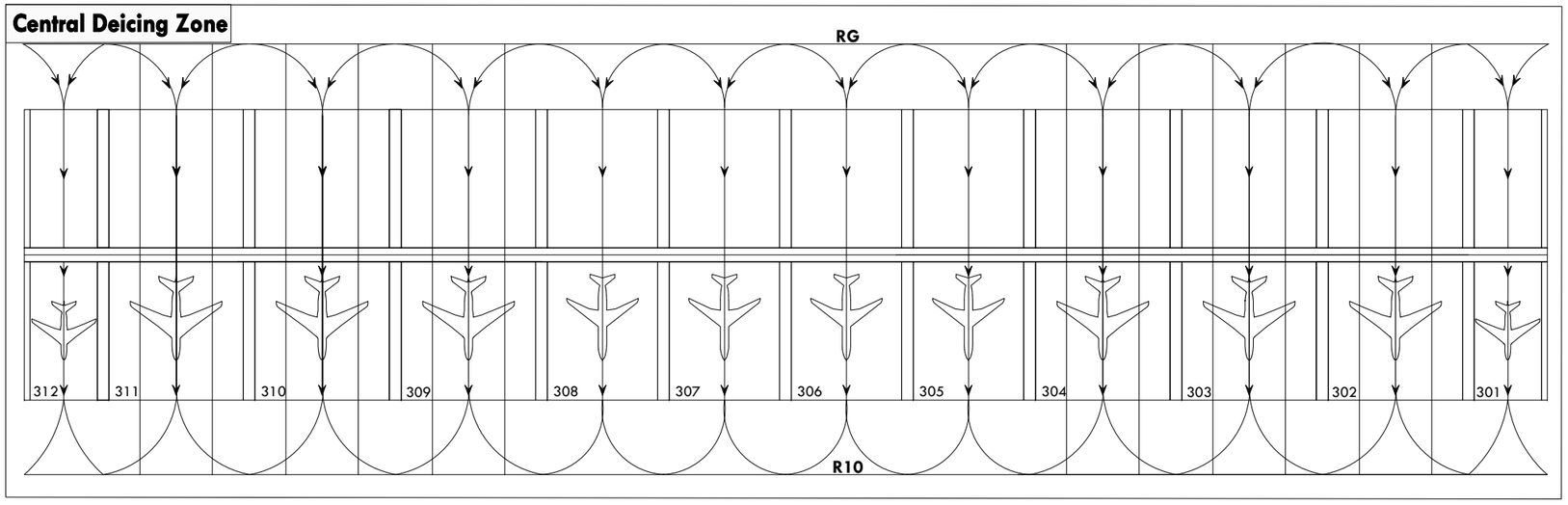


Change : Information of de-icing pad(ACFT stand NR. 558).