STANDARD ARRIVAL CHART INSTRUMENT (STAR) - ICAO

TRANSITION	ALT	14 000
TRANSITION	LVL	FL 140

GIMHAE	APP	125.5 364.0
GIMHAE	TWR	118.1 118.45 233.3 236.6

BUSAN/Gimhae Intl(RKPK)
RWY 36L/R
RNAV(GNSS) PEDLO 2

Note : Arrival under U.S. TERPS.

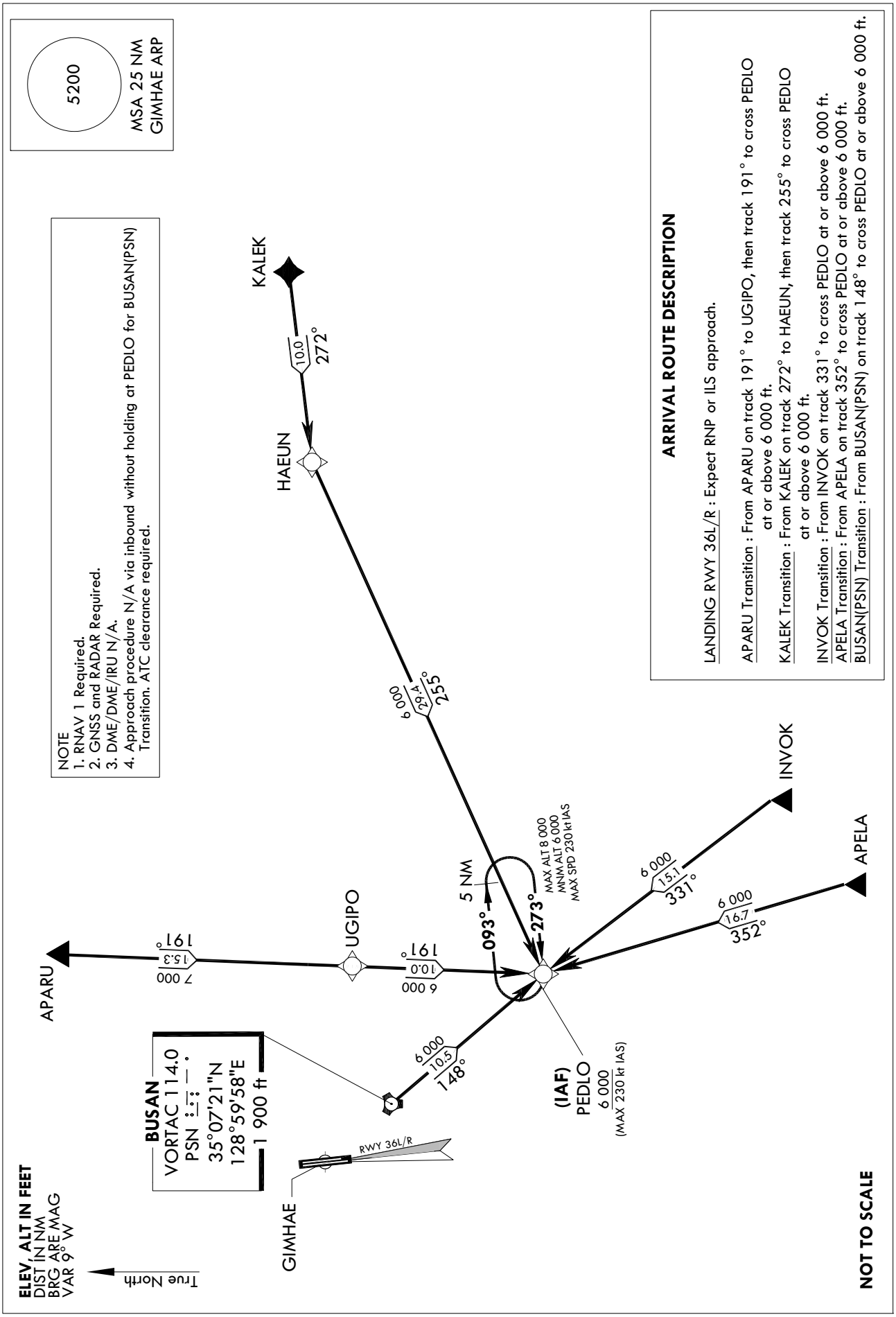

ARRIVAL ROUTE DESCRIPTION

LANDING RWY 36L/R : Expect RNP or ILS approach.

APARU Transition : From APARU on track 191° to UGIPO, then track 191° to cross PEDLO at or above 6 000 ft.

KALEK Transition : From KALEK on track 272° to HAEUN, then track 255° to cross PEDLO at or above 6 000 ft.

INVOK Transition : From INVOK on track 331° to cross PEDLO at or above 6 000 ft.

APELA Transition : From APELA on track 352° to cross PEDLO at or above 6 000 ft.

BUSAN(PSN) Transition : From BUSAN(PSN) on track 148° to cross PEDLO at or above 6 000 ft.

Change : Information of standard instrument arrival procedure(PEDLO 1 → PEDLO 2).

Standard Instrument Arrival Procedure Coding Tables

RNAV PEDLO 2 - APARU Transition

Serial Number	Path Descriptor	Waypoint Identifier	Fly-over	Course/Track °M(°T)	Distance (NM)	Turn direction	Altitude (ft)	Speed (kt)	Coordinates	VPA/ TCH	Navigation specification	Remarks
001	TF	APARU	-	-	-	-	-	-	35°24'42.1"N 129°09'32.1"E	-	RNAV 1	-
002	TF	UGIPO	-	**190.90(182.38)**	15.30	-	+7 000	-	35°09'23.8"N 129°08'45.6"E	-	RNAV 1	-
003	TF	PEDLO	-	**190.90(182.38)**	10.00	-	+6 000	-230	34°59'23.1"N 129°08'15.3"E	-	RNAV 1	IAF

RNAV PEDLO 2 - KALEK Transition

Serial Number	Path Descriptor	Waypoint Identifier	Fly-over	Course/Track °M(°T)	Distance (NM)	Turn direction	Altitude (ft)	Speed (kt)	Coordinates	VPA/ TCH	Navigation specification	Remarks
001	TF	KALEK	-	-	-	-	-	-	35°12'32.0"N 129°53'05.0"E	-	RNAV 1	-
002	TF	HAEUN	-	**272.06(263.54)**	10.00	-	-	-	35°11'23.8"N 129°40'57.4"E	-	RNAV 1	-
003	TF	PEDLO	-	**254.60(246.08)**	29.39	-	+6 000	-230	34°59'23.1"N 129°08'15.3"E	-	RNAV 1	IAF

RNAV PEDLO 2 - INVOK Transition

Serial Number	Path Descriptor	Waypoint Identifier	Fly-over	Course/Track °M(°T)	Distance (NM)	Turn direction	Altitude (ft)	Speed (kt)	Coordinates	VPA/ TCH	Navigation specification	Remarks
001	TF	INVOK	-	-	-	-	-	-	34°47'19.0"N 129°19'23.0"E	-	RNAV 1	-
002	TF	PEDLO	-	**331.35(322.83)**	15.13	-	+6 000	-230	34°59'23.1"N 129°08'15.3"E	-	RNAV 1	IAF

RNAV PEDLO 2 - APELA Transition

Serial Number	Path Descriptor	Waypoint Identifier	Fly-over	Course/Track °M(°T)	Distance (NM)	Turn direction	Altitude (ft)	Speed (kt)	Coordinates	VPA/ TCH	Navigation specification	Remarks
001	TF	APELA	-	-	-	-	-	-	34°43'23.0"N 129°14'00.0"E	-	RNAV 1	-
002	TF	PEDLO	-	**352.06(343.54)**	16.66	-	+6 000	-230	34°59'23.1"N 129°08'15.3"E	-	RNAV 1	IAF

RNAV PEDLO 2 - BUSAN(PSN) Transition

Serial Number	Path Descriptor	Waypoint Identifier	Fly-over	Course/Track °M(°T)	Distance (NM)	Turn direction	Altitude (ft)	Speed (kt)	Coordinates	VPA/ TCH	Navigation specification	Remarks
001	TF	**BUSAN(PSN)**	-	-	-	-	-	-	35°07'21.5"N 128°59'58.5"E	-	RNAV 1	-
002	TF	PEDLO	-	**147.98(139.46)**	10.47	-	+6 000	-230	34°59'23.1"N 129°08'15.3"E	-	RNAV 1	IAF

HOLDING PROCEDURE

Holding Identification	Path Descriptor	Waypoint Identifier	Fly-over	Course/Track °M(°T)	Distance (NM)	Turn direction	Altitude (ft)	Speed (kt)	Coordinates	VPA/ TCH	Navigation specification	Remarks
RNAV PEDLO 2	HM	PEDLO	-	**272.75(264.23)**	5	R	-8 000 +6 000	-230	34°59'23.1"N 129°08'15.3"E	-	-	-

Change : Information of standard instrument arrival procedure(PEDLO 1 → PEDLO 2).

STANDARD ARRIVAL CHART INSTRUMENT (STAR) - ICAO

TRANSITION	ALT	14 000
TRANSITION	LVL	FL 140

GIMHAE	APP	125.5
		364.0
GIMHAE	TWR	118.1 118.45
		233.3 236.6

BUSAN/Gimhae Intl(RKPK)
RWY 36L/R
RNAV(GNSS) KEVOX 3

Note : Arrival under U.S. TERPS.

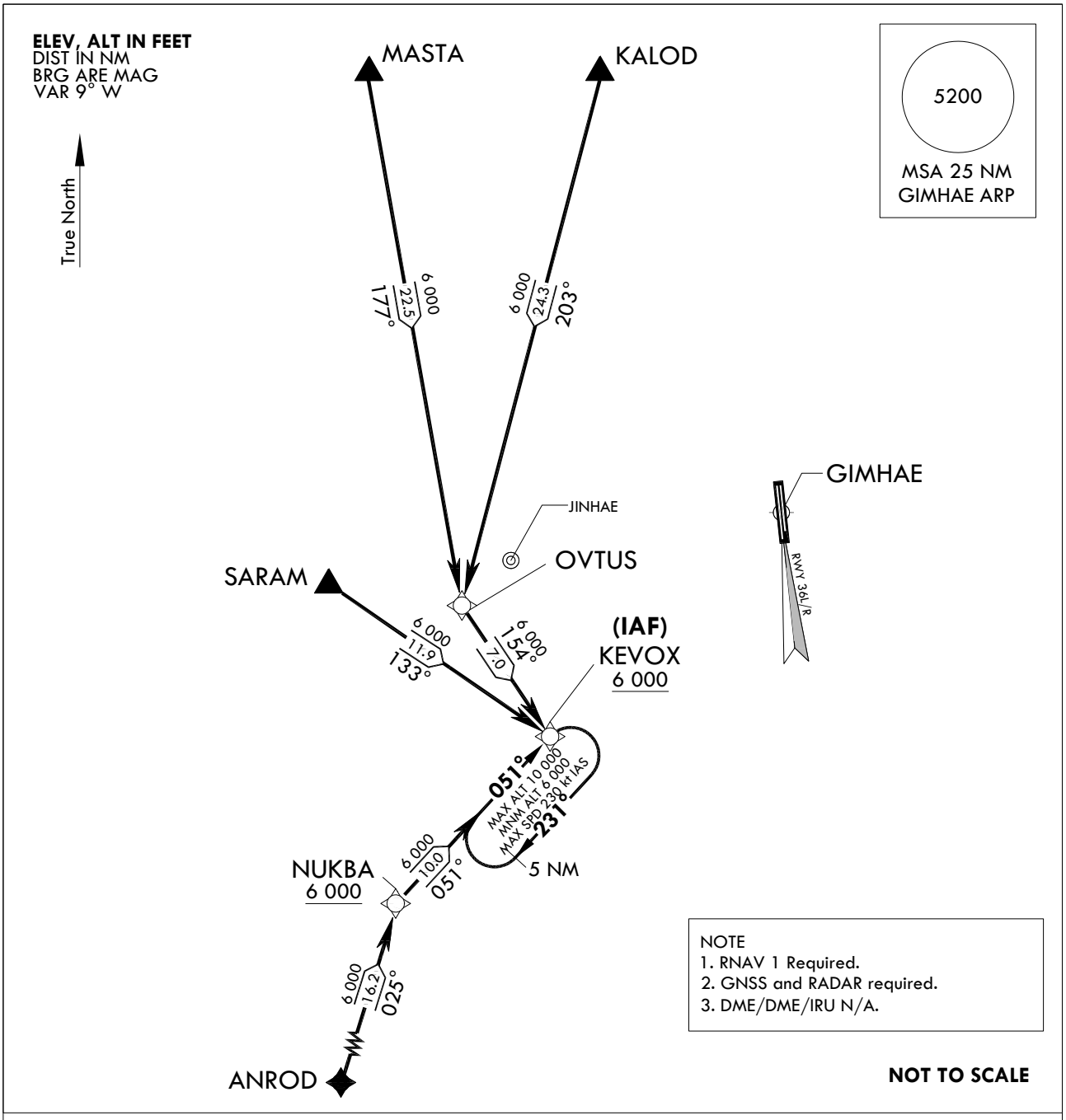

ARRIVAL ROUTE DESCRIPTION

KEVOX 3 ARRIVAL

LANDING RWY 36L/R : Expect RNP or ILS approach.

MASTA Transition : From MASTA on track 177° to OVTUS, then track 154° to cross KEVOX at or above 6 000 ft.

KALOD Transition : From KALOD on track 203° to OVTUS, then track 154° to cross KEVOX at or above 6 000 ft.

SARAM Transition : From SARAM on track 133° to cross KEVOX at or above 6 000 ft.

ANROD Transition : From ANROD on track 025° to NUKBA, then track 051° to cross KEVOX at or above 6 000 ft.

Change : Information of MASTA, KALOD, SARAM, ANROD(reporting requirement) and KEVOX(IAF).

Standard Instrument Arrival Procedure Coding Tables

RNAV KEVOX 3 - MASTA Transition

Serial Number	Path Descriptor	Waypoint Identifier	Fly-over	Course/Track °M(°T)	Distance (NM)	Turn direction	Altitude (ft)	Speed (kt)	Coordinates	VPA/ TCH	Navigation specification	Remarks
001	TF	MASTA	-	-	-	-	-	-	35°28'47.0"N 128°33'40.0"E	-	RNAV 1	-
002	TF	OVTUS	-	**177.31(168.79)**	22.50	-	-	-	35°06'40.3"N 128°39'00.0"E	-	RNAV 1	-
003	TF	KEVOX	-	**154.39(145.87)**	7.01	-	+6 000	-	35°00'51.7"N 128°43'47.2"E	-	RNAV 1	IAF

RNAV KEVOX 3 - KALOD Transition

Serial Number	Path Descriptor	Waypoint Identifier	Fly-over	Course/Track °M(°T)	Distance (NM)	Turn direction	Altitude (ft)	Speed (kt)	Coordinates	VPA/ TCH	Navigation specification	Remarks
001	TF	KALOD	-	-	-	-	-	-	35°30'12.1"N 128°46'26.5"E	-	RNAV 1	-
002	TF	OVTUS	-	**203.09(194.57)**	24.27	-	-	-	35°06'40.3"N 128°39'00.0"E	-	RNAV 1	-
003	TF	KEVOX	-	**154.39(145.87)**	7.01	-	+6 000	-	35°00'51.7"N 128°43'47.2"E	-	RNAV 1	IAF

RNAV KEVOX 3 - SARAM Transition

Serial Number	Path Descriptor	Waypoint Identifier	Fly-over	Course/Track °M(°T)	Distance (NM)	Turn direction	Altitude (ft)	Speed (kt)	Coordinates	VPA/ TCH	Navigation specification	Remarks
001	TF	SARAM	-	-	-	-	-	-	35°07'36.3"N 128°31'46.7"E	-	RNAV 1	-
002	TF	KEVOX	-	**132.79(124.27)**	11.94	-	+6 000	-	35°00'51.7"N 128°43'47.2"E	-	RNAV 1	IAF

RNAV KEVOX 3 - ANROD Transition

Serial Number	Path Descriptor	Waypoint Identifier	Fly-over	Course/Track °M(°T)	Distance (NM)	Turn direction	Altitude (ft)	Speed (kt)	Coordinates	VPA/ TCH	Navigation specification	Remarks
001	TF	ANROD	-	-	-	-	-	-	34°37'57.66"N 128°29'51.73"E	-	RNAV 1	-
002	TF	NUKBA	-	**025.44(016.92)**	16.18	-	+6 000	-	34°53'27.57"N 128°35'35.03"E	-	RNAV 1	-
003	TF	KEVOX	-	**050.86(042.34)**	10	-	+6 000	-	35°00'51.7"N 128°43'47.2"E	-	RNAV 1	IAF

HOLDING PROCEDURE

Holding Identification	Path Descriptor	Waypoint Identifier	Fly-over	Course/Track °M(°T)	Distance (NM)	Turn direction	Altitude (ft)	Speed (kt)	Coordinates	VPA/ TCH	Navigation specification	Remarks
RNAV KEVOX 3	HM	KEVOX	-	**051.05(042.53)**	5	R	-10 000 +6 000	-230	35°00'51.7"N 128°43'47.2"E	-	-	-

Change : Information of remarks for KEVOX.

STANDARD ARRIVAL CHART INSTRUMENT (STAR) - ICAO

TRANSITION	ALT	14 000
TRANSITION	LVL	FL 140

GIMHAE	APP	125.5
		364.0
GIMHAE	TWR	118.1 118.45
		233.3 236.6

BUSAN/Gimhae Intl(RKPK)
RWY 18L/R
RNAV(GNSS) GAYHA 3

Note : Arrival under U.S. TERPS.

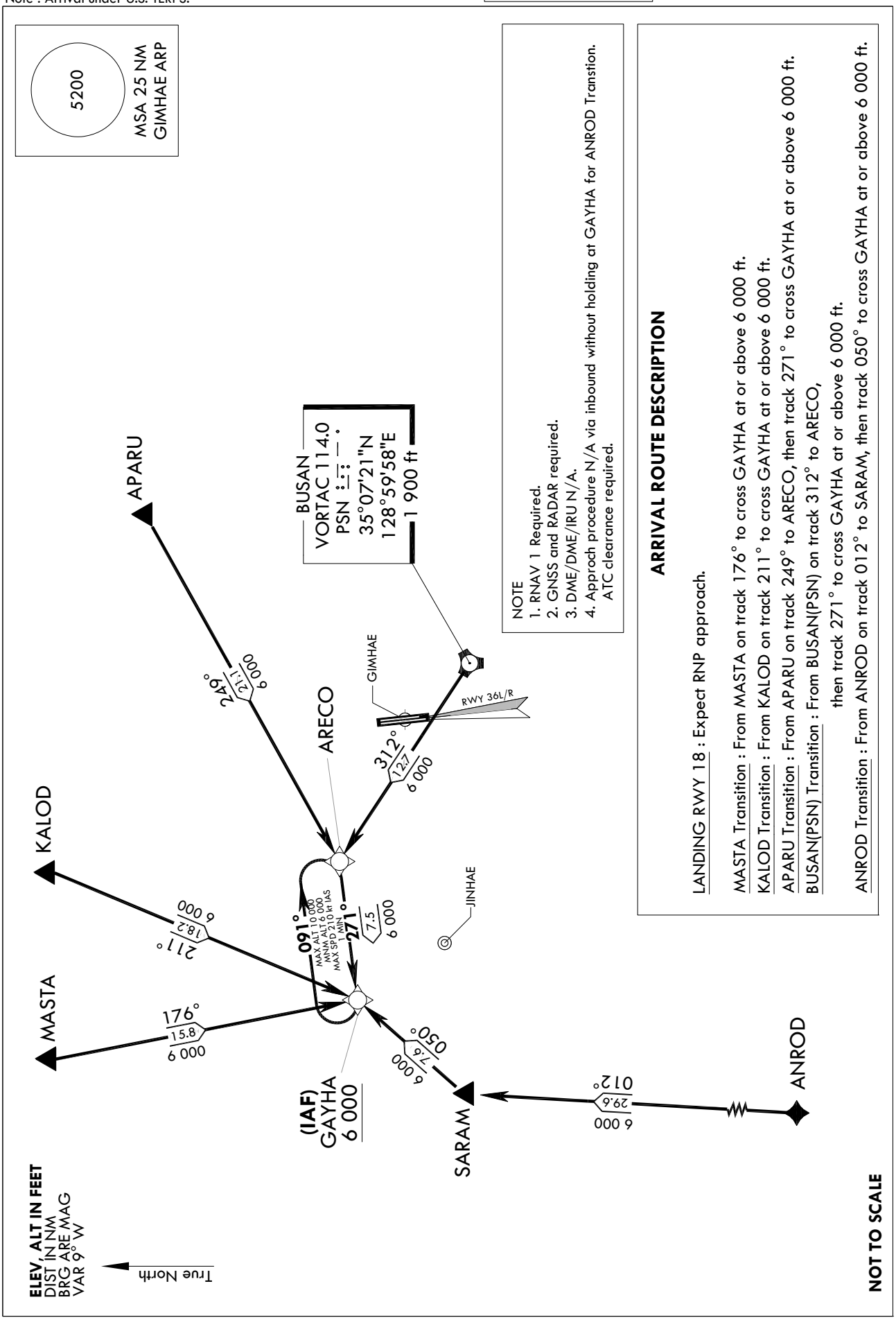

Change : Information of MASTA, KALOD, APARU, SARAM, ANROD(reporting requirement) and GAYHA(IAF).

Standard Instrument Arrival Procedure Coding Tables

RNAV GAYHA 3 - MASTA Transition

Serial Number	Path Descriptor	Waypoint Identifier	Fly-over	Course/Track °M(°T)	Distance (NM)	Turn direction	Altitude (ft)	Speed (kt)	Coordinates	VPA/ TCH	Navigation specification	Remarks
001	TF	MASTA	-	-	-	-	-	-	35°28'47.0"N 128°33'40.0"E	-	RNAV 1	-
002	TF	GAYHA	-	**175.80(167.28)**	15.77	-	+6 000	-	35°13'22.4"N 128°37'54.4"E	-	RNAV 1	IAF

RNAV GAYHA 3 - KALOD Transition

Serial Number	Path Descriptor	Waypoint Identifier	Fly-over	Course/Track °M(°T)	Distance (NM)	Turn direction	Altitude (ft)	Speed (kt)	Coordinates	VPA/ TCH	Navigation specification	Remarks
001	TF	KALOD	-	-	-	-	-	-	35°30'12.1"N 128°46'26.5"E	-	RNAV 1	-
002	TF	GAYHA	-	**211.13(202.61)**	18.19	-	+6 000	-	35°13'22.4"N 128°37'54.4"E	-	RNAV 1	IAF

RNAV GAYHA 3 - APARU Transition

Serial Number	Path Descriptor	Waypoint Identifier	Fly-over	Course/Track °M(°T)	Distance (NM)	Turn direction	Altitude (ft)	Speed (kt)	Coordinates	VPA/ TCH	Navigation specification	Remarks
001	TF	APARU	-	-	-	-	-	-	35°24'42.1"N 129°09'32.1"E	-	RNAV 1	-
002	TF	ARECO	-	**249.42(240.90)**	21.14	-	-	-	35°14'22.1"N 128°46'59.1"E	-	RNAV 1	-
003	TF	GAYHA	-	**270.96(262.44)**	7.50	-	+6 000	-	35°13'22.4"N 128°37'54.4"E	-	RNAV 1	IAF

RNAV GAYHA 3 - BUSAN(PSN) Transition

Serial Number	Path Descriptor	Waypoint Identifier	Fly-over	Course/Track °M(°T)	Distance (NM)	Turn direction	Altitude (ft)	Speed (kt)	Coordinates	VPA/ TCH	Navigation specification	Remarks
001	TF	**BUSAN(PSN)**	-	-	-	-	-	-	35°07'21.5"N 128°59'58.5"E	-	RNAV 1	-
002	TF	ARECO	-	**311.90(303.38)**	12.74	-	-	-	35°14'22.1"N 128°46'59.1"E	-	RNAV 1	-
003	TF	GAYHA	-	**270.96(262.44)**	7.50	-	+6 000	-	35°13'22.4"N 128°37'54.4"E	-	RNAV 1	IAF

RNAV GAYHA 3 - ANROD Transition

Serial Number	Path Descriptor	Waypoint Identifier	Fly-over	Course/Track °M(°T)	Distance (NM)	Turn direction	Altitude (ft)	Speed (kt)	Coordinates	VPA/ TCH	Navigation specification	Remarks
001	TF	ANROD	-	-	-	-	-	-	34°37'57.66"N 128°29'51.73"E	-	RNAV 1	-
002	TF	SARAM	-	**011.56(003.04)**	29.64	-	-	-	35°07'36.3"N 128°31'46.7"E	-	RNAV 1	-
003	TF	GAYHA	-	**049.59(041.07)**	7.64	-	+6 000	-	35°13'22.4"N 128°37'54.4"E	-	RNAV 1	IAF

HOLDING PROCEDURE

Holding Identification	Path Descriptor	Waypoint Identifier	Fly-over	Course/Track °M(°T)	Time (min)	Turn direction	Altitude (ft)	Speed (kt)	Coordinates	VPA/ TCH	Navigation specification	Remarks
RNAV GAYHA 3	HM	GAYHA	-	**271.05(262.53)**	1	R	-10 000 +6 000	-210	35°13'22.4"N 128°37'54.4"E	-	-	-

Change : Information of remarks for GAYHA.