AERODROME CHART - ICAO

37°33'25"N
126°47'51"E

ELEV **18** m

TWR	118.05	118.1	240.9
GND	121.9	121.95	
APN	129.525	130.875	131.175

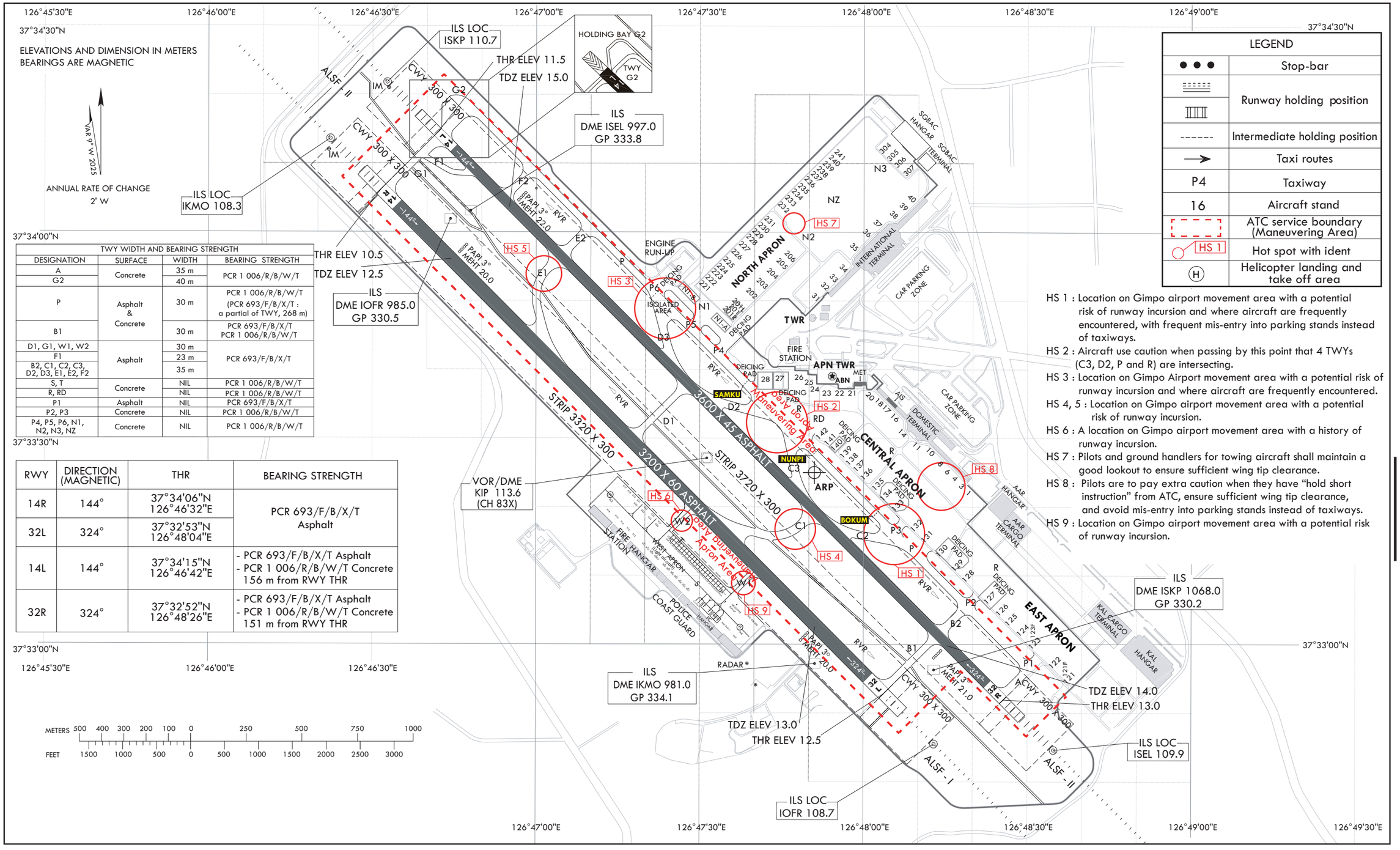

TWY WIDTH AND BEARING STRENGTH			
DESIGNATION	SURFACE	WIDTH	BEARING STRENGTH
A	Concrete	35 m	PCR 1 006/R/B/W/T
G2		40 m	
P	Asphalt & Concrete	30 m	PCR 1 006/R/B/W/T (PCR 693/F/B/X/T : a partial of TWY, 268 m)
B1		30 m	PCR 693/F/B/X/T PCR 1 006/R/B/W/T
D1, G1, W1, W2	Asphalt	30 m	PCR 693/F/B/X/T
F1		23 m	
B2, C1, C2, C3, D2, D3, E1, E2, F2		35 m	
S, T	Concrete	NIL	PCR 1 006/R/B/W/T
R, RD		NIL	PCR 1 006/R/B/W/T
P1	Asphalt	NIL	PCR 693/F/B/X/T
P2, P3	Concrete	NIL	PCR 1 006/R/B/W/T
P4, P5, P6, N1, N2, N3, NZ	Concrete	NIL	PCR 1 006/R/B/W/T

RWY	DIRECTION (MAGNETIC)	THR	BEARING STRENGTH
14R	144°	37°34'06"N 126°46'32"E	PCR 693/F/B/X/T Asphalt
32L	324°	37°32'53"N 126°48'04"E	
14L	144°	37°34'15"N 126°46'42"E	- PCR 693/F/B/X/T Asphalt - PCR 1 006/R/B/W/T Concrete 156 m from RWY THR
32R	324°	37°32'52"N 126°48'26"E	- PCR 693/F/B/X/T Asphalt - PCR 1 006/R/B/W/T Concrete 151 m from RWY THR

LEGEND	
● ● ●	Stop-bar
	Runway holding position
------	Intermediate holding position
→	Taxi routes
P4	Taxiway
16	Aircraft stand
	ATC service boundary (Maneuvering Area)
HS 1	Hot spot with ident
(H)	Helicopter landing and take off area

HS 1 : Location on Gimpo airport movement area with a potential risk of runway incursion and where aircraft are frequently encountered, with frequent mis-entry into parking stands instead of taxiways.

HS 2 : Aircraft use caution when passing by this point that 4 TWYs (C3, D2, P and R) are intersecting.

HS 3 : Location on Gimpo Airport movement area with a potential risk of runway incursion and where aircraft are frequently encountered.

HS 4, 5 : Location on Gimpo airport movement area with a potential risk of runway incursion.

HS 6 : A location on Gimpo airport movement area with a history of runway incursion.

HS 7 : Pilots and ground handlers for towing aircraft shall maintain a good lookout to ensure sufficient wing tip clearance.

HS 8 : Pilots are to pay extra caution when they have "hold short instruction" from ATC, ensure sufficient wing tip clearance, and avoid mis-entry into parking stands instead of taxiways.

HS 9 : Location on Gimpo airport movement area with a potential risk of runway incursion.

Change : Information of west apron.

LIGHTING AIDS RWY 14R/32L AND 14L/32R AND EXIT TWY

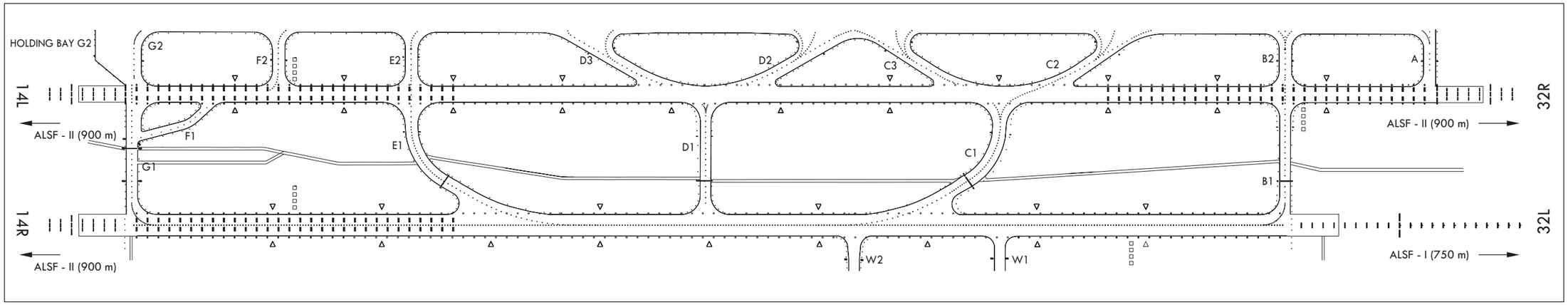

MARKING AIDS RWY 14R/32L AND 14L/32R AND EXIT TWY

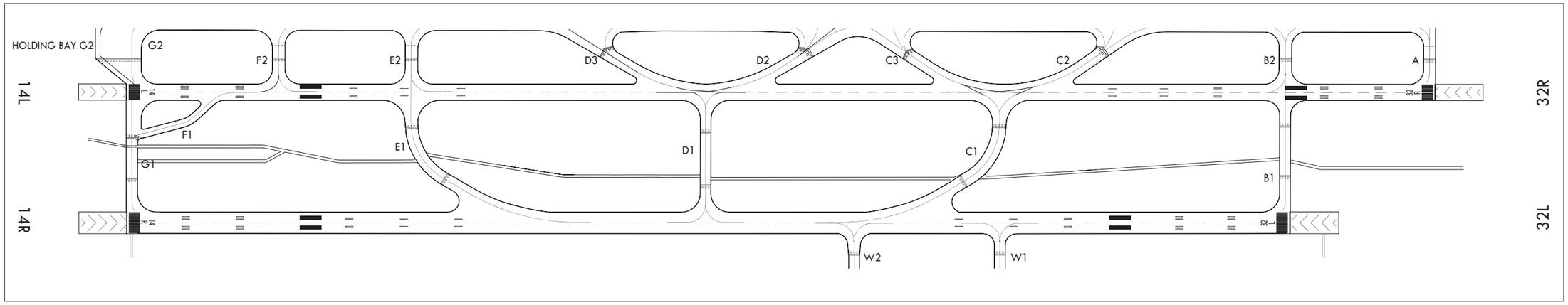

METERS 500 400 300 200 100 0 250 500 750 1000

FEET 1500 1000 500 0 500 1000 1500 2000 2500 3000