AERODROME CHART - ICAO

36°42'59"N
127°29'57"E

ELEV **192** ft

TWR 118.7	126.2	
GND 121.875		

CHEONGJU / Cheongju INTL

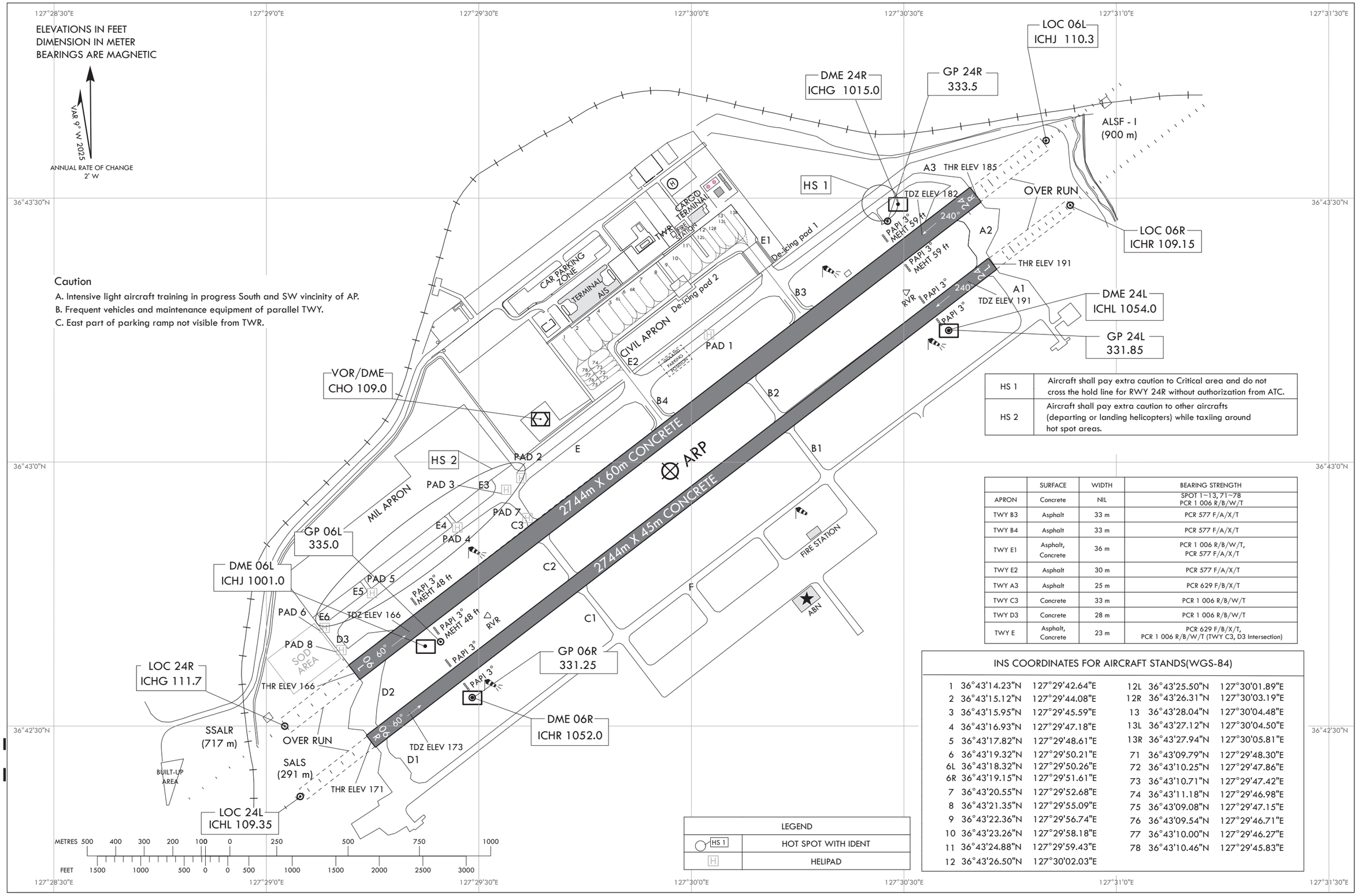

HS 1	Aircraft shall pay extra caution to Critical area and do not cross the hold line for RWY 24R without authorization from ATC.
HS 2	Aircraft shall pay extra caution to other aircrafts (departing or landing helicopters) while taxiing around hot spot areas.

	SURFACE	WIDTH	BEARING STRENGTH
APRON	Concrete	NIL	SPOT 1~13, 71~78 PCR 1 006 R/B/W/T
TWY B3	Asphalt	33 m	PCR 577 F/A/X/T
TWY B4	Asphalt	33 m	PCR 577 F/A/X/T
TWY E1	Asphalt, Concrete	36 m	PCR 1 006 R/B/W/T, PCR 577 F/A/X/T
TWY E2	Asphalt	30 m	PCR 577 F/A/X/T
TWY A3	Asphalt	25 m	PCR 629 F/B/X/T
TWY C3	Concrete	33 m	PCR 1 006 R/B/W/T
TWY D3	Concrete	28 m	PCR 1 006 R/B/W/T
TWY E	Asphalt, Concrete	23 m	PCR 629 F/B/X/T, PCR 1 006 R/B/W/T (TWY C3, D3 Intersection)

INS COORDINATES FOR AIRCRAFT STANDS(WGS-84)

1	36°43'14.23"N	127°29'42.64"E	12L	36°43'25.50"N	127°30'01.89"E
2	36°43'15.12"N	127°29'44.08"E	12R	36°43'26.31"N	127°30'03.19"E
3	36°43'15.95"N	127°29'45.59"E	13	36°43'28.04"N	127°30'04.48"E
4	36°43'16.93"N	127°29'47.18"E	13L	36°43'27.12"N	127°30'04.50"E
5	36°43'17.82"N	127°29'48.61"E	13R	36°43'27.94"N	127°30'05.81"E
6	36°43'19.32"N	127°29'50.21"E	71	36°43'09.79"N	127°29'48.30"E
6L	36°43'18.32"N	127°29'50.26"E	72	36°43'10.25"N	127°29'47.86"E
6R	36°43'19.15"N	127°29'51.61"E	73	36°43'10.71"N	127°29'47.42"E
7	36°43'20.55"N	127°29'52.68"E	74	36°43'11.18"N	127°29'46.98"E
8	36°43'21.35"N	127°29'55.09"E	75	36°43'09.08"N	127°29'47.15"E
9	36°43'22.36"N	127°29'56.74"E	76	36°43'09.54"N	127°29'46.71"E
10	36°43'23.26"N	127°29'58.18"E	77	36°43'10.00"N	127°29'46.27"E
11	36°43'24.88"N	127°29'59.43"E	78	36°43'10.46"N	127°29'45.83"E
12	36°43'26.50"N	127°30'02.03"E			

LEGEND	
HS 1	HOT SPOT WITH IDENT
H	HELIPAD

Change : Information of length for APCH LGT(720m → 717m, 450m → 291m).

MARKING AIDS RWY 06L/24R AND 06R/24L AND EXIT TWY

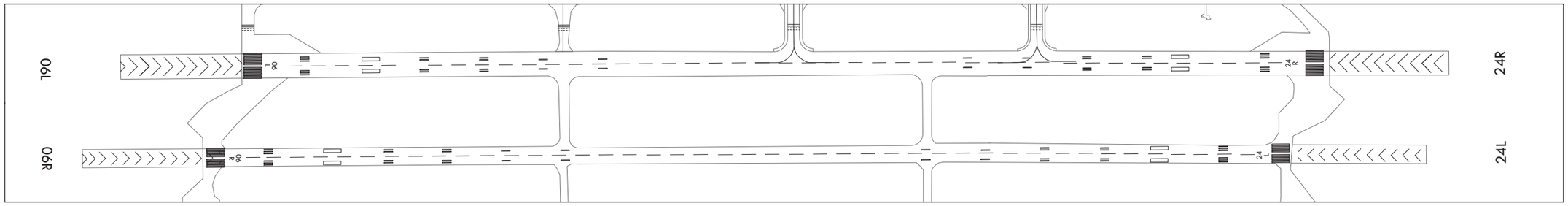
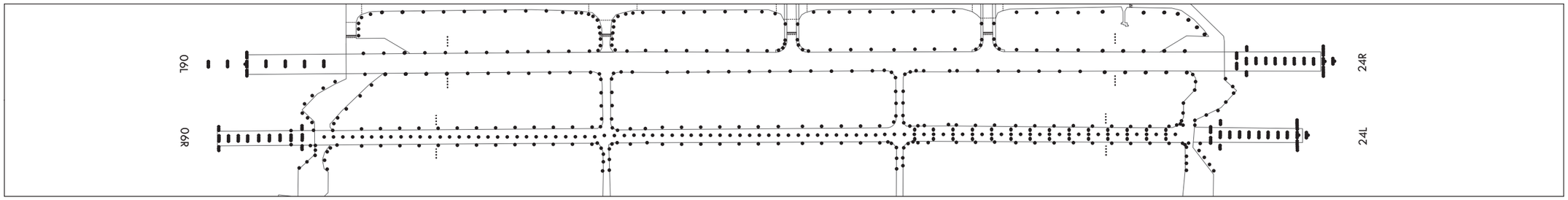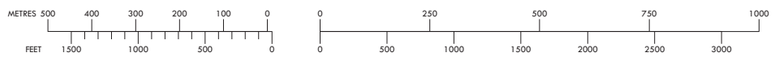
LIGHTING AIDS RWY 06L/24R AND 06R/24L AND EXIT TWY