AERODROME CHART - ICAO

36°46'37"N
129°27'42"E

ELEV **53** m

TWR	118.55	317.45
GND	121.775	317.45

ULJIN / Uljin

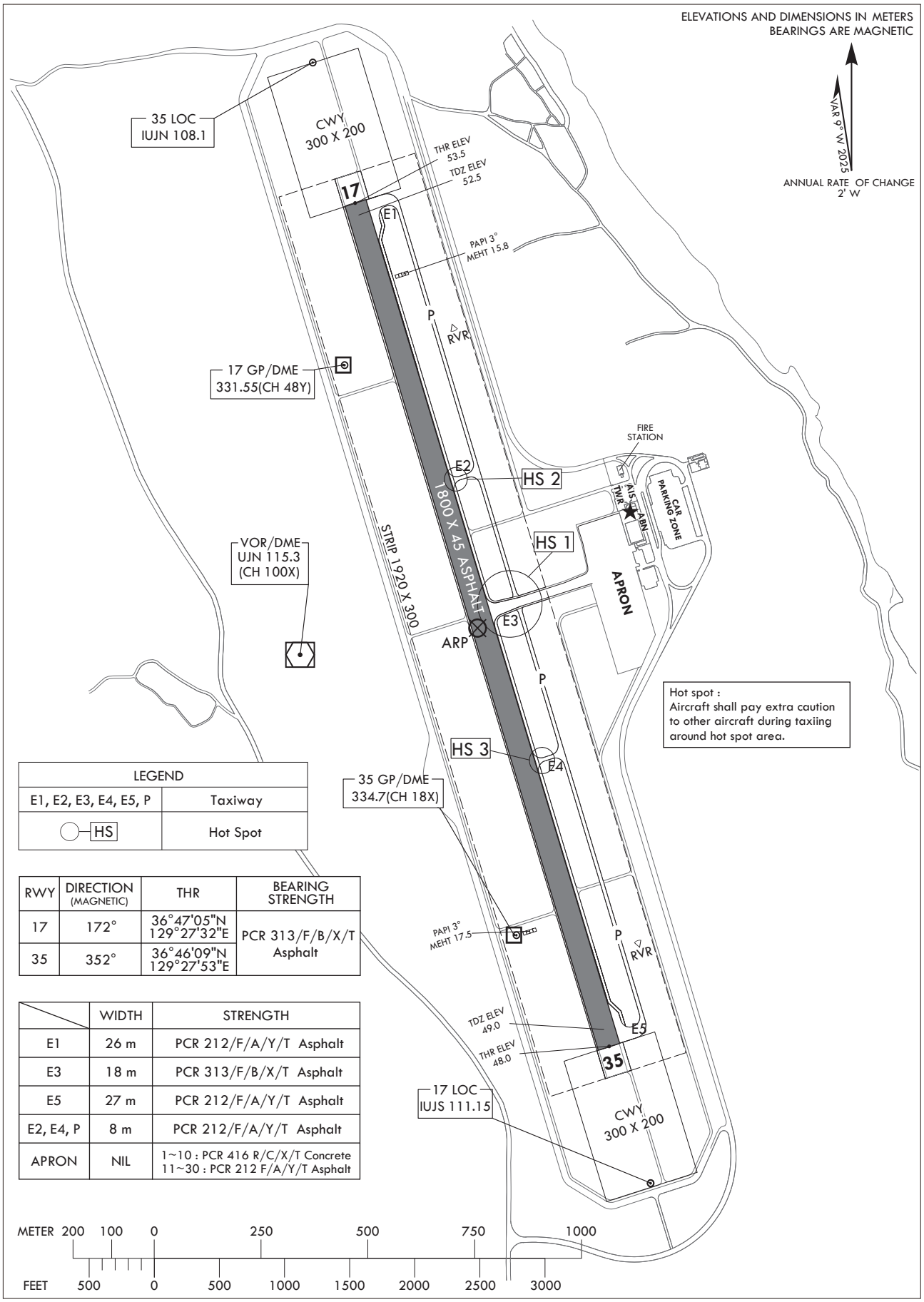

LEGEND	
E1, E2, E3, E4, E5, P	Taxiway
○ HS	Hot Spot

RWY	DIRECTION (MAGNETIC)	THR	BEARING STRENGTH
17	172°	36°47'05"N 129°27'32"E	PCR 313/F/B/X/T Asphalt
35	352°	36°46'09"N 129°27'53"E	

	WIDTH	STRENGTH
E1	26 m	PCR 212/F/A/Y/T Asphalt
E3	18 m	PCR 313/F/B/X/T Asphalt
E5	27 m	PCR 212/F/A/Y/T Asphalt
E2, E4, P	8 m	PCR 212/F/A/Y/T Asphalt
APRON	NIL	1~10 : PCR 416 R/C/X/T Concrete 11~30 : PCR 212 F/A/Y/T Asphalt

Change : Information of MAG VAR/annual rate of change(9° W 2020/5' W → 9° W 2025/2' W) and RWY directions(171°, 351° → 172°, 352°).

LIGHTING AND MARKING CHART

ULJIN / Uljin

MARKING AIDS RWY 17/35 AND EXIT TWY

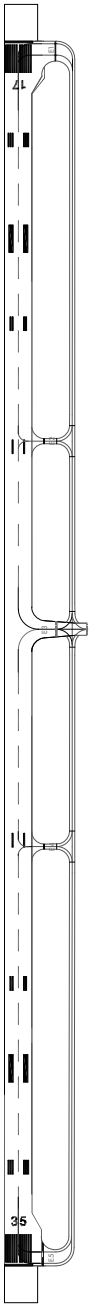
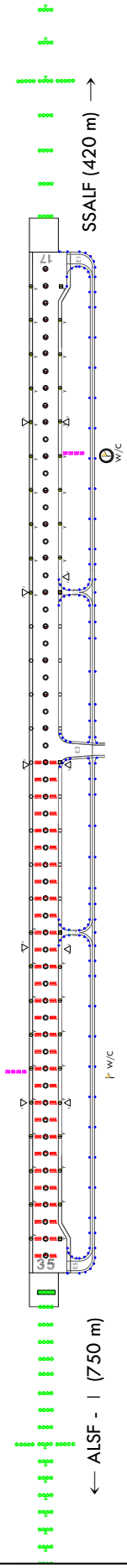
LIGHTING AIDS RWY 17/35 AND EXIT TWY