STANDARD DEPARTURE CHART INSTRUMENT (SID)

TRANSITION ALT	14 000
TRANSITION LVL	FL 140

WONJU DEP	130.2	268.5
WONJU TWR	118.325	126.2
	236.6	265.5

WONJU/Wonju(RKNW)
RWY 03
CHISE 1

Note : Departure under U.S TERPS.

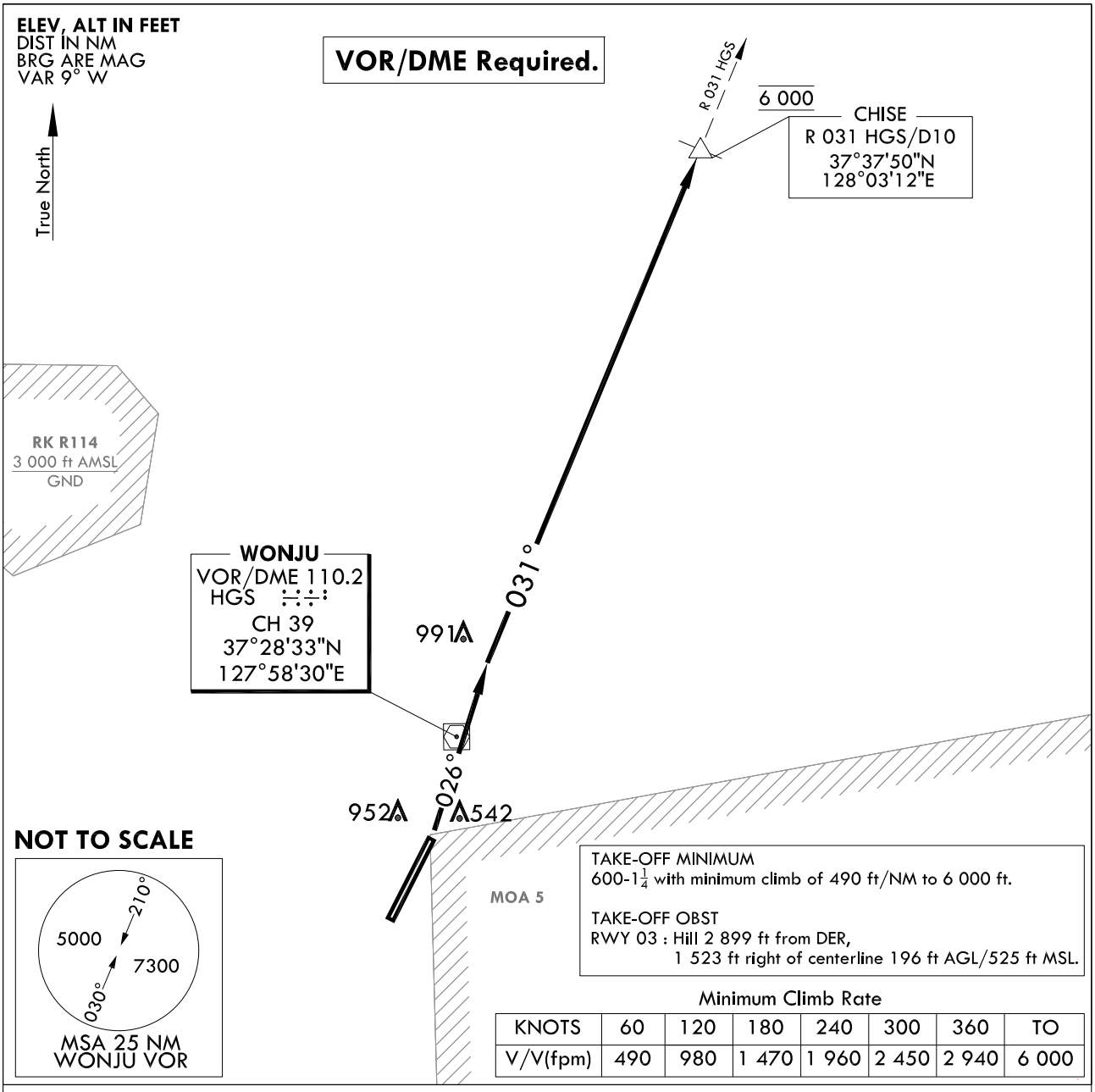

TAKE-OFF MINIMUM
600-1$\frac{1}{4}$ with minimum climb of 490 ft/NM to 6 000 ft.

TAKE-OFF OBST
RWY 03 : Hill 2 899 ft from DER,
1 523 ft right of centerline 196 ft AGL/525 ft MSL.

Minimum Climb Rate

KNOTS	60	120	180	240	300	360	TO
V/V(fpm)	490	980	1 470	1 960	2 450	2 940	6 000

DEPARTURE PROCEDURE DESCRIPTION

CHISE 1 DEPARTURE

RWY 03 : Climb to 6 000 ft via HDG 026° to intercept R 031 HGS, then R 031 HGS to CHISE, then direct to Enroute fix and climb to assigned altitude.

Change : Information of course/track for standard instrument departure procedure.

INTENTIONALLY

LEFT

BLANK

STANDARD DEPARTURE CHART INSTRUMENT (SID)

TRANSITION ALT	14 000
TRANSITION LVL	FL 140

WONJU DEP	130.2	268.5
WONJU TWR	118.325	126.2
	236.6	265.5

WONJU/Wonju(RKNW)
RWY 21
WONJU 7

Note : Departure under U.S TERPS.

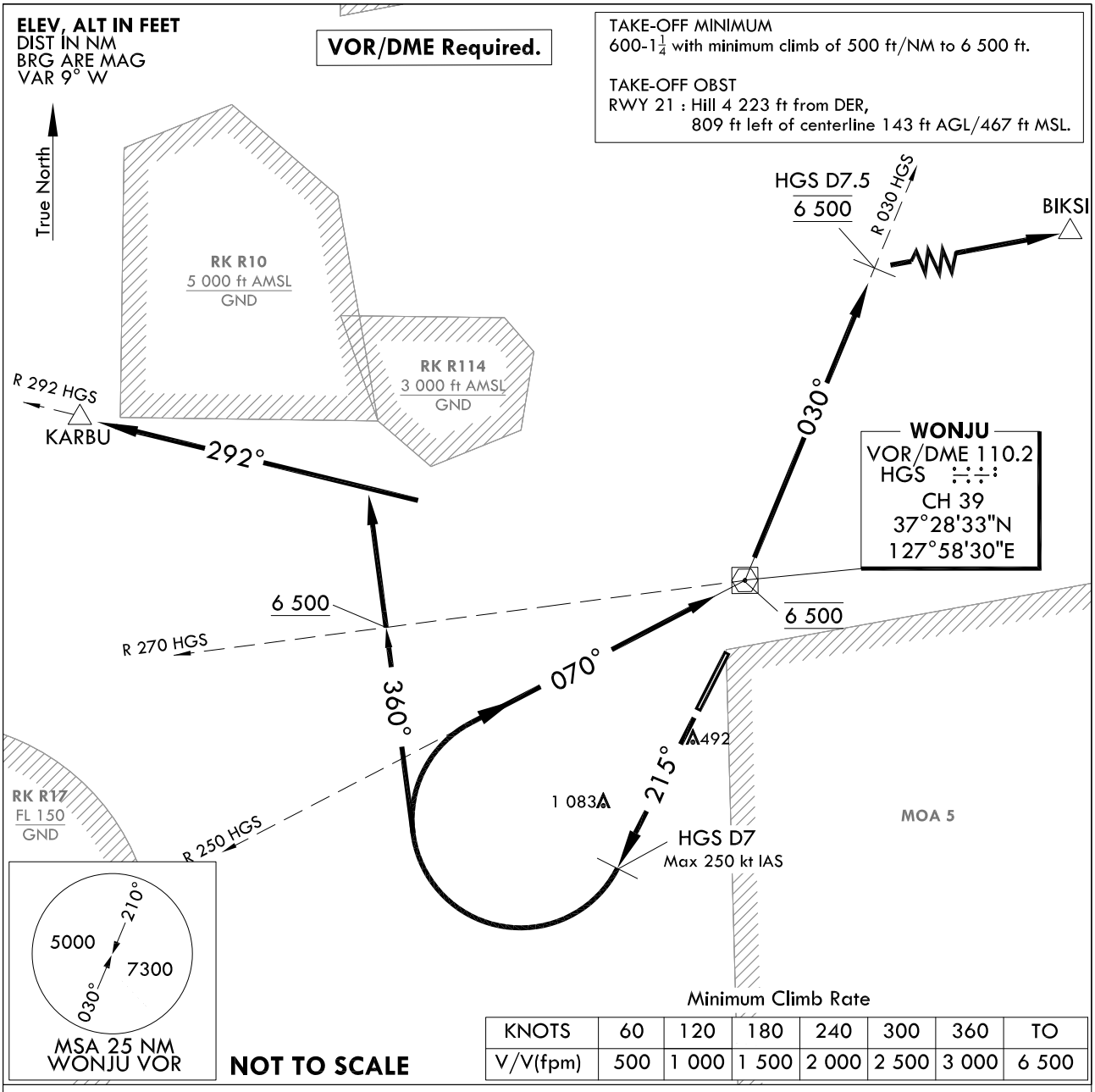

Minimum Climb Rate

KNOTS	60	120	180	240	300	360	TO
V/V(fpm)	500	1 000	1 500	2 000	2 500	3 000	6 500

DEPARTURE PROCEDURE DESCRIPTION

WONJU 7 DEPARTURE

RWY 21 : Climb to 6 500 ft via HDG 215° to HGS D7, thence....
Max speed 250 kt IAS until reaching 6 500 ft.

KARBU transition : Then right turn HDG 360° to intercept R 292 HGS and cross R 270 HGS at or above 6 500 ft, then R 292 HGS to KARBU and climb to assigned altitude by ATC.

BIKSI transition : Then right turn to intercept R 250 HGS and cross HGS at 6 500 ft, then left turn R 030 HGS to HGS D7.5 and cross at 6 500 ft, then direct to BIKSI and climb to assigned altitude by ATC.

Change : Information of course/track for standard instrument departure procedure.

INTENTIONALLY

LEFT

BLANK

STANDARD DEPARTURE CHART INSTRUMENT(SID)

TRANSITION ALT	14 000
TRANSITION LVL	FL 140

WONJU	DEP	130.2	
		268.5	
WONJU	TWR	265.5	118.325
		236.6	126.2

WONJU/Wonju(RKNW)
RWY 03/21
WONJU 1D

Note : Departure under U.S. TERPS.

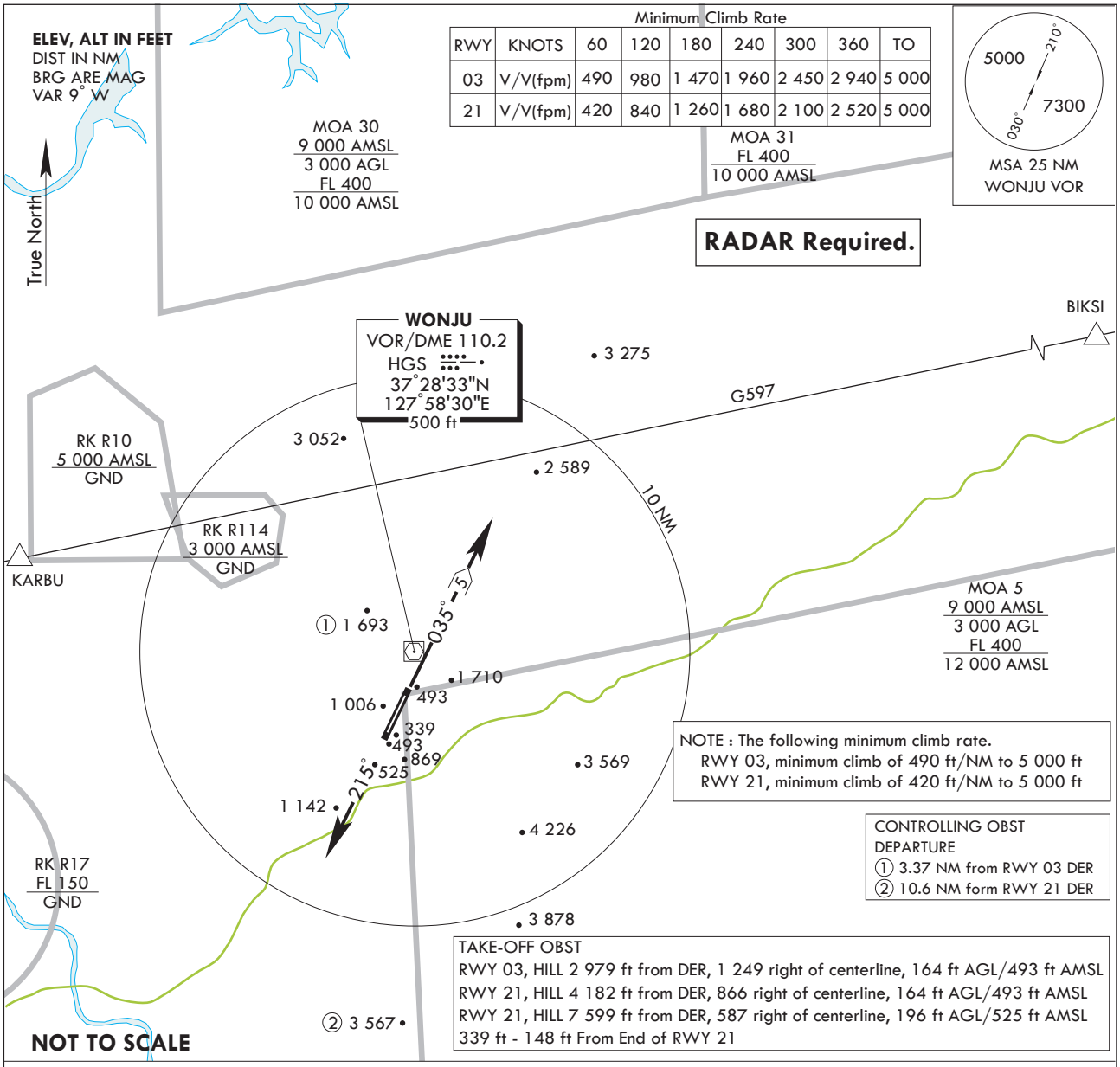

Minimum Climb Rate

RWY	KNOTS	60	120	180	240	300	360	TO
03	V/V(fpm)	490	980	1 470	1 960	2 450	2 940	5 000
21	V/V(fpm)	420	840	1 260	1 680	2 100	2 520	5 000

DEPARTURE ROUTE DESCRIPTION

TAKE-OFF RWY 03 : Climb HDG 035° to 5 NM, Thence.....

TAKE-OFF RWY 21 : Climb HDG 215°, Thence.....
..... Expect radar vectors to intercept filed altitude/filed Enroute fix or Navaid. Maintain 7 000 ft or assigned altitude(flight level). Expect filed altitude/flight level 10 minute after departure.

LOST COMMUNICATIONS : If radio contact is not established with departure control prior to reaching 5 000 ft, continue climb to 7 000 ft before turning to filed fix/Navaid and proceed filed route and altitude.

Change : Withdrawal of note for ASR blind area and Information of item number.

INTENTIONALLY

LEFT

BLANK

STANDARD DEPARTURE CHART INSTRUMENT(SID)

Note : Departure under U.S TERPS.

TRANSITION ALT	14 000
TRANSITION LVL	FL 140

WONJU DEP	130.2	
	268.5	
WONJU TWR	126.2	118.325
	236.6	265.5

WONJU/Wonju(RKNW)
RWY 03
RNAV(GNSS) IKILA 1

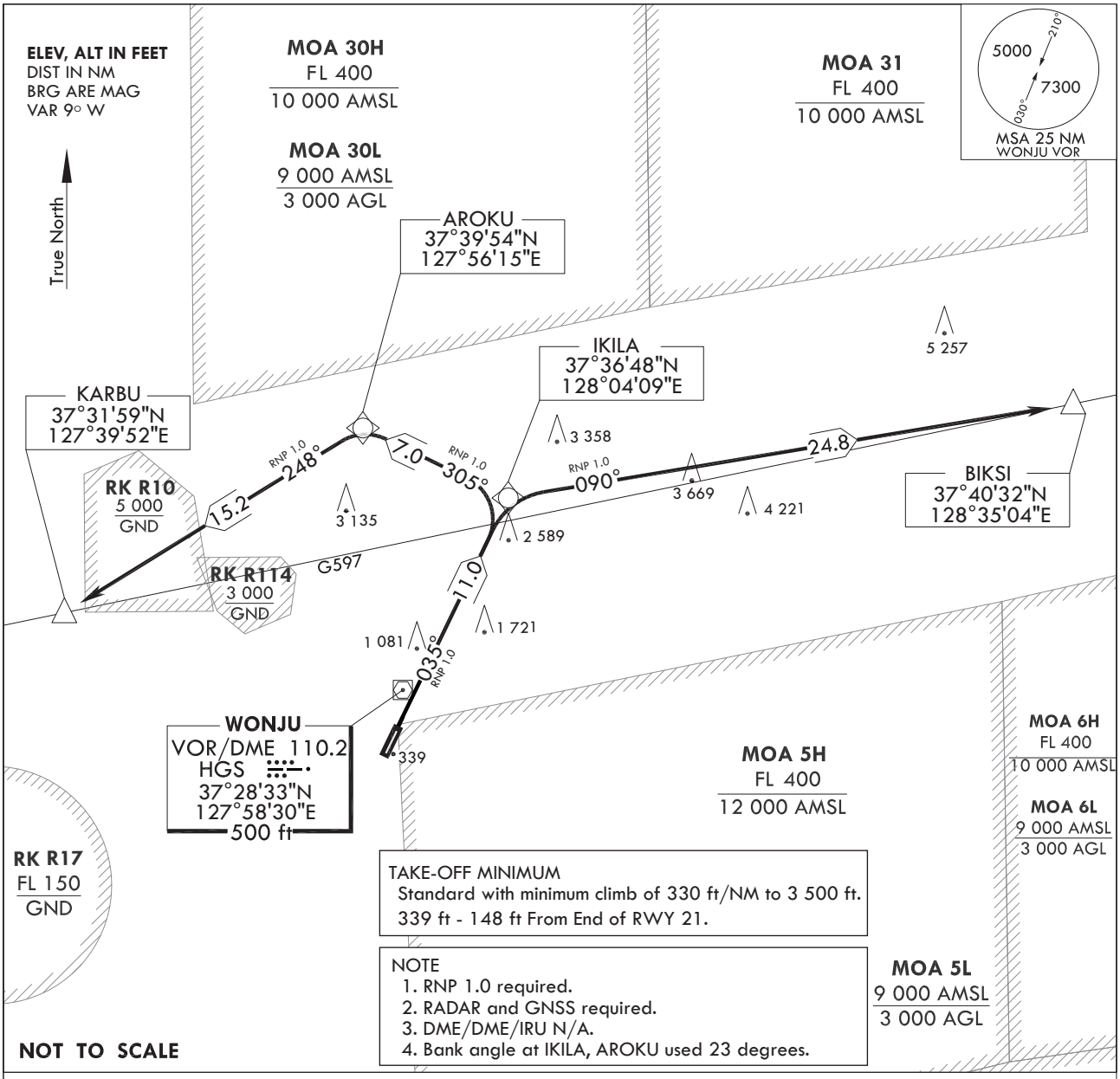

DEPARTURE ROUTE DESCRIPTION

TAKE-OFF RWY 03 : Climb on course 035° to IKILA, thence.....

KARBU transition : Then on track 305° to AROKU then on track 248° to cross KARBU at 6 500 ft.

BIKSI transition : Then on track 090° to cross BIKSI at 6 500 ft.

Change : Amended coordinates for AROKU(127°56'15"N → 127°56'15"E).

Standard Instrument Departure Procedure Coding Tables

RNAV(GNSS) IKILA 1 - RWY 03

Serial Number	Path Descriptor	Waypoint Identifier	Fly -Over	Course/Track ° M(° T)	Distance (NM)	Turn Direction	Altitude (ft)	Speed (kt)	Coordinates	VPA /TCH	Navigation specification	Remarks
001	–	RWY 21	–	–	–	–	–	–	37°26'56.74"N 127°58'02.23"E	–	RNP APCH	–
002	CF	IKILA	–	035 (026.3)	11.0	–	–	–	37°36'47.66"N 128°04'08.88"E	–	RNP APCH	CG 330 ft/NM to 3 500 ft

KARBU Transition

Serial Number	Path Descriptor	Waypoint Identifier	Fly -Over	Course/Track ° M(° T)	Distance (NM)	Turn Direction	Altitude (ft)	Speed (kt)	Coordinates	VPA /TCH	Navigation specification	Remarks
001	–	IKILA	–	–	–	–	–	–	37°36'47.66"N 128°04'08.88"E	–	RNP APCH	–
002	TF	AROKU	–	305 (296.3)	7.0	–	–	–	37°39'53.96"N 127°56'14.89"E	–	RNP APCH	–
003	TF	KARBU	–	248 (238.8)	15.2	–	6 500	–	37°31'59.00"N 127°39'52.00"E	–	RNP APCH	–

BIKSI Transition

Serial Number	Path Descriptor	Waypoint Identifier	Fly -Over	Course/Track ° M(° T)	Distance (NM)	Turn Direction	Altitude (ft)	Speed (kt)	Coordinates	VPA /TCH	Navigation specification	Remarks
001	–	IKILA	–	–	–	–	–	–	37°36'47.66"N 128°04'08.88"E	–	RNP APCH	–
002	TF	BIKSI	–	090 (081.2)	24.8	–	6 500	–	37°40'32.00"N 128°35'04.00"E	–	RNP APCH	–

STANDARD DEPARTURE CHART INSTRUMENT(SID)

Note : Departure under U.S TERPS.

TRANSITION ALT	14 000
TRANSITION LVL	FL 140

WONJU DEP	130.2	
	268.5	
WONJU TWR	126.2	118.325
	236.6	265.5

WONJU/Wonju(RKNW)
RWY 21
RNAV(GNSS) SANUV 2

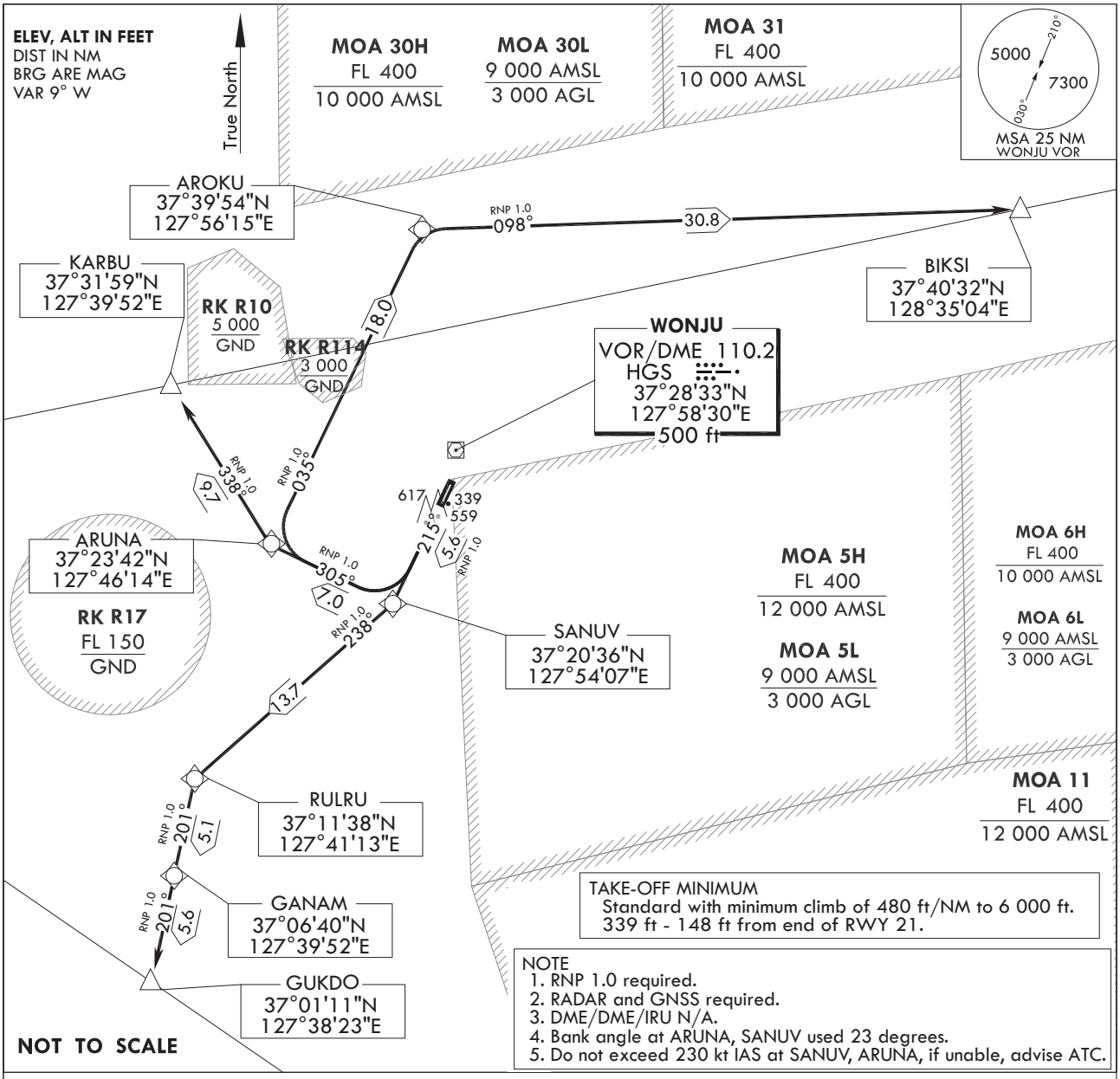

TAKE-OFF MINIMUM
Standard with minimum climb of 480 ft/NM to 6 000 ft.
339 ft - 148 ft from end of RWY 21.

NOTE
1. RNP 1.0 required.
2. RADAR and GNSS required.
3. DME/DME/IRU N/A.
4. Bank angle at ARUNA, SANUV used 23 degrees.
5. Do not exceed 230 kt IAS at SANUV, ARUNA, if unable, advise ATC.

DEPARTURE ROUTE DESCRIPTION

TAKE-OFF RWY 21 :

Climb on course 215° to SANUV, thence.....

KARBU TRANSITION :

Max 230 kt IAS until SANUV then on track 305° to ARUNA, then on track 338° to cross KARBU at 6 500 ft.

BIKSI TRANSITION :

Then on track 305° to ARUNA, Max 230 kt IAS until ARUNA, then on track 035° to AROKU, then on track 098° to cross BIKSI at 6 500 ft.

GUKDO TRANSITION :

Then on track 238° to RULRU, then on track 201° to GANAM, then on track 201° to cross GUKDO at 6 500 ft.

Change : Establishment of SID for RWY 21(RNAV(GNSS) SANUV 2).

Standard Instrument Departure Procedure Coding Tables

RNAV(GNSS) SANUV 2 - RWY 21

Serial Number	Path Descriptor	Waypoint Identifier	Fly -Over	Course/Track ° M(° T)	Distance (NM)	Turn Direction	Altitude (ft)	Speed (kt)	Coordinates	VPA /TCH	Navigation specification	Remarks
001	–	RWY 03	–	–	–	–	–	–	37°25'36.98"N 127°57'12.75"E	–	RNP APCH	–
002	CF	SANUV	–	215 (206.3)	5.6	–	–	-230	37°20'36.46"N 127°54'06.91"E	–	RNP APCH	CG 480 ft/NM to 6 000 ft

KARBU Transition

Serial Number	Path Descriptor	Waypoint Identifier	Fly -Over	Course/Track ° M(° T)	Distance (NM)	Turn Direction	Altitude (ft)	Speed (kt)	Coordinates	VPA /TCH	Navigation specification	Remarks
001	–	SANUV	–	–	–	–	–	–	37°20'36.46"N 127°54'06.91"E	–	RNP APCH	–
002	TF	ARUNA	–	305 (296.2)	7.0	–	–	–	37°23'42.07"N 127°46'14.18"E	–	RNP APCH	CG 480 ft/NM to 6 000 ft
003	TF	KARBU	–	338 (328.5)	9.7	–	6 500	–	37°31'59.00"N 127°39'52.00"E	–	RNP APCH	–

BIKSI Transition

Serial Number	Path Descriptor	Waypoint Identifier	Fly -Over	Course/Track ° M(° T)	Distance (NM)	Turn Direction	Altitude (ft)	Speed (kt)	Coordinates	VPA /TCH	Navigation specification	Remarks
001	–	SANUV	–	–	–	–	–	–	37°20'36.46"N 127°54'06.91"E	–	RNP APCH	–
002	TF	ARUNA	–	305 (296.2)	7.0	–	–	-230	37°23'42.07"N 127°46'14.18"E	–	RNP APCH	–
003	TF	AROKU	–	035 (026.2)	18.0	–	–	–	37°39'53.96"N 127°56'14.89"E	–	RNP APCH	–
004	TF	BIKSI	–	098 (088.6)	30.8	–	6 500	–	37°40'32.00"N 128°35'04.00"E	–	RNP APCH	–

GUKDO Transition

Serial Number	Path Descriptor	Waypoint Identifier	Fly -Over	Course/Track ° M(° T)	Distance (NM)	Turn Direction	Altitude (ft)	Speed (kt)	Coordinates	VPA /TCH	Navigation specification	Remarks
001	–	SANUV	–	–	–	–	–	–	37°20'36.46"N 127°54'06.91"E	–	RNP APCH	–
002	TF	RULRU	–	238 (229.0)	13.7	–	–	–	37°11'38.00"N 127°41'12.94"E	–	RNP APCH	CG 480 ft/NM to 6 000 ft
003	TF	GANAM	–	201 (192.2)	5.1	–	–	–	37°06'40.05"N 127°39'52.09"E	–	RNP APCH	–
004	TF	GUKDO	–	201 (192.3)	5.6	–	6 500	–	37°01'10.93"N 127°38'22.86"E	–	RNP APCH	–

Change : Establishment of SID for RWY 21(RNAV(GNSS) SANUV 2).