AIRCRAFT PARKING / DOCKING CHART - ICAO

APRON ELEV **6** m

TWR	118.2(E)	118.8(W)	
GND	121.75(E)	121.7(W)	
APRON	121.65	122.175	123.675
	121.8	123.325	129.725

SEOUL / Incheon Intl

ELEVATIONS AND DIMENSIONS IN METERS
BEARINGS ARE MAGNETIC

VAR 9° W 2025

ANNUAL RATE OF CHANGE
2' W

Note 1
For Gate 11 and 42, pilots need to pay extra caution to follow the lead-in lines, which may require more than two turns.
Note 2
Aircraft shall not taxi into maneuvering area without clearance from Incheon Tower or Ground.

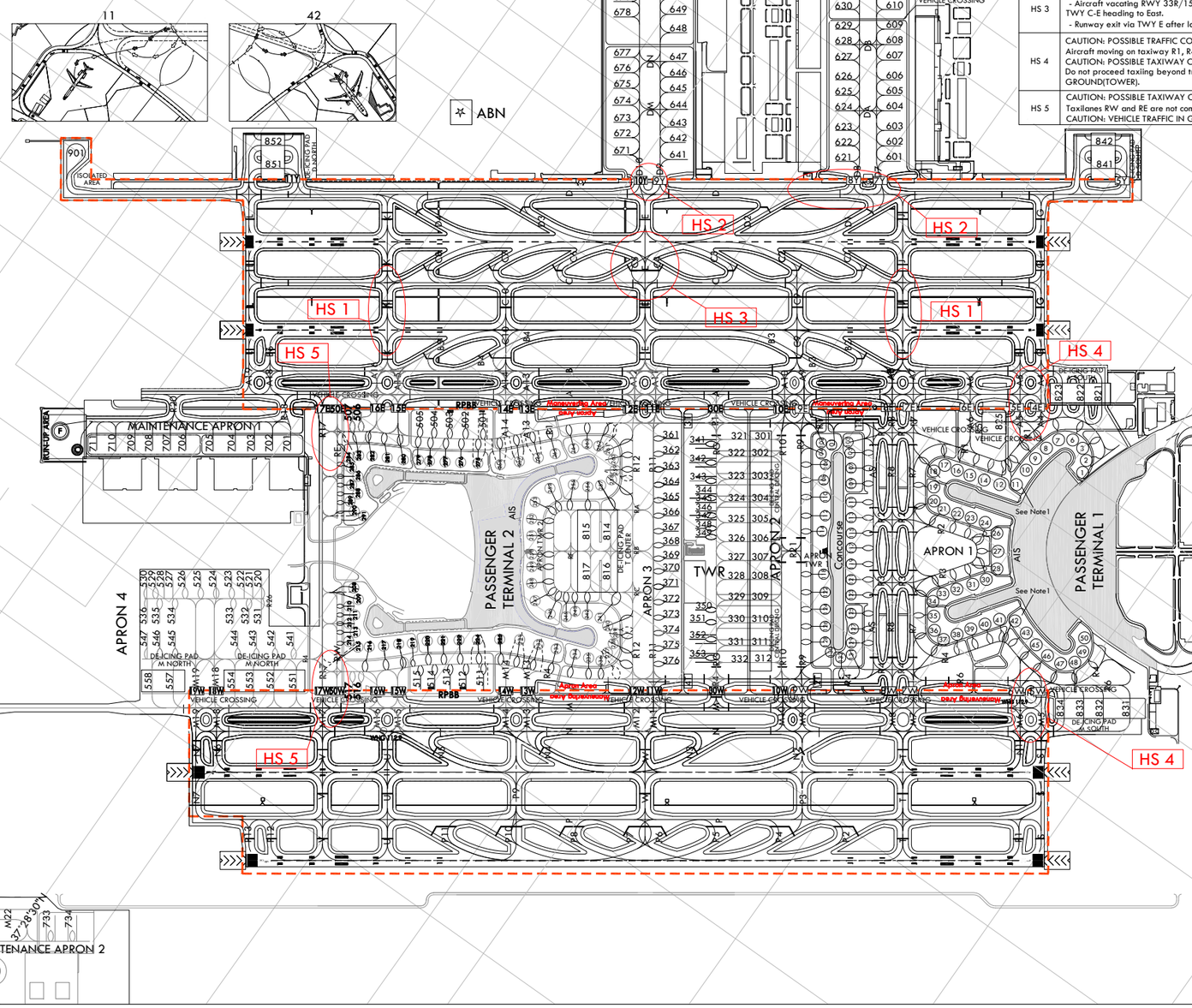

METERS 500 400 300 200 100 0 250 500 750 1000
FEET 1500 1000 500 0 500 1000 1500 2000 2500 3000

HS 1	CAUTION: RUNWAY INCURSION RISK Do not cross the holding marking for RWY 33L/15R on TWY K or J without ATC clearance. (RWY 33L/15R in use for departure and RWY 33R/15L in use for arrival)
HS 2	CAUTION: POSSIBLE TRAFFIC CONFLICT - Do not proceed taxiing beyond transfer of control points without clearance from INCHEON APRON or GROUND(TOWER). - Runway exit via TWY E after landing on RWY 33R/15L is available only when specifically authorized by ATC before landing.
HS 3	CAUTION: POSSIBLE TRAFFIC CONFLICT - Aircraft vacating RWY 33R/15L to TWY C after landing use caution: C4 and C5 are not available when aircraft is on TWY C-E heading to East. - Runway exit via TWY E after landing on RWY 33R/15L is available only when specifically authorized by ATC.
HS 4	CAUTION: POSSIBLE TRAFFIC CONFLICT Aircraft moving on taxiway R1, R4, R5 and R6 must maintain a safe separation distance with aircraft on A4 or M5. CAUTION: POSSIBLE TAXIWAY CONFUSION Do not proceed taxiing beyond transfer of control points without clearance from INCHEON APRON or GROUND(TOWER).
HS 5	CAUTION: POSSIBLE TAXIWAY CONFUSION Taxilanes RW and RE are not compliant with code D/E/F aircraft. CAUTION: VEHICLE TRAFFIC IN GSE ROADS INTERSECTION AREAS(RE–R1, RW–R4)

LEGEND

WNG 112.9	VOR check-point and frequency
	Runway holding position
R4	Taxi lane
50	Gate
301	Remote stand
	Open channel
1E	Transfer of control point(TCP)
	ATC sevice boundary (Maneuvering area)
	Hot spot
RPBB	Remote Passenger Boarding Bridge (501, 503, 512, 514)

		SURFACE	WIDTH	STRENGTH
APRON	Apron 1, Cargo Apron 1, Maintenance Apron 1	Concrete	-	PCR 1 300/R/B/X/T
	Apron 2, Cargo Apron 2			PCR 1 160/R/B/X/T
	Mintenance Apron 2			PCR 1 050/R/B/X/T
	Apron 3			PCR 1 400/R/B/X/T
	Apron 4			PCR 1 510/R/B/X/T
TWY A, D		Concrete	30 m Shoulder : 15 m - Paved : 12 m - Turfed : 3 m	PCR 1 300/R/B/X/T
TWY B, C		Asphalt		PCR 1 610/F/B/X/T
TWY M		Concrete	30 m Shoulder : 15 m - Paved : 15 m	PCR 1 160/R/B/X/T
TWY N		Asphalt		PCR 1 290/F/B/X/T
TWY P		Asphalt		PCR 1 370/F/B/X/T

Taxiway edge lights on all taxiways curve area
Taxiway center line lights on all taxiways
PAX Terminal and Concourse A VDGS equipped

Change : Information of lead in·lead out line for passenger terminal 2.

Apron 1

	INS COORDINATES FOR AIRCRAFT STANDS			STAND AVAILABILITY
	WGS-84		ELEV(AMSL)	
1	37°26'58.99"N	126°27'21.50"E	5 m	C
2	37°26'59.37"N	126°27'23.34"E	5 m	C
3	37°27'00.31"N	126°27'24.11"E	5 m	C, D
6	37°27'01.77"N	126°27'23.95"E	5 m	C, D, E
7	37°27'02.95"N	126°27'22.99"E	5 m	C, D, E
8	37°27'03.50"N	126°27'20.88"E	5 m	C, D, E, F
9	37°27'03.93"N	126°27'18.16"E	5 m	C, D, E
10	37°27'04.10"N	126°27'15.34"E	5 m	C, D, E, F
11	37°27'04.16"N	126°27'12.40"E	5 m	C
12	37°27'06.45"N	126°27'08.48"E	5 m	C, D, E, F
14	37°27'08.98"N	126°27'07.70"E	5 m	C, D, E
15	37°27'11.30"N	126°27'07.12"E	5 m	C, D, E, F
16	37°27'13.30"N	126°27'07.09"E	5 m	C
17	37°27'14.77"N	126°27'05.83"E	5 m	C, D, E, F
18	37°27'15.20"N	126°27'04.55"E	5 m	C
19	37°27'13.95"N	126°27'02.63"E	5 m	D, E
20	37°27'13.30"N	126°27'00.94"E	5 m	C, D
21	37°27'11.63"N	126°27'01.50"E	5 m	D, E
22	37°27'10.17"N	126°27'02.54"E	5 m	C, D, E
23	37°27'07.86"N	126°27'03.20"E	5 m	C, D, E
24	37°27'05.53"N	126°27'04.58"E	5 m	C, D, E
26	37°27'01.95"N	126°27'02.96"E	5 m	D, E
27	37°27'00.58"N	126°27'00.31"E	5 m	C, D, E
28	37°26'58.95"N	126°26'57.88"E	5 m	C, D, E
30	37°26'58.99"N	126°26'52.96"E	5 m	C, D, E
31	37°27'00.73"N	126°26'50.72"E	5 m	C, D, E
32	37°27'02.06"N	126°26'48.27"E	5 m	C, D, E
33	37°27'03.46"N	126°26'46.44"E	5 m	C, D, E
34	37°27'04.45"N	126°26'44.82"E	5 m	C, D
35	37°27'03.07"N	126°26'43.38"E	5 m	C, D, E
36	37°27'01.97"N	126°26'41.97"E	5 m	C, D
37	37°27'00.40"N	126°26'41.99"E	5 m	C, D
38	37°26'59.61"N	126°26'43.21"E	5 m	C, D
39	37°26'59.20"N	126°26'45.23"E	5 m	D, E
40	37°26'57.91"N	126°26'47.75"E	5 m	D, E
41	37°26'56.40"N	126°26'50.62"E	5 m	C, D, E
42	37°26'52.78"N	126°26'52.07"E	5 m	C
43	37°26'50.51"N	126°26'51.17"E	5 m	C, D, E, F
45	37°26'48.38"N	126°26'50.47"E	5 m	C, D, E
46	37°26'46.18"N	126°26'50.16"E	5 m	C, D, E, F
47	37°26'44.29"N	126°26'49.95"E	5 m	C, D, E
48	37°26'43.06"N	126°26'51.57"E	5 m	C, D, E
49	37°26'42.94"N	126°26'53.29"E	5 m	D, E
50	37°26'44.23"N	126°26'55.55"E	5 m	C, D, E
103	37°27'29.59"N	126°26'59.99"E	5 m	C
105	37°27'28.46"N	126°26'58.57"E	5 m	C, D
107	37°27'27.35"N	126°26'55.93"E	5 m	C, D, E
109	37°27'25.99"N	126°26'53.53"E	5 m	C, D, E
111	37°27'24.35"N	126°26'50.62"E	5 m	C, D, E
113	37°27'22.99"N	126°26'48.22"E	5 m	C, D, E
115	37°27'21.33"N	126°26'46.07"E	5 m	C, D
117	37°27'20.08"N	126°26'43.72"E	5 m	C, D
119	37°27'18.67"N	126°26'41.21"E	5 m	D
121	37°27'17.55"N	126°26'38.59"E	5 m	C, D, E
123	37°27'16.19"N	126°26'36.18"E	5 m	C, D, E
125	37°27'14.42"N	126°26'33.45"E	5 m	C, D, E
127	37°27'12.91"N	126°26'31.17"E	5 m	C, D
129	37°27'11.78"N	126°26'28.89"E	5 m	C, D
131	37°27'10.77"N	126°26'27.39"E	5 m	C, D, E
132	37°27'11.82"N	126°26'25.99"E	5 m	C, D

Isolated Security Parking Position

	INS COORDINATES FOR AIRCRAFT STANDS			STAND AVAILABILITY
	WGS-84		ELEV(AMSL)	
901	37°29'31.53"N	126°26'21.41"E	5 m	A ~ F

Run-up Area

* Engine Run-up Area : North of Maintenance Apron
** In case of the Run-up area U/S, 14A(North part of TWY A) can be allocated as Temporary run-up area.

Apron 2

	INS COORDINATES FOR AIRCRAFT STANDS			STAND AVAILABILITY
	WGS-84		ELEV(AMSL)	
101	37°27'31.15"N	126°26'57.96"E	5 m	C
102	37°27'32.38"N	126°26'56.77"E	6 m	C
104	37°27'31.66"N	126°26'55.43"E	5 m	C, D
106	37°27'30.25"N	126°26'54.20"E	5 m	C, D, E, F
108	37°27'29.09"N	126°26'51.62"E	6 m	C, D, E
110	37°27'27.37"N	126°26'49.15"E	6 m	C, D, E, F
112	37°27'25.73"N	126°26'46.25"E	6 m	C, D, E, F
114	37°27'24.76"N	126°26'43.44"E	6 m	C, D
118	37°27'20.78"N	126°26'36.96"E	6 m	C, D, E
122	37°27'19.05"N	126°26'34.28"E	6 m	C, D, E, F
124	37°27'17.50"N	126°26'31.68"E	5 m	C, D, E
126	37°27'16.00"N	126°26'29.02"E	6 m	C, D, E, F
128	37°27'15.01"N	126°26'26.23"E	6 m	C, D
130	37°27'13.79"N	126°26'24.76"E	5 m	C, D, E
321	37°27'42.95"N	126°26'48.77"E	5 m	A ~ C
322	37°27'41.39"N	126°26'46.17"E	5 m	A ~ F
323	37°27'39.40"N	126°26'42.64"E	5 m	A ~ F
324	37°27'37.40"N	126°26'39.11"E	5 m	A ~ F
325	37°27'35.57"N	126°26'35.88"E	5 m	A ~ E
326	37°27'33.91"N	126°26'32.93"E	5 m	A ~ E
327	37°27'32.24"N	126°26'29.99"E	5 m	A ~ E
328	37°27'30.58"N	126°26'27.04"E	5 m	A ~ E
329	37°27'28.75"N	126°26'23.81"E	5 m	A ~ F
330	37°27'26.76"N	126°26'20.28"E	5 m	A ~ F
331	37°27'24.76"N	126°26'16.75"E	5 m	A ~ F
332	37°27'23.32"N	126°26'14.04"E	5 m	A ~ C
341	37°27'49.32"N	126°26'42.06"E	5 m	A ~ F
342	37°27'47.67"N	126°26'39.15"E	5 m	A ~ F
343	37°27'46.07"N	126°26'36.30"E	5 m	A ~ E
344	37°27'44.22"N	126°26'34.91"E	5 m	A ~ C
345	37°27'43.46"N	126°26'33.57"E	5 m	A ~ C
346	37°27'42.70"N	126°26'32.23"E	5 m	A ~ C
347	37°27'41.94"N	126°26'30.88"E	6 m	A ~ C
348	37°27'41.18"N	126°26'29.54"E	5 m	A ~ C
349	37°27'40.42"N	126°26'28.20"E	5 m	A ~ C
350	37°27'34.00"N	126°26'16.84"E	5 m	A ~ C
351	37°27'33.63"N	126°26'14.29"E	5 m	A ~ E
352	37°27'32.12"N	126°26'11.63"E	5 m	A ~ F
353	37°27'30.48"N	126°26'08.73"E	5 m	A ~ F

Apron 3

	INS COORDINATES FOR AIRCRAFT STANDS			STAND AVAILABILITY
	WGS-84		ELEV(AMSL)	
208	37°28'17.64"N	126°25'42.86"E	6 m	C
209	37°28'16.72"N	126°25'41.27"E	6 m	C
210	37°28'16.64"N	126°25'39.78"E	6 m	C
211	37°28'15.87"N	126°25'38.41"E	6 m	C
212	37°28'15.10"N	126°25'37.05"E	6 m	C
213	37°28'14.33"N	126°25'35.70"E	6 m	C
214	37°28'13.68"N	126°25'34.41"E	6 m	C
215	37°28'12.52"N	126°25'34.61"E	6 m	C
216	37°28'11.53"N	126°25'36.05"E	6 m	C, D, E
217	37°28'10.02"N	126°25'37.56"E	6 m	C, D ,E
218	37°28'08.39"N	126°25'39.49"E	6 m	C, D, E
219	37°28'06.14"N	126°25'40.41"E	6 m	C
220	37°28'04.94"N	126°25'43.20"E	6 m	C, D, E
221	37°28'03.07"N	126°25'44.99"E	6 m	C, D, E
222	37°28'01.09"N	126°25'46.90"E	6 m	C, D, E
224	37°27'58.84"N	126°25'48.99"E	6 m	C, D, E, F
225	37°27'56.11"N	126°25'51.51"E	6 m	C, D, E, F
231	37°27'53.50"N	126°25'53.73"E	6 m	C, D, E, F
232	37°27'50.63"N	126°25'55.11"E	6 m	C, D, E, F
233	37°27'48.06"N	126°25'56.39"E	6 m	C, D, E, F
234	37°27'45.25"N	126°25'57.65"E	6 m	C, D, E, F
235	37°27'43.43"N	126°25'58.43"E	6 m	C, D, E
236	37°27'41.63"N	126°25'59.34"E	5 m	C
237	37°27'41.95"N	126°26'00.49"E	5 m	C
238	37°27'41.95"N	126°26'02.41"E	5 m	C
239	37°27'42.57"N	126°26'03.75"E	5 m	C
240	37°27'43.84"N	126°26'03.91"E	5 m	C
241	37°27'45.11"N	126°26'04.57"E	6 m	C, D, E

Apron 3

	INS COORDINATES FOR AIRCRAFT STANDS			STAND AVAILABILITY
	WGS-84		ELEV(AMSL)	
242	37°27'46.48"N	126°26'03.41"E	6 m	C, D, E
243	37°27'48.32"N	126°26'02.55"E	6 m	C
245	37°27'48.94"N	126°26'00.76"E	6 m	C
246	37°27'51.45"N	126°25'59.22"E	6 m	C, D, E
247	37°27'55.00"N	126°25'59.73"E	6 m	C, D, E
248	37°27'57.23"N	126°26'02.28"E	6 m	C, D, E
249	37°27'58.69"N	126°26'04.97"E	6 m	C, D, E
250	37°27'59.11"N	126°26'07.52"E	6 m	C
251	37°28'01.43"N	126°26'09.81"E	6 m	C, D, E
252	37°28'02.97"N	126°26'12.47"E	6 m	C, D, E
253	37°28'04.15"N	126°26'15.83"E	6 m	C, D, E
254	37°28'03.39"N	126°26'20.27"E	6 m	C, D, E
255	37°28'00.46"N	126°26'23.80"E	6 m	C, D, E
256	37°27'58.59"N	126°26'25.00"E	6 m	C, D, E
257	37°27'57.32"N	126°26'26.21"E	6 m	C, D, E
258	37°27'56.59"N	126°26'27.91"E	5 m	C
259	37°27'57.47"N	126°26'28.63"E	5 m	C
260	37°27'58.31"N	126°26'30.31"E	5 m	C
261	37°27'59.23"N	126°26'31.37"E	5 m	C
262	37°28'00.16"N	126°26'30.78"E	6 m	C
263	37°28'01.52"N	126°26'29.98"E	6 m	E
264	37°28'02.61"N	126°26'27.99"E	6 m	C, D, E, F
265	37°28'04.51"N	126°26'25.12"E	6 m	C, D, E, F
266	37°28'06.25"N	126°26'22.61"E	6 m	C, D, E, F
267	37°28'08.33"N	126°26'19.82"E	6 m	C, D, E, F
268	37°28'10.50"N	126°26'17.17"E	6 m	C, D, E, F
275	37°28'13.45"N	126°26'14.89"E	6 m	C, D, E, F
276	37°28'15.65"N	126°26'13.10"E	6 m	C, D, E
277	37°28'17.62"N	126°26'11.49"E	6 m	C, D, E
278	37°28'19.60"N	126°26'09.88"E	6 m	C, D, E
279	37°28'21.67"N	126°26'09.56"E	6 m	C
280	37°28'22.93"N	126°26'07.30"E	6 m	C, D, E
281	37°28'25.07"N	126°26'05.83"E	6 m	C, D, E
282	37°28'27.19"N	126°26'04.32"E	6 m	C, D, E
283	37°28'29.36"N	126°26'03.74"E	6 m	C
284	37°28'29.22"N	126°26'02.28"E	6 m	C
285	37°28'28.85"N	126°26'01.09"E	6 m	C
286	37°28'28.07"N	126°25'59.99"E	6 m	C
287	37°28'27.30"N	126°25'58.64"E	6 m	C
288	37°28'26.53"N	126°25'57.27"E	6 m	C
289	37°28'25.76"N	126°25'55.91"E	6 m	C
290	37°28'24.99"N	126°25'54.56"E	6 m	C
291	37°28'23.41"N	126°25'54.89"E	6 m	C
361	37°27'51.21"N	126°26'40.96"E	5 m	A ~ C
362	37°27'49.77"N	126°26'39.34"E	5 m	A ~ E
363	37°27'48.41"N	126°26'36.93"E	5 m	A ~ E
364	37°27'47.05"N	126°26'34.52"E	5 m	A ~ E
365	37°27'45.69"N	126°26'32.12"E	5 m	A ~ E
366	37°27'44.33"N	126°26'29.71"E	5 m	A ~ E
367	37°27'42.96"N	126°26'27.31"E	5 m	A ~ E
368	37°27'42.44"N	126°26'24.88"E	5 m	A ~ C
369	37°27'41.09"N	126°26'22.49"E	5 m	A ~ C
370	37°27'39.44"N	126°26'21.06"E	5 m	A ~ E
371	37°27'38.08"N	126°26'18.66"E	5 m	A ~ E
372	37°27'36.72"N	126°26'16.25"E	5 m	A ~ E
373	37°27'35.36"N	126°26'13.84"E	5 m	A ~ E
374	37°27'34.00"N	126°26'11.44"E	5 m	A ~ E
375	37°27'32.64"N	126°26'09.03"E	5 m	A ~ E
376	37°27'31.89"N	126°26'06.79"E	5 m	A ~ C
501	37°28'17.68"N	126°26'24.20"E	5 m	A ~ F
502	37°28'19.80"N	126°26'22.19"E	5 m	A ~ F
503	37°28'21.77"N	126°26'20.42"E	5 m	A ~ E
504	37°28'23.70"N	126°26'18.71"E	5 m	A ~ E
505	37°28'25.47"N	126°26'17.15"E	5 m	A ~ D
506	37°28'32.85"N	126°26'10.78"E	5 m	A ~ C
507	37°28'33.94"N	126°26'09.81"E	5 m	A ~ C
511	37°27'53.18"N	126°25'40.92"E	5 m	A ~ F
512	37°27'55.40"N	126°25'39.07"E	5 m	A ~ F
513	37°27'57.37"N	126°25'37.32"E	5 m	A ~ E
514	37°27'59.30"N	126°25'35.61"E	5 m	A ~ E
515	37°28'01.06"N	126°25'34.03"E	5 m	A ~ D
516	37°28'08.35"N	126°25'27.44"E	5 m	A ~ C
517	37°28'09.42"N	126°25'26.49"E	5 m	A ~ C

Apron 4

	INS COORDINATES FOR AIRCRAFT STANDS			STAND AVAILABILITY
	WGS-84		ELEV(AMSL)	
520	37°28'30.58"N	126°25'33.83"E	5 m	A ~ C
521	37°28'31.54"N	126°25'32.62"E	5 m	A ~ C
522	37°28'32.61"N	126°25'31.66"E	5 m	A ~ C
523	37°28'34.58"N	126°25'31.07"E	5 m	A ~ E
524	37°28'36.50"N	126°25'29.37"E	5 m	A ~ E
525	37°28'38.42"N	126°25'27.66"E	5 m	A ~ E
526	37°28'40.34"N	126°25'25.95"E	5 m	A ~ E
527	37°28'41.44"N	126°25'23.81"E	5 m	A ~ C
528	37°28'42.51"N	126°25'22.86"E	5 m	A ~ C
529	37°28'43.71"N	126°25'22.14"E	5 m	A ~ C
530	37°28'44.78"N	126°25'21.18"E	5 m	A ~ C
531	37°28'26.95"N	126°25'27.30"E	5 m	A ~ C
532	37°28'28.24"N	126°25'25.51"E	5 m	A ~ E
533	37°28'30.16"N	126°25'23.80"E	5 m	A ~ E
534	37°28'37.38"N	126°25'17.38"E	5 m	A ~ E
535	37°28'39.29"N	126°25'15.67"E	5 m	A ~ E
536	37°28'41.07"N	126°25'14.73"E	5 m	A ~ E
541	37°28'21.85"N	126°25'29.06"E	5 m	A ~ F
542	37°28'24.17"N	126°25'27.00"E	5 m	A ~ F
543	37°28'26.48"N	126°25'24.94"E	5 m	A ~ F
544	37°28'28.80"N	126°25'22.88"E	5 m	A ~ F
545	37°28'36.59"N	126°25'15.99"E	5 m	A ~ E
546	37°28'38.51"N	126°25'14.28"E	5 m	A ~ E
547	37°28'39.96"N	126°25'12.77"E	5 m	A ~ C

Cargo Apron 1

	INS COORDINATES FOR AIRCRAFT STANDS			STAND AVAILABILITY
	WGS-84		ELEV(AMSL)	
601	37°27'47.85"N	126°27'49.51"E	6 m	A ~ E
602	37°27'49.21"N	126°27'51.92"E	6 m	A ~ E
603	37°27'50.57"N	126°27'54.33"E	6 m	A ~ F
604	37°27'52.30"N	126°27'57.39"E	6 m	A ~ F
605	37°27'53.66"N	126°27'59.80"E	6 m	A ~ E
606	37°27'55.02"N	126°28'02.21"E	6 m	A ~ F
607	37°27'56.76"N	126°28'05.28"E	6 m	A ~ F
608	37°27'58.12"N	126°28'07.69"E	6 m	A ~ E
609	37°27'59.47"N	126°28'10.09"E	6 m	A ~ E
610	37°28'01.21"N	126°28'13.17"E	6 m	A ~ E
611	37°28'02.57"N	126°28'15.57"E	6 m	A ~ E
612	37°28'03.93"N	126°28'17.98"E	6 m	A ~ E
613	37°28'05.31"N	126°28'20.37"E	6 m	A ~ E
614	37°28'06.67"N	126°28'22.77"E	6 m	A ~ E
615	37°28'08.03"N	126°28'25.18"E	6 m	A ~ E
616	37°28'09.39"N	126°28'27.59"E	6 m	A ~ F
621	37°27'56.05"N	126°27'42.22"E	6 m	A ~ E
622	37°27'57.41"N	126°27'44.63"E	6 m	A ~ E
623	37°27'58.77"N	126°27'47.03"E	6 m	A ~ F
624	37°28'00.50"N	126°27'50.10"E	6 m	A ~ F
625	37°28'01.86"N	126°27'52.51"E	6 m	A ~ E
626	37°28'03.22"N	126°27'54.92"E	6 m	A ~ F
627	37°28'04.96"N	126°27'57.99"E	6 m	A ~ F
628	37°28'06.32"N	126°28'00.40"E	6 m	A ~ E
629	37°28'07.68"N	126°28'02.80"E	6 m	A ~ F
630	37°28'09.41"N	126°28'05.87"E	6 m	A ~ F
631	37°28'10.77"N	126°28'08.28"E	6 m	A ~ E
632	37°28'12.13"N	126°28'10.69"E	6 m	A ~ E
633	37°28'13.47"N	126°28'13.11"E	6 m	A ~ E
634	37°28'14.83"N	126°28'15.52"E	6 m	A ~ E
635	37°28'16.19"N	126°28'17.93"E	6 m	A ~ E
636	37°28'17.55"N	126°28'20.33"E	6 m	A ~ F

Cargo Apron 2

	INS COORDINATES FOR AIRCRAFT STANDS			STAND AVAILABILITY
	WGS-84		ELEV(AMSL)	
641	37°28'14.41"N	126°27'26.28"E	6 m	A ~ F
642	37°28'16.06"N	126°27'28.81"E	6 m	A ~ E
643	37°28'17.42"N	126°27'31.22"E	6 m	A ~ E
644	37°28'18.78"N	126°27'34.00"E	6 m	A ~ F
645	37°28'20.40"N	126°27'36.55"E	6 m	A ~ E
646	37°28'21.76"N	126°27'38.96"E	6 m	A ~ E
647	37°28'23.13"N	126°27'41.37"E	6 m	A ~ F
648	37°28'25.70"N	126°27'45.82"E	6 m	A ~ F
649	37°28'27.46"N	126°27'48.57"E	6 m	A ~ E

Cargo Apron 2

	INS COORDINATES FOR AIRCRAFT STANDS			STAND AVAILABILITY
	WGS-84		ELEV(AMSL)	
650	37°28'28.82"N	126°27'50.97"E	6 m	A ~ E
651	37°28'30.18"N	126°27'53.38"E	6 m	A ~ E
652	37°28'31.87"N	126°27'56.74"E	6 m	A ~ F
653	37°28'33.51"N	126°27'59.27"E	6 m	A ~ E
654	37°28'34.87"N	126°28'01.68"E	6 m	A ~ E
655	37°28'36.23"N	126°28'04.09"E	6 m	A ~ F
671	37°28'24.41"N	126°27'18.95"E	6 m	A ~ F
672	37°28'25.78"N	126°27'21.75"E	7 m	A ~ E
673	37°28'27.14"N	126°27'24.16"E	7 m	A ~ E
674	37°28'28.78"N	126°27'26.69"E	7 m	A ~ F
675	37°28'30.14"N	126°27'29.47"E	7 m	A ~ E
676	37°28'31.50"N	126°27'31.88"E	7 m	A ~ E
677	37°28'32.86"N	126°27'34.28"E	7 m	A ~ E
678	37°28'36.41"N	126°27'40.58"E	7 m	A ~ E
679	37°28'37.78"N	126°27'42.98"E	7 m	A ~ E
680	37°28'39.14"N	126°27'45.41"E	7 m	A ~ E
681	37°28'41.11"N	126°27'48.52"E	7 m	A ~ F
682	37°28'42.48"N	126°27'51.32"E	7 m	A ~ E
683	37°28'43.84"N	126°27'53.72"E	6 m	A ~ E

Maintenance Apron 1

	INS COORDINATES FOR AIRCRAFT STANDS			STAND AVAILABILITY
	WGS-84		ELEV(AMSL)	
701	37°28'38.16"N	126°25'56.92"E	5 m	A ~ F
702	37°28'40.45"N	126°25'54.99"E	5 m	A ~ E
703	37°28'42.70"N	126°25'52.99"E	5 m	A ~ E
704	37°28'44.98"N	126°25'50.68"E	5 m	A ~ F
705	37°28'47.73"N	126°25'48.22"E	5 m	A ~ F
706	37°28'51.24"N	126°25'45.39"E	5 m	A ~ E
707	37°28'53.16"N	126°25'43.68"E	5 m	A ~ E
708	37°28'55.36"N	126°25'41.74"E	5 m	A ~ E
709	37°28'57.51"N	126°25'39.70"E	5 m	A ~ F
710	37°28'59.83"N	126°25'37.47"E	5 m	A ~ F
711	37°29'02.32"N	126°25'35.53"E	5 m	A ~ E

Maintenance Apron 2

	INS COORDINATES FOR AIRCRAFT STANDS			STAND AVAILABILITY
	WGS-84		ELEV(AMSL)	
731	37°28'37.56"N	126°24'07.74"E	5 m	A ~ F
732	37°28'35.64"N	126°24'04.36"E	5 m	A ~ F
733	37°28'26.99"N	126°24'18.04"E	5 m	A ~ F
734	37°28'24.29"N	126°24'20.44"E	5 m	A ~ F

Deicing Apron

	INS COORDINATES FOR AIRCRAFT STANDS			STAND AVAILABILITY
	WGS-84		ELEV(AMSL)	
301	37°27'40.02"N	126°26'51.37"E	5 m	A ~ C
302	37°27'38.47"N	126°26 48.77"E	5 m	A ~ F
303	37°27'36.47"N	126°26 45.24"E	5 m	A ~ F
304	37°27'34.48"N	126°26 41.71"E	5 m	A ~ F
305	37°27'32.65"N	126°26'38.48"E	5 m	A ~ E
306	37°27'30.98"N	126°26'35.54"E	5 m	A ~ E
307	37°27'29.32"N	126°26'32.59"E	5 m	A ~ E
308	37°27'27.65"N	126°26'29.64"E	5 m	A ~ E
309	37°27'25.82"N	126°26'26.41"E	5 m	A ~ F
310	37°27'23.83"N	126°26'22.88"E	5 m	A ~ F
311	37°27'21.84"N	126°26'19.35"E	5 m	A ~ F
312	37°27'20.39"N	126°26'16.64"E	5 m	A ~ C
551	37°28'16.56"N	126°25'20.59"E	5 m	A ~ F
552	37°28'19.34"N	126°25'18.11"E	5 m	A ~ F
553	37°28'21.89"N	126°25'15.84"E	5 m	A ~ E
554	37°28'24.21"N	126°25'13.78"E	5 m	A ~ E
557	37°28'31.86"N	126°25'06.97"E	5 m	A ~ F
558	37°28'34.40"N	126°25'04.70"E	5 m	A ~ E
814	37°27'51.94"N	126°26'20.76"E	5 m	A ~ E
815	37°27'54.44"N	126°26'18.53"E	6 m	A ~ E
816	37°27'47.33"N	126°26'12.61"E	6 m	A ~ E
817	37°27'49.83"N	126°26'10.38"E	6 m	A ~ E
821	37°27'02.98"N	126°27'36.46"E	5 m	A ~ E
822	37°27'05.15"N	126°27'34.49"E	5 m	A ~ E
823	37°27'07.99"N	126°27'32.24"E	5 m	A ~ F
825	37°27'12.54"N	126°27'19.92"E	5 m	A ~ F
831	37°26'30.61"N	126°26'48.39"E	5 m	A ~ F
832	37°26'33.97"N	126°26'45.55"E	5 m	A ~ E
833	37°26'36.40"N	126°26'43.38"E	5 m	A ~ E
834	37°26'38.84"N	126°26'41.22"E	5 m	A ~ E
841	37°27'22.87"N	126°28'10.06"E	6 m	A ~ F
842	37°27'25.04"N	126°28'13.52"E	6 m	A ~ F
851	37°29'06.03"N	126°26'38.32"E	5 m	A ~ F
852	37°29'08.25"N	126°26'41.76"E	5 m	A ~ F

Note : Refer to RKSI AD 2.20, 12. Special notice to ICAO Code F aircraft(A380 & B747-8) operators for ICAO Code F aircraft stands including multiple use stands.

Multiple use stands operation

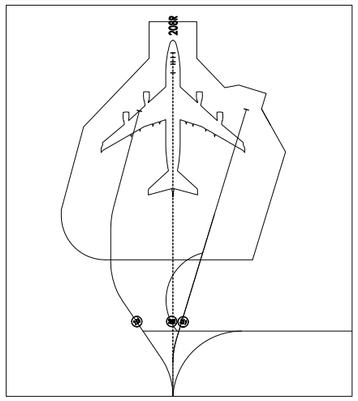

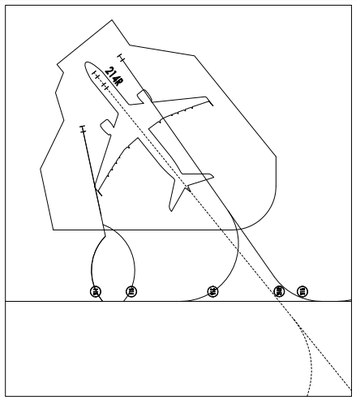

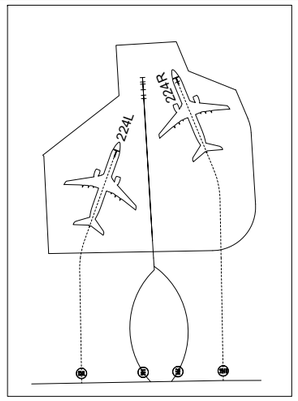

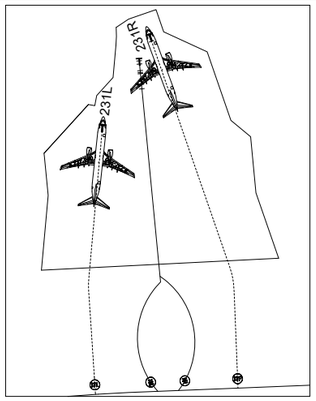

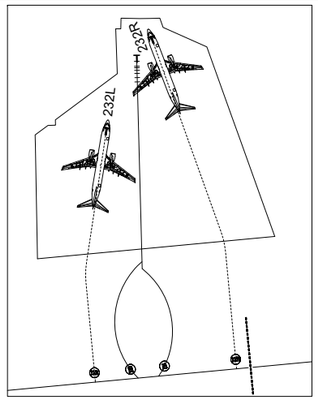

		INS COORDINATES FOR AIRCRAFT STANDS		
		WGS-84		ELEV(AMSL)
208	R	37°28'16.67"N	126°25'42.97"E	6 m
214	R	37°28'12.94"N	126°25'34.81"E	6 m
224	L	37°27'58.53"N	126°25'47.61"E	6 m
	R	37°27'58.44"N	126°25'49.34"E	6 m
231	L	37°27'53.63"N	126°25'52.33"E	6 m
	R	37°27'53.49"N	126°25'54.22"E	6 m
232	L	37°27'50.70"N	126°25'53.65"E	6 m
	R	37°27'50.48"N	126°25'55.39"E	6 m
236	R	37°27'42.18"N	126°26'00.21"E	6 m
239	R	37°27'43.60"N	126°26'03.66"E	6 m
258	R	37°27'57.35"N	126°26'28.47"E	5 m
261	R	37°27'59.96"N	126°26'30.72"E	6 m
266	L	37°28'06.75"N	126°26'24.13"E	6 m
	R	37°28'06.14"N	126°26'22.44"E	6 m
267	L	37°28'08.58"N	126°26'21.11"E	6 m
	R	37°28'08.28"N	126°26'19.65"E	6 m
268	L	37°28'10.56"N	126°26'18.63"E	6 m
	R	37°28'10.51"N	126°26'17.04"E	6 m
275	L	37°28'13.61"N	126°26'16.28"E	6 m
	R	37°28'13.95"N	126°26'14.76"E	6 m
283	R	37°28'29.10"N	126°26'02.85"E	6 m
290	R	37°28'24.05"N	126°25'55.01"E	6 m

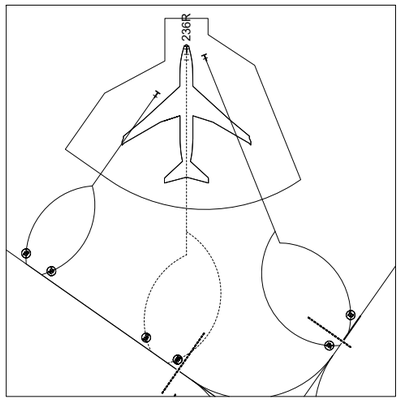

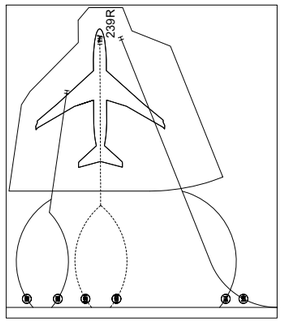

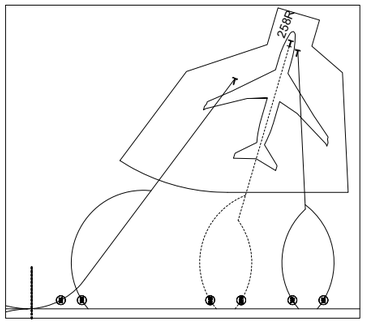

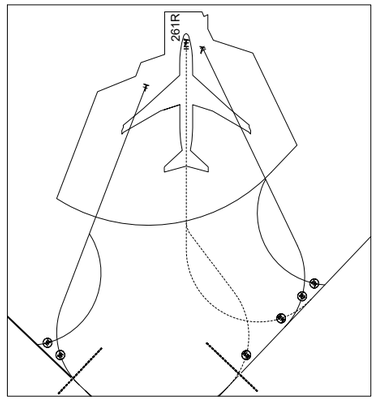

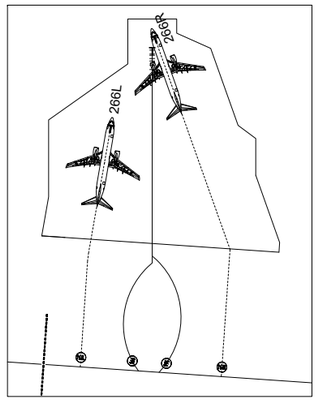

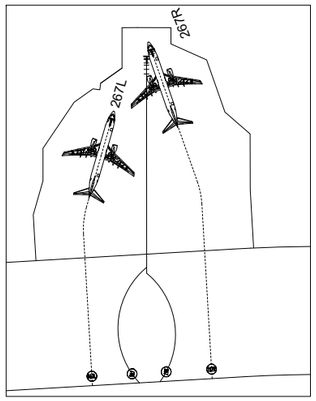

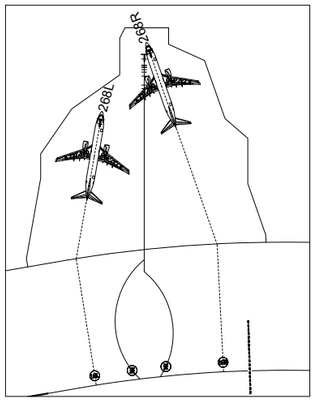

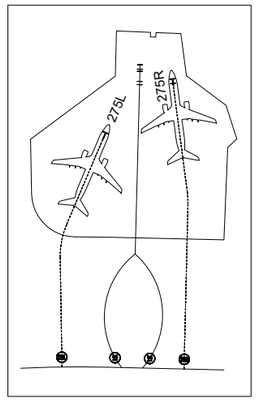

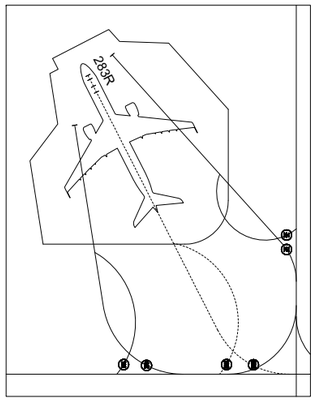

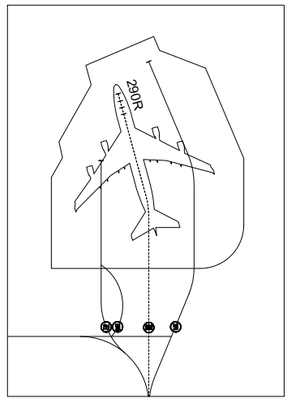

Stand NR.	Availability
224L/R, 231L/R, 232L/R, 266L/R, 267L/R, 268L/R, 275L/R	Available for aircraft up to "C" code.
208R, 214R, 283R, 290R	Available for aircraft up to "E" code.
236R, 239R, 258R, 261R	Available for aircraft up to "F" code.
For details, please contact to confirm with "the Apron Magt. Unit" at the telephone number 82-32-741-2991.	

Note.
"B": Refer to Annex 14 to the Convention on International Civil Aviation, Volume I, Chapter 1, Table 1-1"Aerodrome reference code".

Code letter	Wing span
E	52 m up to but not including 65 m
D	36 m up to but not including 52 m
C	24 m up to but not including 36 m
B	15 m up to but not including 24 m

Change : Information of coordinates and ELEV for ACFT stands NR. 208, 214, 224, 232, 258, 275, 283.

Multiple use stands operation

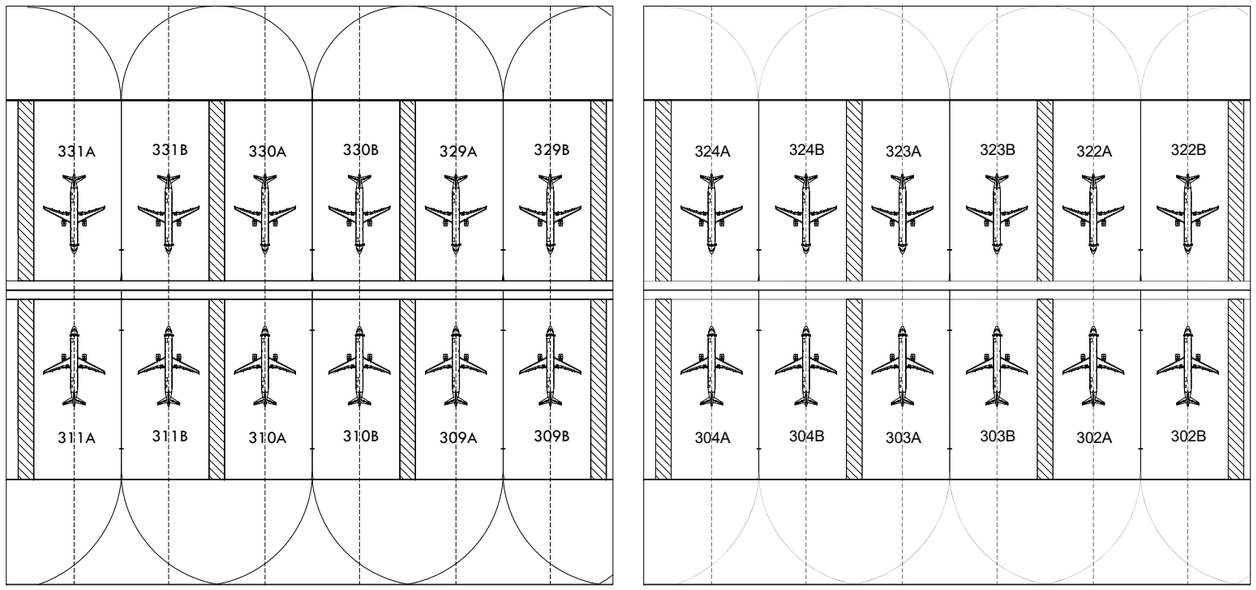

		INS COORDINATES FOR AIRCRAFT STANDS		
		WGS-84		ELEV(AMSL)
302	A	37°27'39.66"N	126°26'46.39"E	5 m
	B	37°27'40.65"N	126°26'48.14"E	5 m
303	A	37°27'37.67"N	126°26'42.86"E	5 m
	B	37°27'38.66"N	126°26'44.61"E	5 m
304	A	37°27'35.68"N	126°26'39.34"E	5 m
	B	37°27'36.66"N	126°26'41.08"E	5 m
309	A	37°27'27.02"N	126°26'24.03"E	5 m
	B	37°27'28.01"N	126°26'25.77"E	5 m
310	A	37°27'25.03"N	126°26'20.50"E	5 m
	B	37°27'26.02"N	126°26'22.25"E	5 m
311	A	37°27'23.03"N	126°26'16.97"E	5 m
	B	37°27'24.02"N	126°26'18.72"E	5 m
322	A	37°27'40.96"N	126°26'45.24"E	5 m
	B	37°27'41.94"N	126°26'46.99"E	5 m
323	A	37°27'38.96"N	126°26'41.72"E	5 m
	B	37°27'39.95"N	126°26'43.46"E	5 m
324	A	37°27'36.97"N	126°26'38.19"E	5 m
	B	37°27'37.95"N	126°26'39.93"E	5 m
329	A	37°27'28.32"N	126°26'22.88"E	5 m
	B	37°27'29.30"N	126°26'24.62"E	5 m
330	A	37°27'26.32"N	126°26'19.35"E	5 m
	B	37°27'27.31"N	126°26'21.10"E	5 m
331	A	37°27'24.33"N	126°26'15.82"E	5 m
	B	37°27'25.31"N	126°26'17.57"E	5 m

Stand NR.	Availability
302A/B, 303A/B, 304A/B, 309A/B, 310A/B, 311A/B, 322A/B, 323A/B, 324A/B, 329A/B, 330A/B, 331A/B	Available for aircraft up to "C" code.
For details, please contact to confirm with "the Apron Magt. Unit" at the telephone number 82-32-741-2991.	

Note.
"B": Refer to Annex 14 to the Convention on International Civil Aviation, Volume I, Chapter 1, Table 1-1"Aerodrome reference code".

Code letter	Wing span
E	52 m up to but not including 65 m
D	36 m up to but not including 52 m
C	24 m up to but not including 36 m
B	15 m up to but not including 24 m

Change : Information of coordinates for ACFT stands NR. 309, 329.

Multiple use stands operation

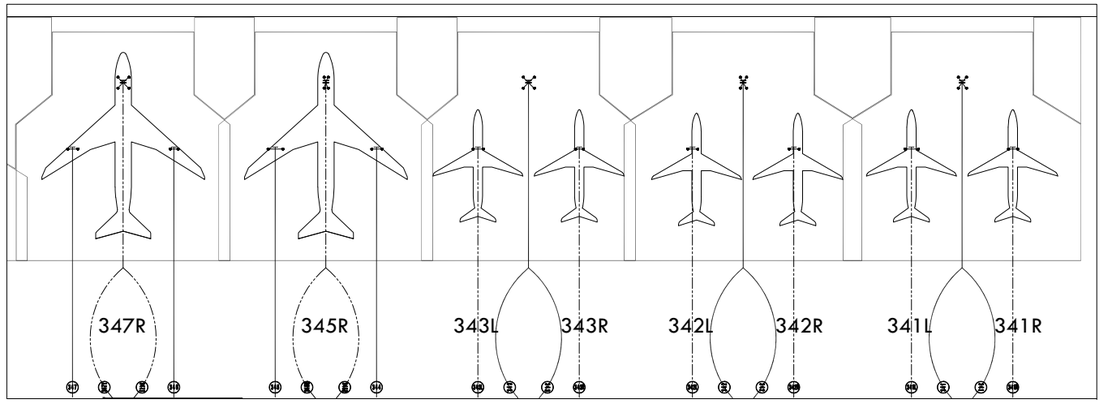

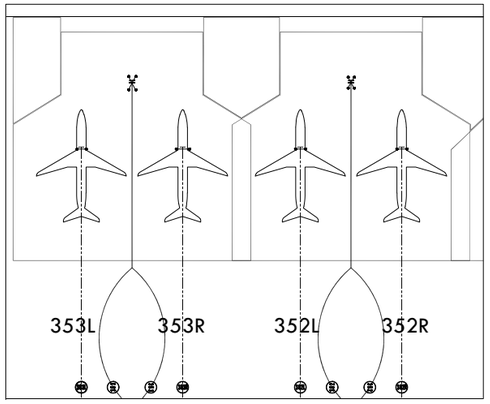

		INS COORDINATES FOR AIRCRAFT STANDS		
		WGS-84		ELEV(AMSL)
341	L	37°27'48.23"N	126°26'42.01"E	5 m
	R	37°27'48.99"N	126°26'43.35"E	5 m
342	L	37°27'46.59"N	126°26'39.10"E	5 m
	R	37°27'47.35"N	126°26'40.45"E	5 m
343	L	37°27'44.98"N	126°26'36.26"E	5 m
	R	37°27'45.74"N	126°26'37.60"E	5 m
345	R	37°27'44.55"N	126°26'33.61"E	5 m
347	R	37°27'43.03"N	126°26'30.93"E	5 m
352	L	37°27'31.04"N	126°26'11.59"E	5 m
	R	37°27'31.80"N	126°26'12.93"E	5 m
353	L	37°27'29.39"N	126°26'08.68"E	5 m
	R	37°27'30.15"N	126°26'10.03"E	5 m
501	L	37°28'17.70"N	126°26'22.82"E	5 m
	R	37°28'16.63"N	126°26'23.77"E	5 m
511	L	37°27'53.15"N	126°25'42.29"E	6 m
	R	37°27'54.22"N	126°25'41.34"E	6 m
522	R	37°28'32.51"N	126°25'32.91"E	5 m
528	R	37°28'42.41"N	126°25'24.10"E	5 m
541	L	37°28'22.33"N	126°25'28.47"E	5 m
	R	37°28'21.26"N	126°25'29.42"E	5 m
542	L	37°28'24.64"N	126°25'26.41"E	5 m
	R	37°28'23.57"N	126°25'27.36"E	5 m
543	L	37°28'26.96"N	126°25'24.35"E	5 m
	R	37°28'25.88"N	126°25'25.30"E	5 m
544	L	37°28'29.27"N	126°25'22.29"E	5 m
	R	37°28'28.20"N	126°25'23.24"E	5 m
551	A	37°28'17.29"N	126°25'20.03"E	5 m
	B	37°28'15.90"N	126°25'21.27"E	5 m
552	A	37°28'20.07"N	126°25'17.55"E	5 m
	B	37°28'18.68"N	126°25'18.79"E	5 m
557	A	37°28'32.59"N	126°25'06.41"E	5 m
	B	37°28'31.20"N	126°25'07.65"E	5 m

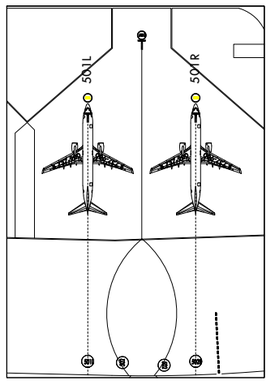

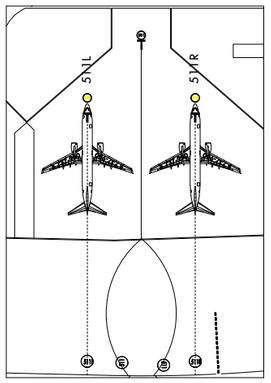

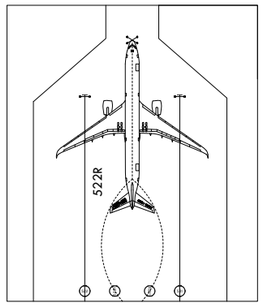

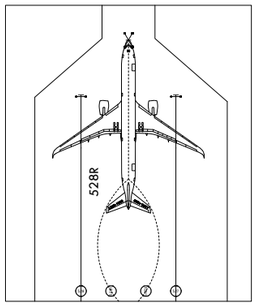

Stand NR.	Availability
341L/R, 342L/R, 343L/R, 352L/R, 353L/R, 501L/R, 511L/R, 541L/R, 542L/R, 543L/R, 544L/R, 551A/B, 552A/B, 557A/B	Available for aircraft up to "C" code.
345R, 347R, 522R, 528R	Available for aircraft up to "E" code.
For details, please contact to confirm with "the Apron Magt. Unit" at the telephone number 82-32-741-2991.	

Note.
"B": Refer to Annex 14 to the Convention on International Civil Aviation, Volume I, Chapter 1, Table 1-1"Aerodrome reference code".

Code letter	Wing span
E	52 m up to but not including 65 m
D	36 m up to but not including 52 m
C	24 m up to but not including 36 m
B	15 m up to but not including 24 m

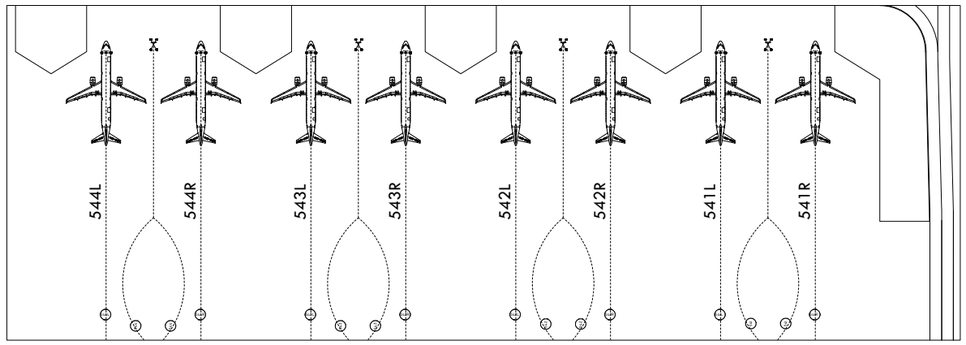

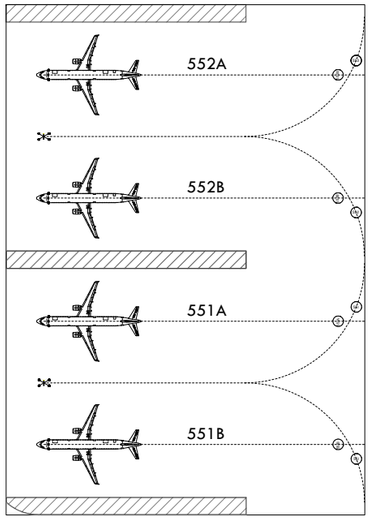

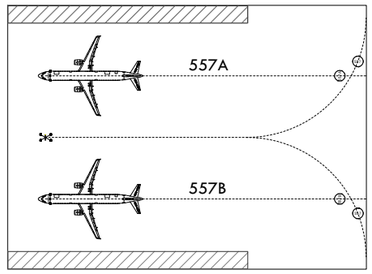

Multiple use stands operation

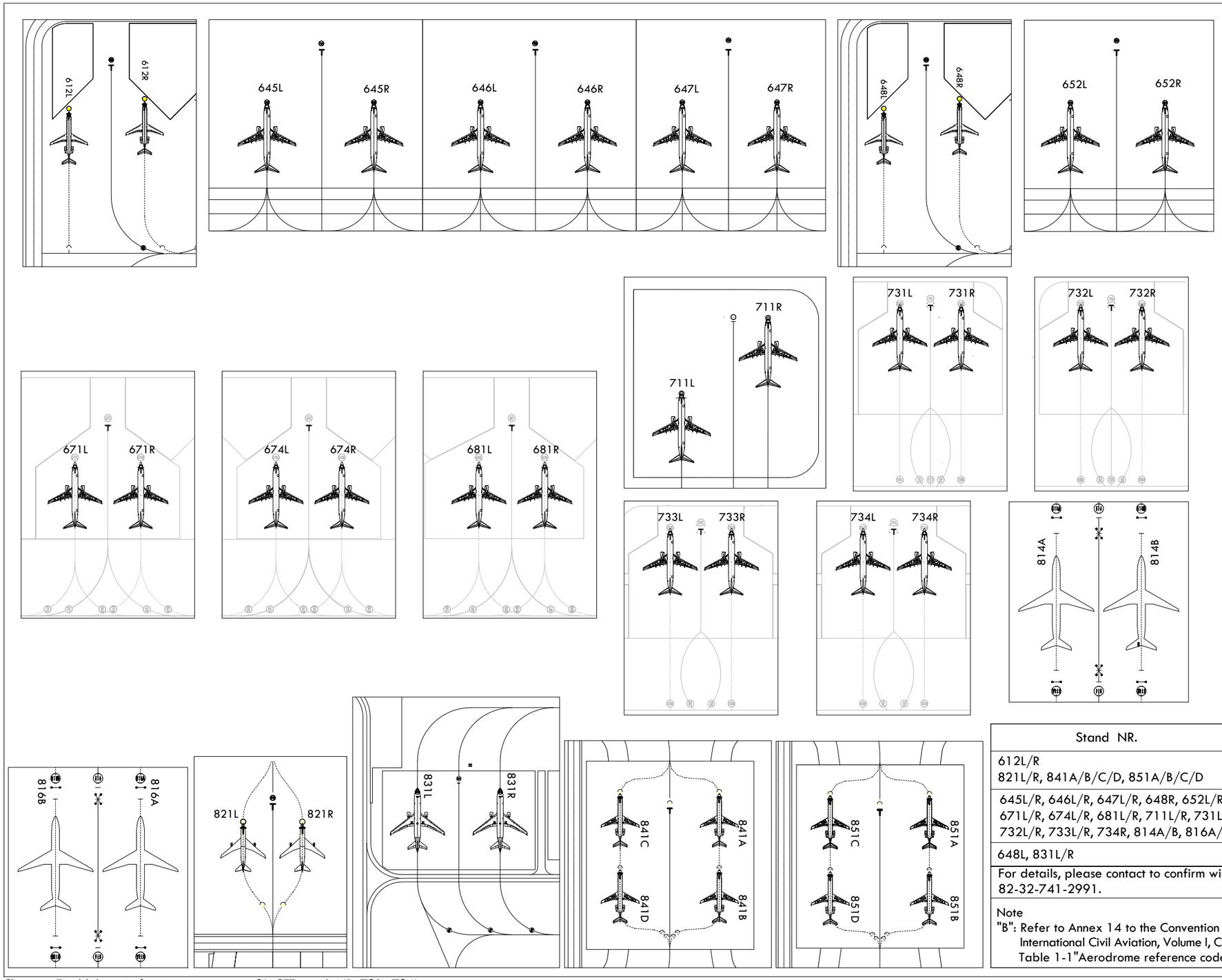

		INS COORDINATES FOR AIRCRAFT STANDS		
		WGS-84		ELEV(AMSL)
612	L	37°28'05.19"N	126°28'18.16"E	6 m
	R	37°28'04.32"N	126°28'16.61"E	6 m
645	L	37°28'21.42"N	126°27'36.56"E	7 m
	R	37°28'20.73"N	126°27'35.34"E	7 m
646	L	37°28'22.78"N	126°27'38.97"E	7 m
	R	37°28'22.09"N	126°27'37.74"E	7 m
647	L	37°28'24.13"N	126°27'41.36"E	6 m
	R	37°28'23.45"N	126°27'40.15"E	7 m
648	L	37°28'26.59"N	126°27'46.05"E	6 m
	R	37°28'25.86"N	126°27'44.13"E	6 m
652	L	37°28'33.02"N	126°27'56.80"E	6 m
	R	37°28'32.20"N	126°27'55.36"E	6 m
671	L	37°28'23.26"N	126°27'18.89"E	6 m
	R	37°28'24.08"N	126°27'20.33"E	7 m
674	L	37°28'27.63"N	126°27'26.63"E	7 m
	R	37°28'28.45"N	126°27'28.07"E	7 m
681	L	37°28'39.96"N	126°27'48.46"E	7 m
	R	37°28'40.78"N	126°27'49.90"E	7 m
711	L	37°29'02.35"N	126°25'37.29"E	5 m
	R	37°29'02.75"N	126°25'35.16"E	5 m
731	L	37°28'37.09"N	126°24'07.15"E	5 m
	R	37°28'37.85"N	126°24'08.49"E	5 m
732	L	37°28'35.17"N	126°24'03.76"E	5 m
	R	37°28'35.93"N	126°24'05.11"E	5 m
733	L	37°28'27.47"N	126°24'17.45"E	5 m
	R	37°28'26.39"N	126°24'18.40"E	5 m
734	L	37°28'24.77"N	126°24'19.85"E	5 m
	R	37°28'23.70"N	126°24'20.80"E	5 m
814	A	37°27'52.47"N	126°26'20.28"E	6 m
	B	37°27'51.40"N	126°26'21.24"E	6 m
816	A	37°27'47.86"N	126°26'12.13"E	6 m
	B	37°27'46.79"N	126°26'13.08"E	6 m
821	L	37°27'03.17"N	126°27'35.67"E	5 m
	R	37°27'02.31"N	126°27'36.42"E	5 m
831	L	37°26'29.80"N	126°26'49.74"E	5 m
	R	37°26'31.89"N	126°26'47.88"E	5 m
841	A	37°27'23.61"N	126°28'10.90"E	6 m
	B	37°27'22.39"N	126°28'11.98"E	6 m
	C	37°27'22.48"N	126°28'08.91"E	6 m
	D	37°27'21.26"N	126°28'09.99"E	6 m
851	A	37°29'06.77"N	126°26'39.15"E	5 m
	B	37°29'05.55"N	126°26'40.24"E	5 m
	C	37°29'05.64"N	126°26'37.16"E	5 m
	D	37°29'04.43"N	126°26'38.25"E	5 m

Stand NR.	Availability
612L/R 821L/R, 841A/B/C/D, 851A/B/C/D	Available for all aircraft up to "B" code. [length(overall) up to 32.5 m]
645L/R, 646L/R, 647L/R, 648R, 652L/R, 671L/R, 674L/R, 681L/R, 711L/R, 731L/R, 732L/R, 733L/R, 734R, 814A/B, 816A/B	Available for aircraft up to "C" code.
648L, 831L/R	Available for aircraft up to "D" code.

For details, please contact to confirm with "the Apron Magt. Unit" at the telephone number 82-32-741-2991.

Note
"B": Refer to Annex 14 to the Convention on International Civil Aviation, Volume I, Chapter 1, Table 1-1"Aerodrome reference code".

Code letter	Wing span
E	52 m up to but not including 65 m
D	36 m up to but not including 52 m
C	24 m up to but not including 36 m
B	15 m up to but not including 24 m

Change : Establishment of maintenance apron 2(ACFT stands NR. 731~734).

Deicing zones operation

INCHEON DEICING	122.225	123.575	
PAD CONTROL	122.175	122.325	123.325
ICE MAN	130.250	130.750	130.850

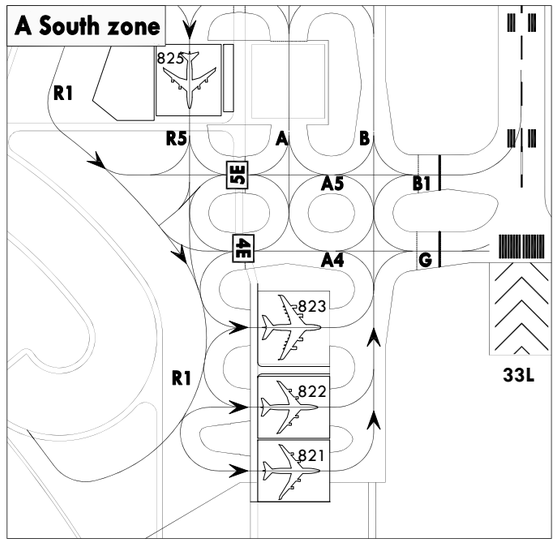

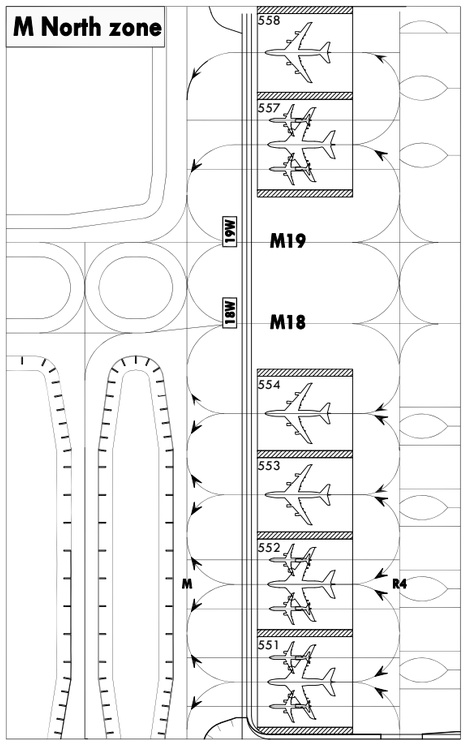

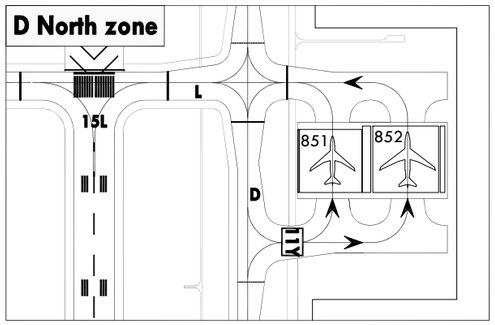

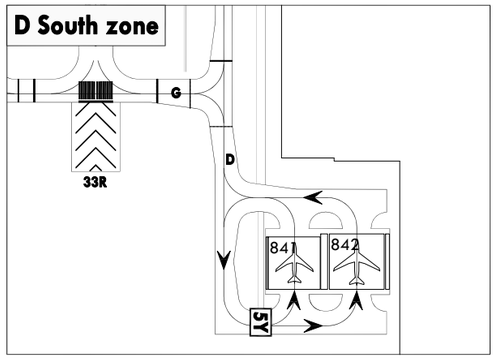

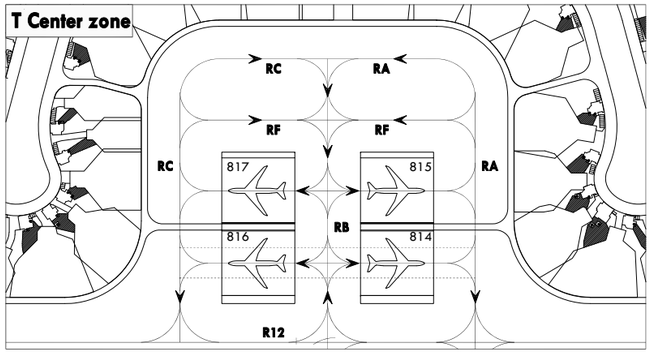

Note >
The Pilot stop line marking is located on all deicing pads to help stop without marshalling, where the transverse bar indicates the cockpit stop position. (See the figure below.)

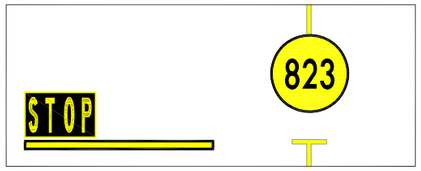

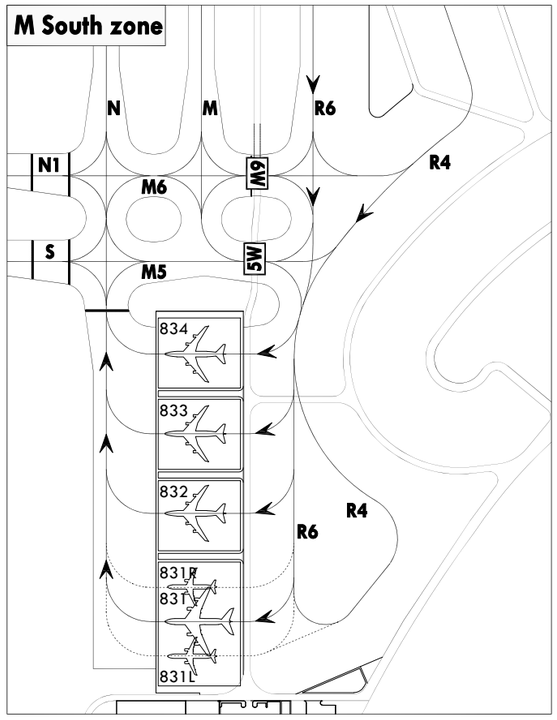

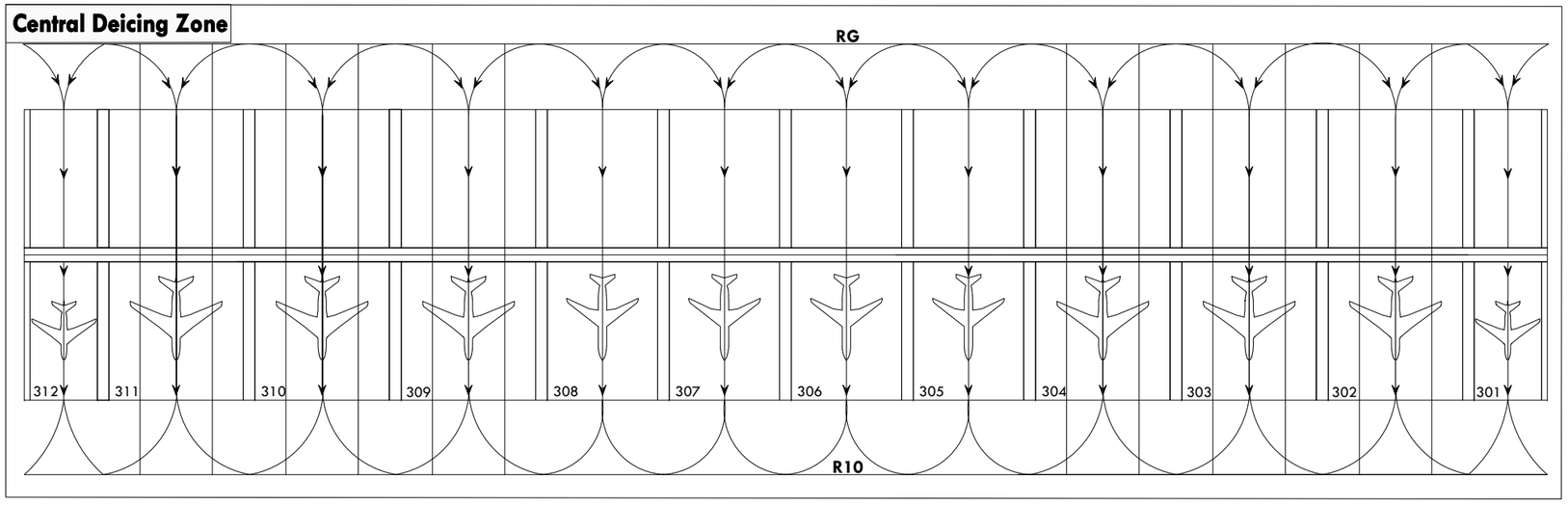

Change : Information of de-icing pad(ACFT stand NR. 558).